सत्यमेव जयते

CENSUS OF INDIA 1961

ASSAM

DISTRICT CENSUS HANDBOOK

NOWGONG

E. H. PAKYNTEIN

of the Indian Administrative Service

Superintendent of Census Operations, Assam

Printed at the Tribune Press, Gauhati and published by the Government of Assam, 1965

CENSUS OF INDIA 1961

LIST OF PUBLICATIONS, ASSAM

CENTRAL GOVERNMENT PUBLICATIONS

(All the Publications of the State will bear the Vol. No. III)

Part I-A	—	General Report	
Part I-B	—	Report on Vital Statistics	
Part I-C	—	Subsidiary Tables	
Part II-A	—	General Population Tables	
Part II-B	—	General Economic Tables	
Part II-C	—	Cultural & Migration Tables	
Part III	—	Household Economic Tables	
Part IV	—	Report on Housing and Establishments	
Part V-A	—	Scheduled Caste/Tribe Tables and Reprints	
Part V-B (i)	—	Tribes and Castes of Assam	
Part V-B (ii)	—	Tribes and Castes of Assam	
Part VI (i)	—	Village Survey Monographs	
Part VI (ii)	—	Village Survey Monographs	
Part VI (iii)	—	Village Survey Monographs	
Part VII-A	—	Survey of Handicrafts	
Part VII-B	—	Fairs & Festivals	
Part VIII-A	—	Administration Report (Enumeration)	Not for sale
Part VIII-B	—	Administration Report (Tabulation)	Not for sale
Part IX	—	Maps	

STATE GOVERNMENT PUBLICATIONS

11 District Census Handbooks

CONTENTS

Page

PREFACE

INTRODUCING THE DISTRICT ..... i—xxiv

INTRODUCING THE STATISTICS ..... 1—4

THE VILLAGE DIRECTORY ..... 5—109

A—GENERAL POPULATION TABLES

A—I & Appendices I & III — Area, Houses and Population ..... 111—129

A—II — Variation in Population during sixty years 130

A—III — Villages classified by population ..... 131—132

A—IV & Appendix — Towns (and Town-groups) classified by population in 1961 with variation since 1901 ..... 133—134

B—GENERAL ECONOMIC TABLES

B—I — Workers and Non-workers classified by sex and broad age-groups ..... 135—137

B—III Pt. A — Industrial Classification of Workers and Non-workers by educational levels in urban areas only ..... 139—140

B—III Pt. B — Industrial Classification of Workers and Non-workers by educational levels in rural areas only ..... 141—147

B—IV Pt. A — Industrial Classification by sex and class of worker of persons at work at Household Industry ..... 158—160

B—IV Pt. B — Industrial Classification by sex and class of worker of persons at work in non-household industry, trade, business, profession or service ..... 161—166

B—IV Pt. C & Appendix — Industrial Classification by sex and divisions, major groups and minor groups of persons at work other than cultivation ..... 167—171

B—V — Occupational Classification by sex of persons at work other than cultivation ..... 172—195

B—VI — Occupational divisions of persons at work other than cultivation classified by sex, broad age-groups and educational levels in urban areas only ..... 196—200

B—VII Pt. A — Persons working principally (i) as Cultivators, (ii) as Agricultural Labourers or (iii) at Household Industry classified by sex and by Secondary work (i) at Household Industry (ii) as Cultivator or (iii) as Agricultural Labourer ..... 202—204

B—VII Pt. B — Industrial Classification by sex of persons working in non-household industry, trade, business, profession or service who are also engaged in Household Industry ..... 205—210

B—VIII Pt. A — Persons unemployed aged 15 and above by sex, broad age-groups and educational levels in urban areas only ..... 212—213

B—VIII Pt. B — Persons unemployed aged 15 and above by sex and educational levels in rural areas only 214

B—IX — Persons not at work classified by sex, broad age-groups and type of activity ..... 215—221

C—SOCIAL AND CULTURAL TABLES

C—II — Age and Marital Status ..... 222—230

C—III Pt. A — Age, Sex and Education in all areas 231

C—III Pt. B — Age, Sex and Education in urban areas only 232

C—V — Mother tongue (alphabetical order) ..... 233—239

C—VII — Religion ..... 240—243

C—VIII Pt. A — Classification by literacy and industrial category of Workers and Non-workers among Scheduled Castes ..... 245—246

C—VIII Pt. B — Classification by literacy and industrial category of Workers and Non-workers among Scheduled Tribes ..... 247—248

7. SCT—TABLES FOR SCHEDULED CASTES AND SCHEDULED TRIBES

SCT—I Pt. A — Industrial Classification of persons at work and non-workers by sex for Scheduled Castes ..... 250—254
SCT—I Pt. B — Industrial Classification of persons at work and non-workers by sex for Scheduled Tribes ..... 255—257
SCT—II Pt. A — Age and Marital Status for Scheduled Castes ..... 259—261
SCT—II Pt. B — Age and Marital Status for Scheduled Tribes ..... 262—264
SCT—III Pt.A(i) — Education in urban areas only for Scheduled Castes 266
SCT—III Pt.A(ii) — Education in urban areas only for Scheduled Tribes 267
SCT—III Pt.B(i) — Education in rural areas only for Scheduled Castes 268
SCT—III Pt.B(ii) — Education in rural areas only for Scheduled Tribes 269
SCT—IV Pt.A — Religion for Scheduled Castes 270
SCT—IV Pt. B — Religion for Scheduled Tribes 271
SC—I — — Persons not at work classified by sex, type of activity and educational levels for Scheduled Castes ..... 272—273
ST—I — — Mother tongue and Bilingualism for Scheduled Tribes ..... 274—275
ST—II — — Persons not at work classified by sex and type of activity for Scheduled Tribes ..... 276—277

8. INTRODUCING THE OFFICIAL STATISTICS ..... 278—281

9. TABLES ON OFFICIAL STATISTICS

1. RAINFALL AND TEMPERATURE

1.1 Monthly Total Rainfall at important centres in the district from 1951 to 1960 ..... 282—284
1.2 Average Annual Rainfall at important centres in the district 284
1.3 Maximum and Minimum Temperatures by station and by month in the district from 1951 to 1960 ..... 285—286

2. VITAL STATISTICS

2.1 Number of births and deaths as reported in the district from 1951 to 1960 287
2.2 Deaths from some selected causes in the district from 1951 to 1960 287

3. LAND UTILISATION AND AGRICULTURE

3.1 Land Utilisation Statistics in the district for the decades 1901 to 1961 288
3.2 Area under principal crops in the district for the decades 1901 to 1961 289
3.3 Gross area irrigated under different crops in the district for the decades 1901 to 1961 290
3.4 Sources of irrigation in the district for the decades 1901 to 1961 290
3.5 Medium irrigation project in the district 291
3.6 Yield rates of principal crops in the district, 1951-52 to 1959-60 292
3.7 Daily agricultural wages at some selected villages in the district from 1957 to 1960 ..... 293—296
3.8 Fortnightly wholesale prices of important commodities in the district from 1958 to 1960 ..... 297—332
3.9 Average retail prices of important commodities in the district from 1951 to 1960 ..... 333—343

4. LIVESTOCK

4.1 Variation in the number of main Livestock in the district during 1945 to 1961 344

5. INDUSTRIES

5.1 List of all categories of industries in the district based on Houselists ..... 345—349
5.2 Large scale industries and registered factories in the district ..... 352—353

6. ADMINISTRATION

6.1 Number of criminal cases tried and persons convicted in the district from 1951 to 1960 354
6.2 Strength of Police and Jails in the district from 1951 to 1960 ..... 355—356
6.3 Different types of Co-operative Societies in the district from 1951-52 to 1960-61 357
6.4 Receipts of revenue under different heads in the district from 1951-52 to 1960-61 358

21962

7. PUBLIC HEALTH AND MEDICAL

7.1 Different classes of Public Health and Medical Centres in the district from 1951 to 1960.....359

8. EDUCATION

8.1 Number of different types of educational institutions and number of students in the district in 1959-60 and 1960-61.....360—362

9. PUBLIC ENTERTAINMENT, PRESS AND JOURNALS

9.1 Number of Printing Presses, Newspapers, Cinema Houses, other places of public entertainment and Periodicals & Journals.....363

10. COMMUNICATION

0.1 Names and length of village roads in the district.....364—381
0.2 Different categories of roads in the district as on 31st March, 1961.....382—383
0.3 List of important bridges on National Highways in the district.....384—387
0.4 Railway Stations in the district from 1950-51 to 1960-61.....388
0.5 Navigable waterways in the district.....389

11. LOCAL BODIES

1.1 List of Anchalik Panchayats in the district.....390—391
1.2 List of Municipalities & Town Committees in the district.....392

12. COMMUNITY DEVELOPMENT

2.1 Names and Stages of the Community Development Blocks in the district.....393

13. BANKS AND SMALL SAVINGS

3.1 List of Banking Institutions functioning in the district.....394
3.2 Gross and Net collections on Small Savings in the district from 1951-52 to 1960-61.....394

14. FAIRS AND FESTIVALS AND HATS AND MARKETS

4.1 List of Fairs and Festivals—times of the year and duration in the district.....395—396
4 2 List of different types of Hats and Markets in the district.....397—398

15. CALENDAR OF IMPORTANT EVENTS

A descriptive note on the calendar of important events of the district.....399

16. ANCIENT MONUMENTS, PLACES OF WORSHIP AND GAZETTEER OF PLACE NAMES

A descriptive note on the Ancient Monuments and Antique objects & Gazetteer of place names in the district.....400

PREFACE

District Census Handbooks were introduced for the first time during the 1951 Census. In the 1961 Census, the District Census Handbooks have further been improved by making the introduction of the districts more elaborate, by the addition of official statistics and by having separate tables for Scheduled Tribes and Scheduled Castes. The introduction to each district is a sort of gazetteer giving the physical features, geological data, climate, rainfall and temperature, flora and fauna etc. and a short history of the people inhabiting the district. Sociological data about the people have also been given briefly. Attempts have also been made to appraise the impact of the two Five Year Plans on the economy of each district. Official statistics are given in the form of tables, but there is also an introduction explaining the purpose and utility of the official statistics. For example, the District Census Handbook will supply the number of schools and dispensaries existing in each district as well as the road mileage and many other data which one would like to know about each district. Such data will be useful to the administrators, legislators and sociologists who want to study the people of any district.

Data on the various subject mentioned above have been collected from the District Gazetteers prepared by Mr. B. C. Allen ICS, from monographs written on the people by well-known ethnographists and sociologists as well as from various Departments of Government, both Central and State. Many Deputy Commissioners and Subdivisional Officers have greatly helped me in supplying such data as are available with them concerning the district. The nature, quality and quantity of the data supplied by each Deputy Commissioner and Subdivisional Officer vary directly according to the interest that each officer has in his district/subdivision.

The preparation of tables was done under the able guidance of Sarvashri J. C. Bhuyan and K. S. Dey, Tabulation Officers, to whom I am greatly indebted. I could not have dictated my write-ups in such a short space of time had it not been for the great help given by my two Stenographers, Sarvashri G. Raghuram and J. Ramsden.

E. H. Pakyntein

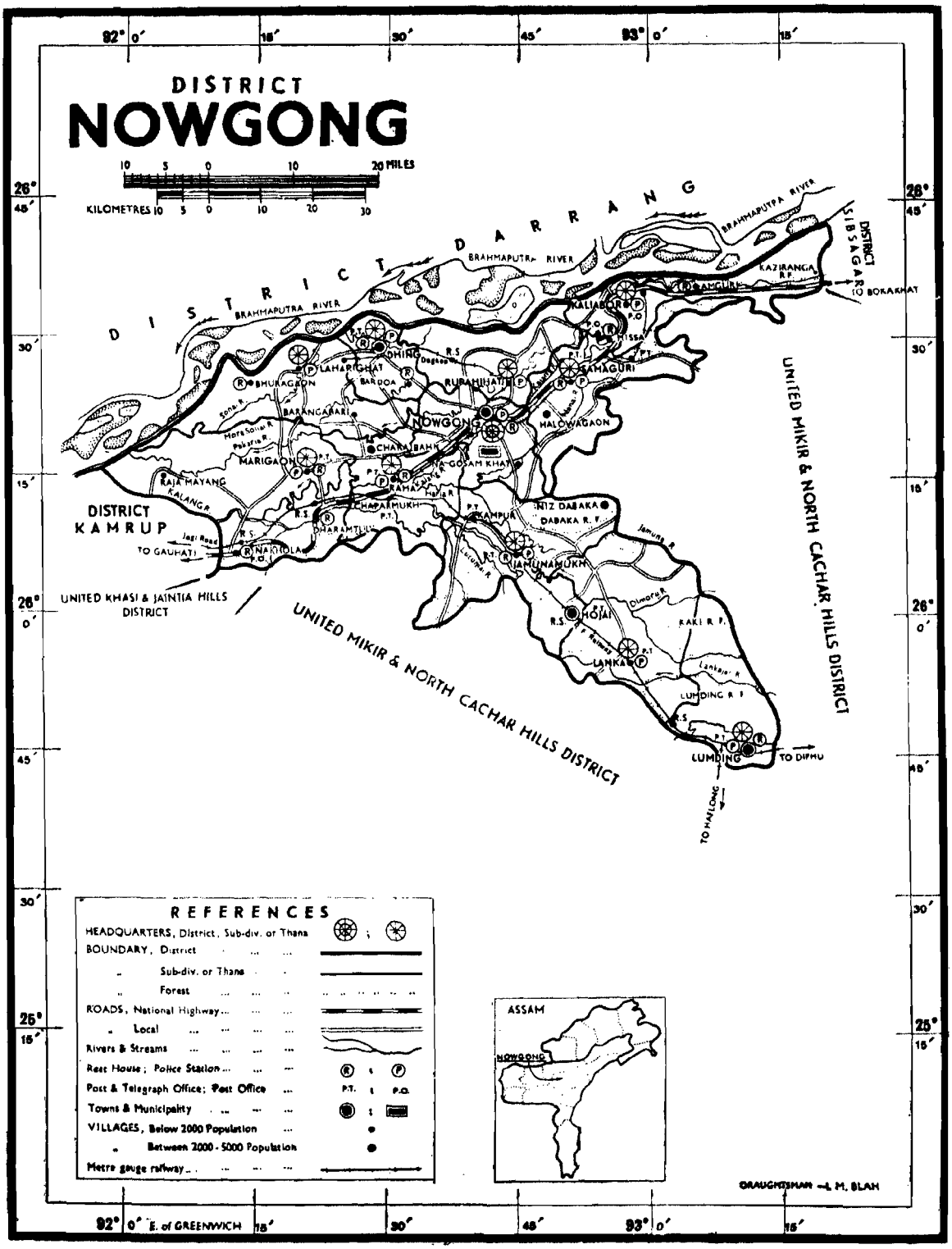
DISTRICT
NOWGONG
MILES
KILOMETRES
DISTRICT DARRANG
BRAHMAPUTRA RIVER
DISTRICT SIBSAGAR
TO BOKAKHAT
KAZIRANGA R.F.
SAMGURI
KALIABOR
DHING
LAHARIGHAT
BHURAGAON
BARDOA
RUPAHIHAT
SAMAGURI
NOWGONG
HALOWAGAON
BARANGABARI
MARIGAON
CHARABAHA
GOSAM KHAT
RAJAMAYANG
KALANGR
DISTRICT KAMRUP
TO GAUHATI
NAKHOLA
CHARAMTULI
CHAPARMUKH
KAMPUR
NIZ DABAKA
DABAKA R.F.
JAMUNAMUKH
HOJAI
KAKI R.F.
LANKA
LUMDING R.F.
LUMDING
TO DIMU
TO HAILONG
UNITED MIKIR & NORTH CACHAR HILLS DISTRICT
UNITED KHASI & JAINTIA HILLS DISTRICT
REFERENCES
HEADQUARTERS, District, Sub-div. or Thana
BOUNDARY, District
Sub-div. or Thana
Forest
ROADS, National Highway
Local
Rivers & Streams
Rest House; Police Station
Post & Telegraph Office; Post Office
Towns & Municipality
VILLAGES, Below 2000 Population
Between 2000 - 5000 Population
Metre gauge railway
ASSAM
NOWGONG
DRAUGHTSMAN —L. M. BLAH
E. of GREENWICH



D.C.'s Court building of Nowgong

Factory building of Spun Silk Mill, Jagi Road.

INTRODUCING THE DISTRICT

The district of Nowgong is situated on the south bank of the Brahmaputra river in the Assam Valley. It derives the name from its headquarters, Nowgong, whose original name was 'noa-gaon' i. e. 'new village'. The town itself is situated on the south bank of the Kolong river. Formerly Nowgong formed one administrative unit with Kamrup and Darrang districts. But in 1833, it was formed into a separate district with its headquarters at Puranigudam. Subsequently, the headquarters was transferred to Rangagara and finally to Nowgong in 1839. The district has no subdivisions, but has 11 thanas, namely, Laharighat, Dhing, Rupahihat, Kaliabor, Marigaon, Raha, Nowgong, Samaguri, Jamunamukh, Lanka and Lumding with a total number of 1,832 villages and four towns, namely, Nowgong, Lumding, Hojai and Dhing. The last two have been declared as towns for the first time in 1961. Previously, the district included a part of the Mikir Hills Tract within its boundaries, but this has now been separated to constitute the United Mikir and North Cachar Hills district along with other portions carved out of Sibsagar, Cachar and United Khasi-Jaintia Hills districts on the 17th November 1951. The present Nowgong district covers an area of 2,167 square miles or 5,613 square kilometers according to the Surveyor General of India and 2,200 square miles or 5,698 square kilometers according to the Director of Assam Surveys. It lies between 25°45″ and 26°45″ North Latitude and 91°50″ and 93°20″ East Longitude.

The district is bounded on the north by the Brahmaputra river, on the east by Sibsagar and United Mikir and North Cachar Hills and the United Khasi-Jaintia Hills districts and on the west by the United Khasi-Jaintia Hills and Kamrup districts.

PHYSICAL FEATURES

The greater part of the district is an alluvial consisting of a mixture of clay and sand in varying proportions, ranging from pure sand on the banks of the Brahmaputra to a stiff clay which is unfit for cultivation. The district is fringed with low hillocks intersected by numerous rivers and water-courses. The whole district is dotted over with beels and marshes. It may roughly be described as an alluvial plain bounded on the north by the Brahmaputra and surrounded on the remaining sides by hills.

The plain near the south bank of the Brahmaputra is a low-lying land, slightly undulating and usually covered with tall grass, jungle or reeds, of which there are three main varieties-khagari (saccharum spontaneum), ikra (saccharum arundinaceum) and nal (phragmites roburghii) which are ten to twenty feet in height. The higher land produces ulu (imperata arundinaceum) and other kinds of shorter grass used for thatching. In the rainy season the whole area fringing on the Brahmaputra is liable to floods. A major part of this area is called Chapari. People, generally the Nepali graziers, keep large herds of buffaloes and cows on the churs or sand-banks which are continually being formed by the Brahmaputra.

Along the greater part of its course there are numerous densely populated villages on both banks of the river Kolong. The villages are hidden in groves of bamboo and the graceful areca palm trees. Across the centre of this plain stretches a belt of cultivated land from Silghat on the north-east to Jagi on the south-east. But on either side of this belt, cultivation falls off, and there are wide expanses of grassy lands on the north and west, while forests and hills are found on the south and east.

The Kopili valley is a thinly populated area, its settlers being mostly tribals. This belt is a low-lying land, liable to floods in the rainy season. The area beyond Jamunamukh is very sparsely populated and part of this tract is marshy and the rest is rolling savannah covered with grass or low vegetation and is almost destitute of trees. Further east, the valley of Langpher is covered with dense forest. This forest covers the whole of the upper valley of the Dhansiri between the Mikir and the Naga Hills and, in the early days, acted as the most impregnable and effectual barrier to all intercourse between the southern areas of Sibsagar and Nowgong. For full ninety miles the railway runs through a pathless wilderness of trees, a desolate and malarious tract shut in by Hills on either side ; but east of Dimapur only a portion of this dismal forest falls within

the boundaries of Nowgong. South of the Kopili, the belt lying between Dharamtul and the hills is below the flood level and is covered with tall grass and swamps.

The level does not rise continuously from the Brahmaputra to meet the hills which form the southern boundary of the district, but rather slopes towards the west following the general inclination of the Assam Valley. The general appearance of the district is extremely picturesque. On a clear day in winter the view to the north is enriched by the blue ranges of the outer Himalayas behind which snowy peaks shine brightly in the sun, while to the south and east lie range upon range of lower hills the sides of which are clothed with the luxuriant vegetation of a tropical forest. The level rice fields, after the crops is carried home and the stubble alone remains, might perhaps seem tame and uninteresting, were it not for the groves of slender palms and feathery bamboos with which they are broken up. During the rains, this portion of the district is covered with a rich green carpet which gradually turns to gold and on every side are swamps and rivers, hills and woods, to lend variety to the scene.

MOUNTAIN SYSTEM

The two main mountain systems of the district are the Mikir hills on the north and east, while on the south and west are the outlying spurs which project from the Assam range into the Brahmaputra valley. A greater portion of the Mikir hills lies in the neighbouring district of Sibsagar but their western spurs from Kuthari to Dabaka stretch into the Nowgong district. The hills lying south of the Mohandiju and Jamuna rivers also fall within the boundaries of the district. They rise steeply from the narrow valleys with which they are intersected and hill and valley alike are covered with dense forest, except in places where they have been cleared for the shifting cultivation by the Mikir tribe. These hills support a scanty population who grow dry rice, vegetables and cotton on their slopes and are seldom visited by the natives of the plains. The outlying spurs of the Assam range are somewhat lower in appearance and general characteristics and donot differ materially from the Mikir hills. Along with these hills there are many small hillocks which can be seen close to the Jagi Road Railway station and to its north-west, in the Dabaka Reserve Forest, the Lumding Reserve Forest and near Silghat. The heights of these hills range from 272 meters to 853 meters. The Mayang and the Bura Mayang Parbat near the western boundary have a height of about 458 meters. The summit of the Jagi Road hills, known as the Teteliasur Parbat rises to a height of 272 meters. On the north-east are the Hatimur (186.5 meters) and the Kamakhya Parbat (244 meters) near Silghat which over-look the Brahmaputra. On the latter hill, there is a temple sacred to Durga where sacrifices are still offered to the goddess. There are, besides, other peaks scattered here and there such as Madhpur, Bashundori, Deosal and others which are dedicated to the goddesses Durga and Kamala.

RIVER SYSTEM

The principal river of Nowgong is the Brahmaputra which flows along the whole of the northern boundary and into which all the drainage of the district ultimately finds its way. At Silghat there are rocks and hills to give permanence to the channel. Lower down, the river spreads itself during the rains over the marshy country on either side and, when flooded, the distance between one bank to the other is very great. Between its main banks there is a wide sandy stretch in which it constantly oscillates from side to side for a breadth of about six miles on either side, throwing out here and there divergent channels which, after a time, rejoin the parent stream or get silted up. The river carries with it a heavy quantity of suspended matters and sediments and any obstruction in the current is liable to give rise to an almond-shaped Chapari or sandbank. Subsequent floods may wash this chapari away or may increase its size by fresh deposits of sand, covered with reeds and jungle grass in a few seasons. These operations of alluvium and diluvium are continually being carried on in a gigantic scale by the Brahmaputra.

The north-east corner of the district is drained by the Diphlu, the Gatonga and its tributary, the Deopani. About eight miles north-east of Silghat, the Kolong takes off from the Brahmaputra and, after flowing a tortuous course through the centre of the district, it passes through Kaliabar, Nowgong, Raha and Jagi, and rejoins the parent stream at Kajalimukh about fifteen miles above Gauhati. The upper portion of the river is joined by the Misa, the Diju and the Nanoi (Hari), contributing to the drainage of the north-western slopes of the Mikir Hills. It is connected by a channel with the Kopili which brings to it the drainage of North Cachar and the eastern slopes of the Jaintia hills. The main stream, the Kopili, then turns to the west and after receiving the Barpani and the Umiam or Killing, falls into the Kolong at Jagi. A little to the west of Jagi, the Kolong forms the boundary between the districts of Kamrup and Nowgong and not far from its junction with the parent stream, it receives the Digaru on its left bank. The country between the

Brahmaputra and the Kolong is drained by a large number of water courses (jans) forming a network of intricate channels which here and there widen out into beels or swamps, the largest of which are known as Leteri and Sonai. With a total length of 117 kilometers, the Kolong acts as a receiver for the Brahmaputra filling a very important place in the drainage system of the district. During the rains it is navigable throughout its length by boats of four tons burthen and small steamers ply in it from Silghat upto as far as Nowgong Station. Ferries too are maintained at Jagi, Raha, Nowgong and Kuwarital.

Another important river is the Kopili. It has its source in the Jaintia hills and enters the Nowgong district near Kharikhana. It flows a north-westerly course, forming a part of the southern boundary, till a little below its confluence with the Jamuna (near Jamunamukh) it takes its turn to the west, flows past Raha and finally falls into the Kolong at Jagi, after a course of 262 kilometers. The principal tributaries of the Kopili are the Doiang, the Lankajan and the Jamuna on its right bank while on its left, the Kolong, the Barpani and the Umiam or Killing—the latter two being themselves considered as rivers. During the rains it is navigable by boats of four tons burthen as far as Panimur. The river is largely used as a trade route for the southern part of the district.

Note : (1) It is a queer fact that the Kolong river, after its confluence with the Kopili at Jagi and before its junction with the Brahmaputra, is still known as the Kolong. Taking into account the term "river" in its true sense, the Kolong is just a channel which branches off from the Brahmaputra and later on joins with it ; whereas the Kopili, a river of considerable size with its source in the Jaintia Hills, loses its name after its junction with the Kolong.

This may be due to the fact that the Kopili, before being connected with the Kolong by a channel, followed its own course many centuries ago.

(2) The Umiam river which rises in the Khasi Hills is known as the Killing on entering the plains.

BEELS AND MARSHES

The Nowgong district is dotted all over with beels and marshes, many of which have formed in the old beds of rivers which have changed their courses. Beels are different from marshes in that the banks of beels are high and are often overgrown with trees, besides being long and narrow and often fairly deep. There are many big beels which are sold as public fisheries while many others are used by the villagers for this purpose. Marshes are generally numerous in the Chapari or low land areas near the Brahmaputra. The largest among them are, perhaps the Morakolong and the Kachudhara which have formed in the old bed of the Kolong. The others of lesser sizes are the Lalung, the Garanga, the Pakaria, the Gaukhojua, the Udarikhanagaria and the Haribhanga. These marshes generally teem with fish and are the haunt of birds of every kind and size from the crane, pelican or fish eagle to the snippet and the small kingfishes. The beels and marshes are very pleasant places during the cold weather.

GEOLOGY

In the Nowgong district, only three periods of the geological history are represented in the outcropping surface, namely, the Quarternary, the Tertiary and the Pre-Cambrian. The Quarternary is represented by the recent alluvium of the Brahmaputra, its many tributaries and its branch, the Kolong. The plain is covered by alluvial soil which is mostly loamy and consists of a mixture of clay and sand in varying proportions ranging to a pure sand on the bank of the Brahmaputra. Whether this large alluvial plain is underlain at depth by the Tertiaries has not been proved so far by the geophysical exploration.

Rocks belonging to the Tertiaries are exposed near Lumding. These belong to the Jaintia, the Barail and the Surma series.

Of the Barails near the top, the Kopili stage is exposed. In the Samkherjan, near Lumding, the upper 213 meters of the Kopili stage are seen mostly argillaceous ; light grey clays with ferruginous nodules predominating ; and there are also purple and dark grey shales, carbonaceous shales ; a thin coal seam and several sandstones. Below this bed are sandstones moderately fine-grained but false-bedded with one calcareous band. The thickness is about 122 meters but the base is not seen. The outcrop is marked by warm springs with salt and sulphur.

In an outlier near Lumding, the Barail beds have been reduced by pre-Boka Beel erosion to a very small thickness not more than 457 meters where it is least eroded. They have not been separated into different stages.

Again near Lumding, a large area is occupied by the Surma series. Over large tracts the beds dip very low, with variable

angles making measurement of thickness uncertain. There are probably not more than 792 meters to 914 meters of beds belonging to the Boka Beel stage, the lower Bhuban series having been overlapped. The base of the series is often a conglomerate made up mainly of large sandstone boulders set in a ferruginous sandy metrix. The rest of the series is made up of very well-bedded silts, sandy shale, clay and alternation of fine laminae of soft fine sand and soft clay. There are many concretions of calcareous sandstone which in places pass into thin bands of calcareous sandstone. Within the series there is locally an unconformity marked by occurrences of a thick ferruginous conglomerate.

The Pre-Cambrian is exposed in the low hillocks described earlier. They form the eastern edge of the Shillong plateau before it sinks below the alluvium. They are composed of gneisses and granite. These older gneisses are uniform in character with white to light grey colours.

GEOLOGICAL STRUCTURE

Structurally, the Lumding and Jamuna valley merit considerations lying as it does between the Shillong plateau on the west and its detatched portion to the east. The Shillong plateau and its continuation in the Mikir Hills and further continuation eastward under the recent alluvium of the Brahmaputra and the Tertiaries was affected by a thrust from the Himalayas, as a result of which summits and saddles were formed. The Garo Hills, the Shillong plateau, the Mikir Hills and the Mishmi Hills on the northeast are the summits. The Lumding-Jamuna Valley is a saddle while the portion of the Archaean below the alluvium submerged between Golaghat and the Mishmi Hills is another elongated saddle.

ECONOMIC MINERALS

The granites and gneisses near Jagiroad are at present being quarried for railway ballast and road metals. The clay found in the alluvial tract is used for making household pots and hollowares. Bricks are also prepared from this type of clay in some places. Deposits of limestone are found at Panimur and near the Jamuna river, but are unfortunately somewhat inaccessible and have not yet been worked. There are traces of petroleum in the neighbourhood of Lumding.

SPECIAL FEATURES ON EARTHQUAKES, FLOODS AND STORMS

The frequency of earthquakes in Assam is closely related to the geology of the region. Earthquakes occur in places where the crust is markedly unstable, such as mountain belts of geologically recent origion. One such region is formed by the Himalayan mountains and the Naga and the Lushai Hills around the northern, the north-eastern and the eastern border of the stable peninsular wedge of the Assam plateau. The organic forces which culminated in the rise of the mountains are still in progress, though equilibrium has largely been attained. Adjustments taking place from time to time find expression as earthquakes.

Like the rest of Assam, the Nowgong District has always been subject to earthquakes. The district lies in the zone where severe earthquakes occur. It suffered severely in the great earthquake of the 12th June, 1897, the epicentre of which was in the Shillong plateau. The earthquake did considerable damage to the district. Most of the buildings including the Court building, the Circuit House and the Deputy Commissioner's bungalow were rendered unfit for habitation. The metalled road along the Kolong river was split up and innumerable gaping fissures occurred. There were damages here and there and stretches of roads were shakened down to the level of the rice fields. Some parts of the jail wall collapsed and some minor damages were also seen in the masonry buildings of the district. Though damage to the buildings, roads etc. was severe, the loss of life was fortunately very small ; only 3 deaths were reported.

The district also experienced shocks which resulted from the earthquakes of subsequent dates namely the 9th September 1923, the 3rd July 1930, the 14th August 1932, the 15th January 1934, the 28th July 1947 and the 15th August, 1950.

The earthquake of the 15th August, 1950 with its epicentre at about 200 miles (320 k.m.) north of Sadiya was one of the most disastrous events in the State of Assam. An area of 15,000 sq. miles (38,850 sq. k.m.) suffered the most extensive damages resulting in loss of life and property. As far as this district is concerned, there were considerable changes in the water courses of some rivers, and the after effect of the earthquake was the annual visitation of floods causing vast devastation and untold miseries to the people.

During the last decade i.e. from 1950 to 1960 the district has been suffering greatly every year from floods. Though the flood have become annual visitant since the great earthquake of 1950, the most damaging and severe floods occurred in 1954, 1956 and 1960.

In the middle of June 1954, the district was overrun by a flood which exceeded all

past records. This flood caused damage to aus paddy and jute crops and eroded large cultivable areas. Though it subsided by the end of June, the second visit in the first part of July completely destroyed the few remaining patches of aus paddy and jute crops. For a long time the greater part of Nowgong district was under water. The flood affected many families badly, and many of the riverine inhabitants suffered due to erosion. In some places houses were also washed away. The flood caused a total loss of 12 human lives.

In June 1956 there was a heavy rainfall in the United Khasi-Jaintia Hills and Nowgong districts. The Umtru project recorded a discharge of 65,000 cusecs on the 5th of June in that year. The Kopili and the Barapani rose and submerged large areas of cultivated land in the district and caused considerable damage.

The heavy rainfall of July, 1960, caused the Brahmaputra to rise alarmingly and a greater part of Nowgong was submerged. The dyke at Kms. 33.2 and 33.4 (miles 20/6 and 20/7) along the Brahmaputra was breached on the morning of the 12th of July 1960. About 6.4 kms. of the road linking Puranigudam and Kothiatali-Amlakhi was submerged and the road was closed to traffic. The Nowgong Majdia Road was closed to vehicular traffic from the 21st September of that year. There was a heavy loss to paddy, jute and other crops ; many people became homeless and large areas were rendered uninhabitable. The flood took a toll of two human lives.

Nowgong is seldom visited by violent and destructive storms though an interval of dry weather in the rainy season is often closed by a thunder shower which is extremely welcome as it at once relives the oppressiveness of the atmosphere. Hailstorms occasionally do damage, especially to tea gardens but are very local in their sphere of action.

The following statement shows the damage and loss caused by floods and erosions during 1954 to 1960 in the Nowgong district :—

Years	Area flooded in acres	No. of villages affected by floods	No. of families affected by floods	Crop area affected by floods	No. of cattle lost	No. of human lives lost	No. of villages affected by erosion	Area eroded in acres	No. of families affected by erosion
1	2	3	4	5	6	7	8	9	10
1954	7,68,000	744	50,219	1,57,377	430	12	28	3,505	759
1955	2,43,840	579	17,707	12,969	Nil	Nil	12	728	127
1956	2,40,640	390	7,465	52,690	..	2	1	8	10
1957	33,260	50	1,800	2,302	8	Nil	9	333	60
1958	42,240	165	6,776	4,772	Nil	Nil	Nil	Nil	Nil
1959	26,975	185	4,240	1,248	Nil	Nil	Nil	Nil	Nil
1960	1,34,632	467	16,849	..	39	2	82	6,825	346

CLIMATE AND RAINFALL

The climate of Nowgong does not differ materially from that of the rest of the Assam Plains Divison. It enjoys the cold winter, pleasant spring and rainy summer. The climate is characterised by a highly humid atmosphere and abundant rains. From the month of October the rain begins to stop, the temperature falls, and the nights are fairly cool and comfortable. But the real winter begins to set in the middle of November and continues till February. During these months the dry and cold weather prevails with the sky remaining clear, the sun bright with less power and the air cool. During the night from December to February fog hangs over the open field, especially in the chapari areas near the Brahmaputra. The dry weather of February is moistened by some unforeseen light showers which sometimes continue for three or four days.

In March the temperature begins to rise and continues to be high up to the month of September. The months of June, July and August are excessively hot, were it not for the copious rains which prevent the temperature to rise. Between the month of May and September the rainfall is fairly heavy, the air becomes surcharged with moisture and the damp heat is very boring. In summer the sky is generally heavily clouded forecasting the approach of the south-western monsoons. The heavy shower of summer is welcomed by the cultivators who are fully dependent on it for their kharif cultivation.

The average rainfall of the Nowgong district does not differ very much in different years. According to the report of the District Gazetteetr, the average yearly rainfall in most part of Nowgong is about 1,905 m. m. (75"), but in the Kopili valley it is considerably less, and at Lanka it is only 1,066.8 m. m. (49"). The rainfall of Lanka is phenomenally low compared with the other places of Assam. According to available information, the recorded average annual rainfall of the district during the last decade i. e. from 1950 to 1960 for five selected stations is 1,759.26 m. m.

The following table shows the annual average rainfall during the last ten years :—

Name of centres	Yearly average rainfall of the centres in millimeters	Average rainfall in the district during the last decade
1 Amlukie T. E.	2,008.40 m.m.	
2 Amsoi T. E.	1,291.21 m.m.	
3 Salona T. E.	2,149.35m.m.	1,759.26m.m.
4 Sonea T. E.	2,121.58 m.m.	
5 Lumding	1,225.66 m.m.	

Nowgong is to some extent, sheltered from the monsoon by the Khasi-Jaintia and other hills and the annual rainfall over the greater part of the district averages below 1,500 m. m. On the eastern part of the district, however, rainfall varies between 1,500 m. m. to 2,000 m. m. a year.

About 91 % of the annual rainfall is received during the months of March to September. During the last decade the highest rainfall recorded at Amlukie centre in August 1952 was 659.8 m.m.

TEMPERATURE

There are two meteorological observatories in the Nowgong district, one at the Loongsoong T. E. and the other at Lumding. It is more convenient to take the records of temperature supplied by the Lumding station as representative of the district in general. The cold season starts in November when the day and night temperatures begin to fall rapidly. In the month of January the thermometer falls to the lowest point. In 1951 and 1954 the mean daily lowest minimum temperature in the month of January came down to the level of 4.4° centrigrade which was the lowest in the last decade. But the mean daily minimum temperature in general for the whole year is 19.4° centigrade. In the month of January 1960 the mean daily minimum temperature in the Lumding Station and in the Loongsoong T. E. were 6.9° and 10.8° centigrade which were the lowest in the last decade. During the last decade, the mean daily maximum temperature recorded in January 1958 at the Lumding Station was 26.0° centigrade which was the highest.

The temperature begins to rise from the beginning of March, reaching the maximum in July, August and September. During these months the mean daily maximum temperature varies from 30.93° to 35.0° centigrade in the Lumding Station, and 28.9° to 32.8° centigrade in the Loongsoong T. E. But the mean daily maximum temperature through the whole year in Nowgong district as a whole varies from 29.1° to 33.4° centigrade.

The high percentage of moisture in the atmosphere with its damp heat makes the weather very unpleasant and irritating during the monsoon period.

The highest maximum temperature in the last decade as recorded at the Lumding station in August, 1953, was 38.3° centigrade.

FOREST

Botanically the forest of Nowgong district can roughly be divided into two divisions, —the tropical ever-green forests, and the miscellaneous forests. The first category includes

those vegetations, such as Ameri, Gonsarai, (Cinnamomum Glanduliferum) Sapa etc. In the second category such species are included the top canopies of which are deciduous, and the middle and the lower canopies are evergreen in character.

There are also may other types of forests such as, mixed type, dry miscellaneous type, wet miscellaneous type, riverine type, savannah type, swamp type etc. They are also composed of many canopies such as top canopy, middle canopy and lower canopy.

(1) The mixed type of forests contain the top canopy species such as Sal (Shorea Robusta), Bhamora, Sida (Lagerstroemia Parviflora), Jamu, Ajhar (Lagerstroemia Flos Reginae), Gomari (Gmelina Arborea), Sam (Artocarpus Chaplasha) etc. The middle canopy contains species like Kumbi (Careya Arborea), Gohara, Sonaru (Cassia Fistula), Kuhir, Bandardima etc., with Kako bamboo.

The undergrowths are mostly shrubs and grasses like thatch and hay and these are the lower canopy species.

(2) The dry miscellaneous type of forests contain the species like Gomari, Amari, Bola (Molus Laevigata), Bagipoma, Gonsarai (Cinnamomum Glanduliferum), Sopa, Sam and Simul (Bombax Malabaricum) etc. The differentiation of canopies is not well defined in these types of forests.

(3) The wet miscellaneous type of forests is characterised by evergreen and semi-evergreen species. The top canopy species are Bhelu, Sam, Hollock, Amari, Khokan (Duabanga Soneratioides), Korai (Albizzia Procera), Jamu and Hatipaila etc.

The middle canopy species are Ajhar, Monaiteleku, Singari, Marhal, Bandurdima etc. and the lower canopies are generally of miscellaneous nature and of moss type.

(4) Riverine type:—In this type of forests there are also two sub-types, i. e,. Brahmaputra alluvium, and Jamuna-Kopili valley alluvium types. In the Brahmaputra alluvium the principal species is Simul. The presence of dense grasses of the genera phragmites, imperata etc. associate with Korai, Siris, Jamu, Uriam (Bischoffia Javanica) etc. The Jamuna and the Kopili valley alluvium contains the mixed type of forests and is composed of trees like Korai, Ajhar, Uriam, Simul, Outenga, Mukhai etc. and also in the well-drained soils the better species like Sopa, Poma (Cedrela Toona), Gonsarai, Amari are to be seen.

(5) Savannah type :—The dry Savannah type occurs in open areas in dry miscellaneous forests and are characterised by species like Ulu (Imperata Arundinaceum), Khagari (Saccharum Spontaneum) and other grasses.

But the Savannah type is characterised by the availability of the type of grasses like Ikra (Saccharum Arundinaceum) and Nal (Phragmites Roxburghii) etc.

(6) Swamp type :—This type includes beels and marshes and abandoned river channels. Alpine species are generally associated with this type.

FOREST BELT

The forests of the Nowgong district have been classified into two divisions—the Reserve Forests and the Unclassed State Forests. Reserve Forests have been constituted under provisions made in the Assam Forest Regulation Act VII 1891 by which the following are enacted i. e. (1) Tresspassing or permitting cattle to tresspass or allowing cattle to pasture ; (2) Causing any damage by negligence in felling any tree or cutting or dragging any timber ; (3) Any fresh clearance under provisions of Section 7 ; (4) Setting any fire in contravention of any rules made by the Government so as to endanger the Forests ; (5) Felling, cutting, girdling, marking, taping or causing injuries by fire or otherwise to any tree, (6) Quarrying, stem burning for lime or charcoal or collections subject to any manufacturing process or removal of forest product ; (7) Clearing or breaking up of land for any purpose and (8) Poisoning of water or hunting, shooting, fishing etc. in contravention to Government rules.

In 1902-03 the Reserve Forest covered an area of 142 square miles or 9,0880 acres. But at present they cover an area of 221,669 acres (according to Gazette Notification), and 224,263 acres (according to Working Plan computation). However, the area of the Reserve Forest totalling 225,656.51 acres approximately as supplied by the office of the Chief Conservator of Forest may be accepted as genuine.

The Forests Reserves are under the control of a division known as the Nowgong Forest

Division and comprise of the following Reserves :—

1	Sonaikushi ..	13,104	acres
2	Kholahat ..	15,230.5	,,
3	Borpani ..	7,840	,,
4	Latumai ..	9,216	,,
5	Habaipur ..	4,676	,,
6	Hojai ..	1,341	,,
7	Laokhowa ..	17,076	,,
8	Kamakhya hill ..	1,280	,,
9	Kukrakata ..	3,936	,,
10	Bagsar ..	8,320	,,
11	Diju valley ..	5,703	,,
12	Suang ..	6,535	,,
13	Bamuni ..	384	,,
14	Dabaka ..	30,151	,,
15	Jamuna Maudanga	3,686	,,
16	Rajamayang hill ..	2,960	,,
17	Kaki (part) ..	32,440	,,
18	Lumding ..	55,357.41	,,
19	Kamarakata ..	2,685	,,
20	Kapitalli ..	721	,,
21	Deosur ..	1,450	,,
22	Barbari ..	136	,,
23	Killing ..	1,107	,,
24	Dhuadalani ..	12.5	,,
25	Pilkhana ..	310	,,
26	Kaziranga (part) ..	(Included in Sibsagar District)	
	Total—	225,656.51	acres

Unclassed State Forest is however simply Government waste land and does not necessarily possess any of the characteristics which are usually associated with the expression 'forest'. It may be a sandy chur or a huge expanse of low-lying land covered with high grass and reeds and almost totally destitute of trees. It may be a small piece of arable land, which has been resigned by its former holder and has not yet been settled with any other person ; or it may be what its name would naturally suggest, i.e. actual tree forest. In 1902-03 the Unclassed State Forest occupied an enormous area of 3,418 square miles or 21,87,520 acres. But in 1960-61 the area was reduced to 879 square miles or 50,560 acres, as a good portion of the Unclassed State Forest was included in the management of the Mikir Hills District Council.

FAUNA

Like the rest of Assam, wild animals are fairly common in this district also. They include elephants, rhinoceros, bisons (bos-gauros), buffaloes, tigers, leopards, bears, wild pigs, porcupines and different kinds of deer, the principal varieties of which are Sambar (cervus unicolor), bara singha (cervus duvauceli), hog deer (cervus porcinus) and barking deer (cervus muntjac). Elephants are fairly common, especially near the hills, and when the crops are ripening, cause much damage unless the number of herds are regularly kept down. Besides these, there are a large number of jungle cats and monkeys in the forest areas. The rhinoceros which have become scarce now-a-days breed slowly and as the horn is valuable and the flesh priced as food, they present a tempting mark to the hunters. Forty square miles of uninhabited jungle land near Laokhowa have been reserved and constituted as a game sanctuary. Varieties of water birds abound in beels and marshes, some of which are snipes, adjutants, cormorants, black-billed and white-billed storks and the small blue kingfisher. Different kinds of birds are also found in the forests of the district.

HISTORY OF THE NOWGONG DISTRICT

It is doubtful whether the whole of the Nowgong district was a separate kingdom under its own ruler. It has no independent history apart from that of the Assam Valley. According to the Mahabharata and the Ramayana it was originally included in the ancient Hindu Kingdom of Pragjyotishpur and Kamarupa. For many centuries, the history of the district is involved in great obscurity. But recently the research work on Assam history throws some light on it.

The whole of the Nowgong district consisted of several kingdoms ruled by different rulers at the same time such as the Kings of Kamarupa, the Jaintias, the Kacharis, the Bara Bhuyans, the Koches and the Ahoms.

Broadly speaking Assam was known in ancient time as Pragjyotisha and in medieval time as Kamarupa. Modern Assam, including the Nowgong district, is a part of the ancient kingdom of Pragjyotisha. Before discussing the history of the Nowgong district we are to know first something about the country of Pragjyotisha.

Pragjyotisha has been mentioned in the Great Epics of the Ramayana and the Mahabharata. According to the Ramayana, the city of Pragjyotisha was built on a gold

crested mountain called Varaha which was 64 Yojanas in extent and which abutted on the sea "Varunalaya". That the country was closed to the mountain is evident from the fact that Bhagadatta, the king of Pragjyotisha, is called Sailalaya in the Mahabharata. Bhagadatta recruited his troops from the Kiratas, the Cinas and the dwellers of the marshy region near the sea. The Kirata most probably was the genuine name of the Mongolian people and the name Cina was perhaps applied to the Tibetans and the Bhutias. Those who lived in Sayananupa (near the sea) were evidently the people living in the marshy region of Sylhet, Mymensingh and Tripura.

According to the Kalika Purana, the name of this land was changed from Pragjyotisha to Kamarupa as soon as Naraka of Mithila became king and was placed in charge of the temple Kamakhya. Dr. Kakati opines that the term Kamrup (Kamakhya) symbolised the new cult and in exaltation of it, the land itself was renamed. According to the Puranic legends the name Kamrupa is associated with Kamadeva.

The family of Pusyavarman constituted the first historical dynasty of the Bhauma Naraka family said to have ruled in ancient Assam in 325 A. D. In the Allahabad pillar inscription of Samudra Gupta between 330—380 A. D., Kamrup is mentioned as a foreign kingdom along with Samatata, Nepal, Kartipur and Davaka. According to some historians, Pusyavarman was the contemporary of Samudra Gupta, and Davaka was another frontier kingdom in the Kopili valley. Both the countries might have submitted to Samudra Gupta though their autonomy remained unimpaired.

Pusyavarman was succeeded by his son Samudravarman between 380—405 A. D. According to the Nidhanpur grant of Vaskaravarman, the second king Samudravarman, saw no anarchy and so K. L. Barua says that after such anarchy was ended Pusyavarman rose to power. But after Samudravarman, Balavarman I came to the throne and ruled from 405 to 420 A. D. The Nidhanpur grant says that the third King Balavarman defeated many enemies, but who those enemies were was not mentioned. Though the rulers of the Varman dynasty ruled over Nowgong on the bank of the Brahmaputra, the southern portion of the Nowgong district such as Davaka was independent. It may be conjectured that Balavarman tried for the conquest of Davaka but he could not have been successful since his triumphs are described in the vague and most general terms. According to Dr. P. C. Choudhury there is a valid ground to prove that his immediate successor, Kalyanavarman, conquered Davaka between 420 B. C.—40 A, D.

Bhutivarman was the fifth ascendant from the Vaskaravarman line who ruled probably towards the end of the fifth century A. D. According to the Badganga inscription, Bhutivarman donated land to the 205 Brahmans on the bank of the Kosi river. This is also confirmed by the Nidhanpur grant of Vaskara Varman. it also shows that the kingdom of Kamrup extended at this time from the present Purnea district of Bihar to the extreme eastern part of the Nowgong district. In the 7th century Hiuen Tsang found in the northern portion of the Nowgong district hundreds of Deva temples with myriads of professed adherents of different Hindu cults. During this period the country was included in the kingdom of Kamrup.

The Nowgong copper-plate inscription of Balavarman which was found in the village of Sutargaon near Puranigudam, states that Balavarman granted lands to the Brahman Srutidhara in Hensiva lying within the Visaya of Dijjina at Dinajpur in North Bengal. He was the last dutiful and energetic ruler of the Salastambha line, managing the affairs of the administration with a well-organised government machinery. But his successors were very weak and the downfall of the Salastambha dynasty came rapidly. The immediate successors of Balavarman are as yet unknown. The Borgaon grant of Ratnapala reveals that there were 21 rulers of the family of Salastambha, the last king Tyagasinha who may have ruled Between 970 to 990 A. D.

In 990 A. D. Brahmapala ascended to the throne of Kamrup and established a new line of the Palas. The origin of the founder of the Pala line is given in the grants of the family, indicating that Brahmapala was of the same Bhauma dynasty, to which Pusyavarman and Salastambha belonged. The extension of the Kamrup territory during the reign of Brahmapala in the east included the greater part of modern Assam including Nowgong. He was succeeded by his son Ratnapala. It is evident from his Bargaon copper plate inscription that Ratnapala had the credit of building a new fortress in the capital town named Durjaya (impregnable). The location of Durjaya has been a long disputed question among the scholars. R. M. Nath and some other scholars are firmly convinced that Durjaya is no other than the present Jogijan near Hojai. According to the Kalika Purana, Durjaya was the capital city of the Pala kings and the recent discovery of temples and palaces in that area built by Ratnapala (1000-1030), Indrapala (1030-1055) and Dharmapala (1090-1115 A. D.) proved that the present Jogijan is in Durjaya.

According to Ratnapala's Soalkuchi plate, he donated lands to the Brahmans in the Kullanga region in the present Dhing circle where they still exist in Burahgaon—the ancient Briddhagrama. His son Purandarapala married a princess of the country which was conquered by Parasurama. His grandson Indrapala, a Varahi king, made a gift of a plot of land including the Sabriddhagram which is mentioned in the Gaukuchi plate. The last important Pala ruler was Dharmapala (1090 to 1115 A.D.). Dharmapala also granted land in Briddhagram where there was a temple of Madhusudan. According to his Burahgaon copper plate inscription, he was not a worshipper of Mahadeva. He made his grants to Brahmans who worshipped Madhava. Pandit P. Vidyavinod surmised that Dharmapala became a Vaisnavite in the later part of his reign which fact was confirmed by the presence of many Vishnu images along with Siva lingams in Gosainguri, Mikir Ali and Daboka. He was succeeded by Jayapala, the last Pala king in Kamrup.

Ramapala the king of Gauda conquered Kamrup during the reign of Joyapala and after the conquest of Kamrup a man named Tingyadeva ruled Pragjyotishpur as a tributary king under him. Tingyadeva ruled after the Pala dynasty in Assam. According to the Kamauli grant of Vaidyadeva, when Ramapala died, Tingyadeva rebelled against his lord and so Kumarapala of Gauda, son of Ramapala, sent Vaidyadeva for suppressing the rebel, Vaidyadeva crushed the rebellion and became king in his stead in 1131 A. D. Vaidyadeva was succeeded by two other kings after whom came Prithu. During his reign the first Muhammadan invasion under Mahamad Bin Bakhtiyar took place in 1206 A. D. which was successfully repulsed.

In 1226 A. D. the second Muslim invasion of Kamrup under Ghiasuddin Iwaz took place. According to the Gachtal inscription of Nowgong, the invader advanced up to that region but was defeated and fled to the west.

Prithu was succeeded by Sandhya. During his reign the third Muslim invasion of Ikthiyaruddin Yuzbak took place in 1256-57. Yuzbak was defeated and only a few of his soldiers could escape. Sandhya shifted his capital to Kamata not only owing to the fear of repeated Muslim invasions but also on account of the fact that the Ahoms from the east began to push westwards in the beginning of the second quarter of the 13th century A. D.

In the meantime a king named Arimatta of the Jitary family came from the north of the Brahmaputra and conquered Nowgong. He extended his territory up to Majuli. It can be ascertained from the fort known as Jongalbalahugarh. which was found in the Sahari Mauza in Nowgong district, that Jongalbalahu, another son of Arimatta, was the ruler of that area after him. He is said to have been defeated by the Kacharis and drowned himself in the Kolong river. The Hindu families began to decline, and many small principalities were founded by the Ahom, the Kacharis, the Koches, the Khasis, the Jaintias and the Bhuyans in the 13th century A. D.

In the 14th century, the son-in-law of the Bihali king, established kingdom at Barhampur near Nowgong and extended his kingdom up to Sonapur

To get rid of the troubles created by the Bhutias, two descendants of Chandi Barbhuyan came to the south bank of the Brahmaputra and settled at Batadraba in Nowgong District where his great grandson Sandara Deva was born.

SHORT HISTORY OF THE KACHARIS

Riv. Sidney Endle in his account of the Kacharis described the Kacharis as "The original autochthons of Assam". According to B. C. Allen's District Gazetteer "these Kacharis belong to the great Bodo tribe which is found not only in the valley of the Brahmaputra, but in the Garo Hills and in Tippera, south of the Surma Valley. They are thought to be a section of the Indo-Chinese race whose original habitat was said to have been located in the inaccessible hills and valleys which conceal the sources of the Yang-tse-kiang and the Ho-ang-ho, and seemed to have gradually spread in successive waves of immigration over a great part of what is known as the State of Assam. According to the history of the civilization of Assam, the Bodos were once a very dominant people of the valley, and petty kingdoms like those of the Kacharis and the Chutias were established by them even before the intrusion of the Ahoms. Remnants of their political domination, after the extinction of Hindu kingdoms and of their culture, may be noticed from the names of places, particularly rivers. The important members of the group of the present day are the Garos, the Kacharis, the Chutias, the Rabhas, the Koches, the Lalungs, the Meches, the Hajongs, the Hojais, the Dimasas and others whose common language was Bodo or Boro. Some of them got mixed up with the Shans at a later time."

According to Fisher, the Kacharis of North Cachar believed that they once ruled in Kamrup. On the other hand Mr. Dundas quotes a prayer used by the Dimasas or Kacharis of

the North Cachar Hills which supports the view that the tribe came from the north-east. It refers to a huge Pepul tree growing near the confluence of the Lilao (Brahmaputra) and the Sagi. There the population of the Kacharis increased greatly in numbers and thence they travelled by land and water till they reached Nilachal, the hill near Gauhati. From Gauhati they migrated to Halali and finally settled at Dimapur.

Captain Fisher was of the opinion that the Bodo gradually, acquired an empire over Assam, Sylhet Mymensingh and the valleys to the east of the Brahmaputra.

But there is no other written record of the Kachari rule of the early period. The only trustworthy information regarding their past history is contained in the histories which deal primarily with the history of the Ahoms.

The early history of Tripura (the Rajamala) mentions the ancient Tripura Kingdom in the Kopili Valley. It states that during the reign of Naraka in Pragjyotisha there were two independent kingdoms of the Kiratas in its north-east frontier. They were known as Kachari and Tripura kingdoms. The Tripura kings traced their descent from Druhya, the son of Yajati. It is said that Pratardana, who was the twentyfifth in descent from Druhya, conquered the Kiratas and founded the kingdom, the capital of which was on the bank of the river Kopili. According to the Rajamala, sixteen kings, from Pratardana to Dakshin, ruled over the Jrivaga kingdom with its capital on the Kopili Valley.

The study of their history shows that from the early period to the beginning of the 13th Century the Kacharis were occupying the valleys of the Dhansiri and the Kopili, and were ruling over the western portion of Sibsagar and the southern and eastern portions of the Nowgong district. The first Ahom invasion against the Kacharis took place in 1490 A. D. in which the Ahom king Suhangpha was defeated and was driven across the Dikhow. But this victory of the Kacharis was not however of a long duration. In 1531 A. D. hostilities were renewed and a collision occurred in the south of the Golaghat Subdivision in which the Kacharis were defeated. In 1536 war again broke out when the Ahoms advanced up to the Dhansiri and in which the Kachari king Detsung was defeated and killed. The Kacharis left Dimapur and the late king's son Madan Kumar alias Nirbhoy Narayan, was installed as a vassal king under the Ahoms at Lakhindrapur in 1545 A. D. King Megha Narayan shifted his capital to Maibong in 1576 A. D. which fact is confirmed of his stone inscription bearing his name and discovered at Maibong. He gradually extended his territories in all directions.

Megha Narayan was followed by Joso-Narayan Dev in 1580 A. D. Gait states that a silver coin found a few years ago in the neighbourhood of Maibong bears a date equivalent to 1583 A. D. and was issued by Jaso Narayan Dev a worshipper of Hara Gauri i. e., Siva and Durga. It is however clear that the Kachari princes continued to rule in the Kopili valley in feudal capacity and held sway over the greater part of the Nowgong district.

At the beginning of the 17th century, the Kachari king Satrudaman defeated the Jaintia king Dhan Manik who gave two princesses in marriage to the Kachari king and made over his nephew Jasa Manik as a hostage. Soon after Dhan Manik died, Satrudaman released Jasa Manik and made him king of Jaintia. But Jasa Manik resented this and because of his conspiracy, a war broke out between the Ahoms and the Kacharis. The Ahom garrison was destroyed in the battle of Raha. Satrudaman celebrated his success by assuming the title of Pratap Narayan and changed the name of his capital from Maibong to Kintipur. After the death of Satrudaman, Nara Narayan, Bhim Darpa, Indra Ballav, Bir Darpa Narayan, Garudhvaj, Makurdhvaj and Udayaditya came successively to the Kachari throne but there were no important events worth mentioning during their reign.

Just after Rudra Singha ascended the Ahom throne, the Kachari king Tamradhvaj declared his independence. In December 1706 Rudra Singha despatched two forces against Tamradhvaj. The Kachari king was defeated and fled to Khaspur. In the meantime the Ahoms were decimated by fever and dysentery and after demolishing the brick fort at Maibong, returned to their own country.

According to the Moudanga inscription, Tularam Senapati was the last Kachari king whose capital was at Kosomari. Due to some political reasons he entered into a treaty with Captain Jenkins on the 3rd November 1826 A. D. and the Kachari territory was annexed to the British colony. Thus the glorious chapter of the Kachari history came to an end.

The Kacharis were great builders of cities, forts tanks, and temples, traces of which are still found in the Kopili and Jamuna valley. The old ruins of Dimapur, Maibong and Cachar are vivid evidence of their past glories of arts and architecture. Their ancient capital, Dimapur, is one of the important sites of

megalithic culture. Most of the remains of the Kachari civilization were established before the Ahom invasion in the 13th century A. D. Mr. J. P. Mills points out that there is a close affinity between the Kachari and the Naga culture. The remains of Kosomari and Jamaguri show the secimens of non-Aryan workmanship with Hindu influence. In later times they came under the Hindu influence and many of them were converted to Hinduism. They gave value to education irrespective of sex.

SHORT HISTORY OF JAINTIA

History shows that the Mon Khmer speakers were the original inhabitants of Assam, especially in Khasi and Jaintia Hills. They were one of the branches of Finno-Ugrian or Astro-Asiatic stock. K. L. Barua says that the Mon Khmer were the Pre-Mediterraneans. The Mon Khmer speaking people of Assam have distinctive cultural contribution, such as megalithic burials, neolithic shouldered hoe, terraced rice cultivation, iron smelting and matriarchy, all indicative of advanced culture and civilization.

Dr. Banerjee states that there was a cultural connection between the Finno-Ugrians on the one hand and the Mundas as well as the Mon Khmers on the other. For instance, he shows that ophiolatry (serpent-worship) is still prevailing among the Mundas as well as the Finno-ugrians. There was also a mythological affinity among them.

But when the Mongoloid Tibeto-Burmans came to Assam, they displaced the Mon Khmer speakers. All those displacement took place during the pre-historic period. According to chronology the Tibeto-Burmans were the direct successors of the Khasi-Syntengs and perhaps also other tribes like the Mikirs.

According to Mr. Gait, there is practically no difference between the inhabitants of the Khasi Hills and those of the Jaintia Hills. They are both of the same physical structure, speaking the same language-Khasi-which is the only surviving dialect in India, excluding Burma, of the Mon Khmer family of languages. Language and physical features sometimes undergo tremendous intermixture within a short time. Hundreds of Jaintias in the Nowgong district who have now become Raj-bansis or Saru-Koches are gradually becoming Kalitas.

The study of history shows that there was a kingdom Oddiyana near Lanka ruled by the Jaintia Kings. According to R. M. Nath Oddiyana is no other than the present Hojai area of Nowgong District.

The Jaintias were ruling over the southern portion of the Nowgong district, sometime as feudatories of the Palas of Kamrup and sometime independently. But there is no written record to throw some light on the details of the early period of the Jaintias. In the middle of the 16th century, Sila-Rai, the brother and general of the Koch king Nara-Narayan, attacked the Jaintia Kingdom. In the resultant battle the Jaintia King was defeated and killed and his son was placed on the Jaintia throne by Sila Rai on condition of the former's paying regular tributes.

In the beginning of the 17th century, the Jaintia King Dhan Manik seized Prabhakar, the Chief of Dimarua. The Kachari king came forward to help Prabhakar and invaded Dhan Manik's kingdom in which the latter was defeated and became a feudatory of the Kacharis. He gave two princesses in marriage to the Kachari king and gave over his nephew, Jasa Manik, as a royal hostage.

Soon after the death of Dhan Manik, the Kachari king released Jasa Manik and made him king of Jaintiapur. But after sometime he disregarded his allegiance with the Kacharis and gave his daughter in marriage to the Ahom king Buddhiswarga Narayan alias Pratap Singha (1603-1641) and obtained a grant of some landed properties near Phulaguri on the bank of the Kolong river in Nowgong District.

Jasa Manik was succeeded in turn by Sundar Roy, Chota Parbat Roy and Jasamanta Roy. During the reign of Jasamanta Roy (1647-1660), he seized one Ahom trader, whom he released on the representation of the Ahom king. Even so, in return, the latter arrested some Jaintia traders at Sonapur, after nine years this matter was amicably settled.

In 1658 Pramata Roy rebelled against his grand-father Jasamanta Roy, the king of Jaintia. Pramata Roy asked the chief of Gobha for help, but on his refusal, Pramata Roy destroyed four of his villages. The chief of Gobha asked for help from the Ahom King Jayadhvaj Singha who established him in Khagarijan near the present Nowgong town.

Thus it is quite evident that some parts in the southern portion of the Nowgong district had been under the Jaintia kings at least from the 12th Century down to 1835. There were many small kingdoms near about Nowgong dependent on the Jaintia kings, such as Gobha, Nelli, Khola, Topakuchi, Barabhujia, Sahori and Phulaguri. The descendants of the chiefs of these dominions

are still known to the local people as Rajahs and they still enjoy the honour and privileges of the villagers. There were many places falling under the Jaintia kingdom for a considerable period till the annexation of Upper Assam by the British Government. Sir A. E. Gait writes in his history of Assam that during the unsettled conditions which prevailed for sometime after the Burmese War, the Raja of Jaintia encroached considerably on the southern border of Nowgong district and between 1830 and 1832 he was repeatedly called upon to remove an outpost which he had established at Chaparmukh without authority. He evaded compliance, but before any coercive measures could be taken, a fresh cause of dispute arose. In 1832, the Raja of Gobha, one of the petty chieftains dependent of Jaintia, acting under the orders of his suzerain, seized four British subjects, three of whom were afterwards immolated at the shrine of the goddess Kali. The fourth escaped and gave information of the occurrence.

On the 15th March, 1835, Captain Lister with two companies of the Sylhet Light Infantry took formal possession of Jaintiapur and issued a proclamation announcing the annexation of the Jaintia Parganas to British territory. A few weeks later, Gobha in the Nowgong district was similarly taken over by a detachment of the Assam Light Infantry. Thus the Jaintia rule in Nowgong district came to an end.

SHORT HISTORY OF THE KOCHES

Koches are one of the members of the Bodo group of Tibeto-Burman family of Mongolian stock which has already been described in the short history of the Kacharis. According to Gait the word 'Koch' is a term of some ambiguity. In Assam proper, it has been known as the name of a Hindu caste, into which are received the converts to Hinduism from the ranks of the Kachari, Lalung, Mikir and other tribes.

The founder of the Koch kingdom was a Mech named Viswa Singha. He rose to power about 1515 A. D. Viswa Singha subdued a petty prince who surrendered to him and founded a magnificent city in Koch Bihar, where he shifted his capital from Chikangram. He was converted to Hinduism and became its great patron. He worshipped Siva and Durga. He revived the worship of the goddess Kamakhya and rebuilt her temple on the Nilachal hill near Gauhati.

When the Kachari kings were defeated by the Ahoms in the Kopili valley and became feudatory rulers, the northern portion of Nowgong came under the Koch kings of Kamrup. According to the chronicles of the Koch kings, Viswa Singha under-took an invasion of the Ahom territory but retreated. But according to the Ahom chronicles, he visited the Ahom Kingdom as a friend in 1537. Viswa Singha died after reign of 25 years.

He was succeeded by his son Malla Deva in 1534 A. D. who assumed the name of Nara Narayan. He was helped by his brother Sukladhvaj. Nara Narayan appointed him as his Commander-in-chief. In this capacity, Sukladhvaj displayed such courage and rapidity of movement that he was nicknamed Sila Rai or the Kite King.

Nara Narayan soon came into conflict with the Ahoms when Suhunmung was king. The Koch army under the leadership of Sila Rai advanced up to the Dikrai river where a battle took place in 1546 A. D. The Koches fought with bows and arrows and succeeded in killing some of the Ahom leaders. But the decisive battle was fought at Kaliabar. In 1547 the Koches were defeated and many of them were slain. Nara Narayan was not the man to brook such an insult and in 1562 a fresh attempt was made to overcome his powerful rival. In January Sila Rai advanced with a large force up to Dikhow. He inflicted an overwhelming defeat on the Ahoms and the Ahom king Sukhampha and his chief nobles fled to Charaikharang in Namrup and the Koches entered the Ahom Capital, Gurgaon. After some months peace was concluded and the Ahoms accepted the Koch suzerainty.

Nara Narayan defeated not only the Ahoms but also the Kacharis, the Jaintias, the Tipperas of Tripura and the king of Sylhet and received the submission of the Manipuri king and the chiefs of Khairam and Dimuria. After some years Sila Rai was defeated by the Badshah of Gaur and was taken prisoner. He was soon released, and returned home. A few years later Nara Narayan joined with the Emperor Akbar and attacked Gaur. The Badshah of Gaur was defeated and Gaur was divided between the Emperor Akbar of Delhi and the Koch king. Narayan died in 1584. The reign of Nara Narayan represented the zenith of the Koch power, which, however, declined as rapidly as it had risen.

Soon after the fall of the Koch power Nowgong was harried by the wars between the Ahoms and the Muhammadans.

SHORT HISTORY OF THE AHOMS

The beginning of the thirteenth century brought about a great change in the political

and administrative history of this country along with the entrance of a more powerful clan. In about 1228 A. D. the Man branch of the great Tai race founded the Ahom kingdom of Assam along the Brahmaputra river and they have since been styled as Ahoms in this country.

The original home of the Tais according to Dr. Grierson was "the north-western China between the upper course of the Yang-tse and of the Hoang-ho". But according to George Scott "South-western China" was the original home of the Tais. Although there were linguistic and physical affinity between the Tais and the Chinese, the "History of the southern Princes" by Yau-Tsai says that from the first mention in the Chinese history up to the modern time the Tais have never been called Chinese either by themselves or by the Chinese.

The Tais first migrated to Upper Burma in the valley of Nam-Mao (Sewali river) from their original seat Yan-nan during the sixth century and from thence south-east over the present Shan states and into the Irrawady valley in later times.

Robinson, Hutton and some other scholars believe that the Shans invaded Assam in the eighth century. Dalton in his Descriptive Ethnology of Bengal, 1872, states, "In the reign of Sukhampha, the 13th sovereign of the empire of Pong (777 A. D.), his brother Samlonpha, who was the general of the forces, having subjugated Cachar, Tipperah and Manipur pushed across the hills to the valley of the Brahmaputra and commenced there a series of conquests by which the Shans gradually reduced the whole country."

In about 1228 A. D. a Tai prince called Chao-Sukapha, brother of Mungmau, entered Assam through the Patkoi hills defeating the Nagas on his way and arrived in Kham-jang. After defeating the local chiefs he reached Simaluguri in 1253 where a city was built amid general rejoicings. Sukapha then defeated the Morans and Barahis who were ruling over a narrow strip of territory in Sibsagar and established his capital at the foot of the Charaideo hills. At that time, Upper Assam was ruled by the powerful Chutiyas, a tribe of Bodo group who established their rule after defeating the Hindu Palas of Kamrup. On the west there were the Kacharis with their capital at Dimapur. So the Ahoms had to face frequent wars from 1268-1523 A. D. against the Naras, the Chutiyas, the Kacharis and the Nagas. During the reign of Suhunmung (1497-1539) the Chutiya king was finally defeated in 1523 and his kingdom was annexed by the Ahom king. Suhummung also defeated the Kacharis in 1536 and sacked the capital at Dimapur.

In the early part of the 16th century, the Ahoms had to face a new attack from the Koches and the Muhammadans in the west. In 1532 the Ahoms defeated the Muhammadans invader Turbuk on the bank of the Bharali. But in 1546 they were defeated by the Koches at the battle of Kaliabar in Nowgong district. Their final defeat was in 1562 when the Ahom king fled to Namrup and the Koches entered the Ahom capital at Gargaon. The Ahom king Sukhampha was compelled to enter into a peace treaty with the Koches by which he accepted their suzerainty. The Koch power declined with the death of Nara Narayan.

During the reign of Susengpha alias Pratap Singha in 1603-1641, troops were sent up the Kolong to Raha and thence up to the Kopili against the Kacharis, where they were defeated. Pratap Singha kept a strong garrison at Raha in charge of a Gohain named Sundar. But after some time his mind was poisoned by his son Akhek against the king and he became indifferent to his duties. The Kacharis under Bhim Darpa, the eldest son of the Kachari king, took advantage of the slackness and attacked the Ahom garrison in which Sundar Gohain and many other Ahoms were killed.

In 1615 the Ahoms had to face the Muslim invasion under Said Abu Bakr and Satrajit who advanced up to the Bharali to avenge a murder of a Muhammedan trader at Kaliabar. Though the Muhammedans were at first successful, they were subsequently defeated both on land and water with great slaughter.

Pratap Singha created a new post with the title of Bar-phukan and appointed Langi Panisiya in that post in the conquered provinces west of Kaliabar, and the tract east of Kaliabar was placed under the administration of a Bar-Barua. The first incumbent to this post was Momai Tamuli, the King's uncle.

The Ahoms gained several victories over the Mughals and finally a treaty was concluded between the Ahom General Momai Tamuli and the Mughal Commander, Allayer Khan in 1638 A. D., by which their respective boundaries were demarcated. Pratap Singha's reign witnessed the inauguration of internal reforms and the growing influence of Hinduism.

During the reign of Sutamla or Jayadhvaj Singha (1648-1663), the Hindu influence rapidly grew in the Ahom court. He established many shrines (satras) of the Vaisnavist cult and took sramana (saran) from a Brahman

preacher. The important events during the reign of Sutamla were the conflicts with the king of Koch-Behar and the famous invasion of the Mughals under Mir Jumla, the Nawab of Dacca in 1658. The Koches were defeated. In the meantime the Ahoms took advantage of the confusion that ensued on the deposition of Shah Jahan to extend their influence to the Sankosh in 1658. But three years later they were driven back by the Mughals. In this war they had to face the Mughals in many places and their main engagement took place in Kajal on the mouth of the Kolong, Simaluguri and Kaliabor. In Simaluguri the Ahoms gave a heavy fight but could not withstand. Mir Jumla occupied Gargaon and the Ahom king fled to the Naga Hills. Mir Jumla established himself in the Ahom capital for sometime and refused to enter into any peace agreement offered by king Sutamla. In the meantime, natural calamities occurred and Mir Jumla was compelled to leave the Ahom territory. Disease caused havoc among the Mughals in their waterlogged camp, and the detachment which numbered fifteen hundred men at the beginning of the war was reduced to five hundred. Francis Hamilton in his accounts of Assam says "his army was so roughly handled by the enterprising and warlike Assamese, that he not only was compelled to make a precipitate retreat, but had to yield up a large part of the lands which had belonged to the Muslims before the invasion took place". On the 9th January 1663, a treaty was concluded on the terms of which the Ahom king promised to pay the war indemnity and also to give an Ahom prince as hostage to the Emperor. On the conclusion of peace, the Muhammedans retreated down the valley and suffered greatly while crossing the Kajali plain and the Chaparis. According to the Muhammedan historians, the soldiers had to subsist four days on water. A large number of men lost their lives in the retreat. The later history of Mir Jumla's expedition is not unlike that of Napoleon's ill-fated eruption into Russia. Rain and fever did for the Ahom what frost and snow did for the Russians. In the meantime the Nawab was dangerously ill and he proceeded directly to Dacca; but before his ship reached Dacca, he died on the 30th March, 1663. A few years later, the Mughals again occupied Gauhati. Jayadhvaj Singha died in November 1663.

After his death, Supungmung became the head of the Ahom kingdom and assumed the Hindu name Chakradhvaj Singha. During his reign his General, Lachit, defeated the Mughals at Kajali and advanced up to Gauhati, chosen as the head-quarters of the Barphukan. Soon after this defeat, the Mughal Emperor Aurangzeb sent Ram Singha with a huge army to occupy Gargaon. The decisive battle was fought at Saraighat between Ram Singha and Lachit Barphukan. Mughals were defeated and were forced to leave Assam.

After the glorious chapter of the Ahom history, there was a period of confusion and chaos, and internal revolts took place for about eleven years from 1670 A. D. to 1681 A. D. The Mughals, taking these advantages, re-occupied Gauhati.

With the accession of Sukapha alias Godadhar Singha in 1681 A. D. the period of chaos and confusion in the Ahom kingdom came to an end. He expelled the Mughals out of the Ahom kingdom and he was the first Ahom king who definitely annexed Kamrup to his territory. This was the last attempt of the Mughals on Assam.

The zenith of the Ahom power was reached in the reign of Godadhar Singha's successor, Rudra Singha alias Sukhrungpha (1695 to 1714 A. D.) who founded a capital at Rongpur and waged successful wars against the kings of Cachar and Jaintia. The Kachari king Tamradhvaj boldly asserted his independence. Rudra Singha was not a king to tolerate such an insult. He at once deputed Bar Barua to enter the Kachari kingdom by the way of the Dhansiri, while Pani Phukan marched via Raha and the Kopili Valley. They occupied the Kachari capital, Maibong, and Tamradhvaj fled to Bikrampur. On his way to Demera, Pani Phukan conquered and occupied many places including a temple of the goddess Kamakhya. In the meantime the Ahom troops suffered greatly from the pestilential climate and returned to Raha after demolishing the brick fort at Maibong.

Rudra Singha attacked the Jaintia king, Ram Singha in 1707. The latter was defeated and became a captive. Rudra Singha proposed to invade Bengal and accordingly he began to make preparations. But before the completion of his preparation he was seized with a mortal illness and died in 1714. In his old age he decided formally to embrace the Hindu religion and became an orthodox Hindu. He tried to obtain co-operation of the Hindu states to establish a Hindu confederation against the Mughals in the eastern zone of India. He had brought many changes to the social, religious and political life of Assam.

After his death, no major events happened either during the reign of Siva Singha or of his two brothers, Promatta Singha and Rajeswar Singha.

By the middle of the 18th century the Ahom power began to decline. During the

reign of Lakshmi Singha (1769 to 1780) the famous Moamaria Insurrection broke out lasting for more than thirty years and covering the reign of three kings. The cause of this insurrection was deep-rooted, mixed with religion and politics. The strength of the hostiles increased day by day and the royal troops were defeated on many occasions. In the end, however, the Moamarias were defeated and were very cruelly dealt with.

Lakshmi Singha was succeeded by his son Gaurinath Singha (1780-1795 A. D.). During his reign, the Moamaria insurrection broke out again with increased violence. At first the royal troops met with some measure of success and orders were issued outlawing the rebels and authorising any person to kill any Moamaria he might meet, regardless of time, place, sex or age. According to the Ahom chronicler "The villagers thereupon massacred the Moamarians with their wives and children without mercy". The rebels in their turn were not slow to make reprisals. They plundered the country on every side and "the burning of villages appeared like a wall of fire". The ordinary operations of agriculture were suspended, no harvest could be raised and famine killed those whom the sword had spared. "The price of a kotha of rice rose to one gold mohur and men starved in crowds under the trees, forsaking their wives and children." In 1786, the rebels under one Bharat Singh inflicted a decisive defeat upon the Ahom troops and took the capital Rongpur by storm and the king had to fly to Gauhati. The desolation of the country brought about by the Moamarians is thus described by the Ahom chronicler "The Mataks harried the temples and the idols of the gods and put to death all the sons and daughters of our people. For a long time our countrymen had no homes, some took shelter in Bengal, some in Burma, some in the Dafla hills". At last, the Ahom king having thrown himself on the protection of Lord Cornwallis, a small British force was sent to his assistance under the command of Captain Welsh. Rongpur was re-occupied in 1794 and Gaurinath Singha was restored to the throne. After his death, he was succeeded by his son Kamaleswar Singha in 1795. During his reign, the Daflas crossed the Brahmaputra and attacked the royal force near Silghat, but were repulsed with considerable loss. The free booters of Bengal occupied North Gauhati but they were also defeated by the Ahoms at Pandughat. The dispute broke out in 1803 between the Ahoms and the Kacharis, when the latter occupied the country between the Mikir Hills and the Jamuna river. The Ahoms marched from Raha to Jamunamukh and pushed back the combined force of the Kacharis and the Moamarias. The enemy gave a heavy fight near Nowgong and gained a complete victory over the Ahoms. The Ahom troops fled to Gauhati.

After sometime the Ahoms again marched to Nowgong and fought against the Moamarias. The Moamarias fled down the Kolong to Raha. The Ahom force, after driving them from Raha, proceeded up to the Jamuna to Dobaka and defeated the Kacharis and the Moamarians in 1805. The final victory over the Moamarians and the Khamtis were also achieved afterwards.

In 1809 Kamaleswar Singha was succeeded by his brother Chandra Kanta Singha alias Sudinpha who saw the complete downfall of the Ahom dominion. Due to the growing confusion and suspicion among the Bar Phukan or Viceroy of Gauhati, and the Buragohain or Prime Minister, Barphukan fled to Calcutta and thence to Burma. At the beginning of 1816 A. D. the Burmese invaded Assam and a battle was fought at Ghiladhari in which the Burmese were victorious. The Ahom king fled to Gauhati. The Burmese, known in Assam as 'Maan', invaded Assam for three times with the intention of retaining their hold upon this country. In 1820 Chandra Kanta Singha fled to Goalpara and from the British territory began a series of abortive attempts to recover his lost kingdom. B. C. Allen in his District Gazetteer of Nowgong says that the Burmese were guilty of gross atrocities during their occupation of the country. Villages were plundered and burnt, and the people were compelled to seek shelter in the jungle. Such was their terror of the Burmese that it is said that parents would kill a crying child if it could not easily be pacified. Women who fell into their hands were violated with every circumstance of brutality, and the misery of the unfortunate Assamese was extreme. Fifty men were decapitated on the banks of the Kolong river, in revenge for the opposition offered to the Burmese army before Gauhati and about two hundred persons of both sexes and all ages were imprisoned in a grass and bamboo shed and burned alive".

The State being in such a deplorable condition, king Purandar Singha asked for help of the East India Company. "He was prepared either to pay tribute or to cede a part of his kingdom if British troops assisted him in regaining his throne". But the British Government refused all request because of their non-intervention policy. In the meantime, a conflict arose between the British and the Burmese and in 1824 they declared war against the Burmese. The Burmese evacuated Gauhati without striking a blow. Then they fought in Nowgong and Sibsagar but could not stand.

Rongpur was occupied by the British in 1825. In the following year on the 24th of February, 1826, by the treaty of Yandabo, Assam was annexed to the British territory, without any consultation with the king and the people of Assam.

The people of Assam and the members of the ruling class, the nobility, whose ancestors had ruled Assam for more than six hundred years could not tolerate such action of the British and rebellions broke out between 1827 to 1830. Rebellions spread from the Khasi Hills to the Singpho Hills. Gamdhar Kongor, Peoly Barphukan, Jewram, Moniram Dewan and many others had to sacrifice their lives for the cause of freedom. After some years a treaty was concluded between the British and the Assamese by which Purandar Singha was reinstated on the 2nd of March 1833 as a vassal king. In October 1838 Purandar Singha, being humiliated by the British, abdicated his throne and the British annexed Assam to their territory. Thus the chapter of the Ahom history came to an end.

Passing into the British hands, Nowgong was first administered with Kamrup and Darrang. But in 1833 it was formed into a separate district with its headquarters at Puranigudam and subsequently at Rangagara. But in 1839, the headquarters was again transferred to Nowgong. In 1898, a large part of the Mikir Hills was transferred to Nowgong ; but in November 1951, the Mikir Hills tract was separated from the Nowgong district to form the new district of "United Mikir and North Cachar Hills".

ANTIQUITIES OF NOWGONG DISTRICT

Nowgong District contains innumerable big tanks and ruins of temples, forts and buildings which were supposed to be constructed between the period of 600 and 1200 A. D. About seventeen places having archaelogical importance have so far been explored. Many of them are discovered by Sri R. M. Nath. There are enough remains of antiquities which will bring light of the ancient period if they are systematically examined. Some old shrines were dedicated to different deities and some of the specimens indicate strong non-aryan influence. The following are the antiquities of Nowgong District :—

(1) **Moudanga** : This place is situated about ten miles east of Dobaka on the bank of the Jamuna river. There is the Math-Bari or temple-house near the village. This area contains ruins of several temples and tanks. There are seven mounds containing bricks and stones.

Two pairs of vertical door-beams of stone with snake and foliage decorations on the top and "dwarapals" on the bottom of eachc an be seen. The sculpture can be compared exactly with the type found on the Bamuni Hills at Tezpur.

In another stone there is an image of "Ardha-Nariswar" in the centre of the lower panel with a lion and a bull at his feet and two flying "Vidyadharas" on both sides at the top. On the top panel there is the image of "Maha-Lakshmi" in the centre with elephants on both sides pouring water from the pitchers held on their raised trunks. On the right there is an image of Vishnu with four hands holding his usual weapons and on the left are Ganesh and Lakshmi.

A beautiful Siva-Linga in schist stone, intact, seated not on the usual oval yoni-pitham but on a beautiful pedestal, was found at Mikir Ali, Mothor-Bari, and Gosain-Jori.

According to R. M. Nath, the discoverer of this monument, this area was previously included in the kingdom of Tularam Senapati who entered into a treaty with Captain Jenkins on the 3rd November, 1838 A. D.

His capital was at Kacho-mari a place about 12 miles to the east of Moudanga on the bank of the Jamuna river, where "an infirm, old man clothed in the poorest cotton garb, and looking more like a skeleton than a living being, passed his days in a wretched grass hut, situated on the edge of a tank choked with rank weeds, in the middle of an extensive and poorly cultivated grass plain". According to tradition, the temple Math-Bari and the tank where Tularam had his capital definitely had no connection with the Kachari king or chiefs. R. M. Nath states that the Siva temples at Moudanga, as also the other temples of the Kopili and the Jamuna valley are definitely works of the 9th to the 12th century A. D. and were built long before the Kacharis came to rule over the country.

(2) **Kondoli and the Kadali** : This place is situated about 12 miles to the south-east of Nowgong. About three miles to the north-east of the Kondoli tea garden, there is the "Baduli-Kurung" or the bats-cave on the Kondoli hill. The cave is a peculiar workmanship of nature. It is understood that the whole of it is full of bats and the local people consider it a place of great sanctity and regard with awe and veneration.

About a mile to the north of the Kondoli hill there is the Bamuni-Gosainsthan which consists of a huge rock. Below the rock there are also some small caves which according to R. M. Nath might have proved welcome

shelters for mendicants or siddhas in ancient time. This place is also regarded sacred.

About a mile to the west of the P. W. D. road and opposite the Bamuni Gosain hill there is a place in the middle of the paddy field supposed to have been the residence of Madhab Kondoli, the great Assamese poet of the fourteenth century A. D. who translated the Ramayana into Assamese verse. A century later, Ananta Kondoli, another Assamese writer of great repute, was born in this locality.

On the same range of the hill about nine miles to the east there are ruins of bricks and stone built walls, tanks, drains and temples in several places. Another adjacent hillock, Chapanullah or Champpanulla, contains traces of old forts and edifices by the side of its beautiful waterfall. This place was supposed to be the capital town of a certain king named Hamsadhvaj in some olden days.

(3) **Na-Bhanga ruins**: The place is situated near Jogijan. Here there is an image lying under a tree and having a crack on the right arm. According to Bhattasali the Na-Bhanga Image is that of Chamunda of the 11th or 12th century A. D. There is no historical record about it. According to the Tnugkhungia Buranji, Kirti Chandra Barbarua brought an image of Chamunda about the year 1769 A. D. from the Kachari kingdom to the Ahom capital. But when the Moamaria revolution took a menacing turn, the image of Chamunda was also found to have assumed a very grim appearance and it was at once removed to its former place.

According to local tradition, the image was once removed by somebody but was returned again by having it carried on the back of an elephant. About a mile to the north-west of the Chamunda image there is also an image of Ganga in the valley of Kenduguri.

(4) **Bhoi-Parbat**: This area is situated at a distance of 5 miles east of the Mahamaya hill. There is an image here of Mahisamardini of the Kamarupi sculpture. It is believed that the image belongs perhaps to the early 9th century A. D.

(5) **Ganesh-Parbat**: About a mile to the east of the Bhoi-Parbat there is an image of Ganesh carved on a big boulder lying at the foot of the Mikir Hills range. The image is 2'6" high 18" wide and 3" thick. The deity is seated on a mouse 14" long and 4" high. The attributes seen in the two right hands are a fan and a lotus while in the two left hands, a mace and sweets.

(6) **Teteli Pukhuri**: This place is situated about seven miles to the south-east of the Mahamaya hill. There are seven big tanks; the one known as the Teteli Pukhuri or the Tamarind tank is about a furlong square. On the east bank of the Tamarind tank lies the ruins of an old stone temple. Most of the stones are buried underground. One piece of the front door contains three human figures of gate keepers, the "nartaki" and the "pujarini"; and the other one contains the figures of a king with his body-guard and the umbrella-carrier. The sculptures bear a direct relationship with the Dah Parbatia school of Tezpur and the temple was constructed about the 9th century A. D.

(7) **Dighalpani**: About 12 miles south-east of the Mahamaya hill there is a small hillock locally called Hemtiru on the bank of the Dighalpani river near the present Dighalpani village. The hillock contains a brick-built temple with stone lintels and door uprights. The door contains three sets of images. The central figure is of the standing Vishnu, with the figures of Lakshmi and Saraswati on the left and the right sides respectively.

(8) **Changchauki**: At a distance of about 2½ miles from Kampur is the village Deorigaon on the left bank of the Kopili. Just opposite to the Deorigaon the village Changchauki is situated. There are some old ruins of an old temple here. One stone door-beam with three human figures engraved at the lower part depicts a "dwarapal", a dancer and a "pujarini". On a slab of stone is engraved an image of a mithun pair (a male and a female in embrace) while one canopy stone has a lotus engraved on it. All these have been kept in the Changchauki "namghar" (prayer house) near the "vedi".

On the eastern part of the village, there is an image of Vishnu on a slab stone with a "sankha", a "chakra", a "gada" and a "padma". Workmanship is clear and fine in gneiss stone of brownish colour.

(9) **Kawaimari**: The remains from the area reveal the existence of a big temple and include stone pieces bearing various human, animal and floral designs.

(10) **Yogijan**: This place is situated about six miles off from Jamunamukh. There are three small temples which serve as the gate-way to the main shrine.

There are two big Siva lingams with Yoni Pithas and five small Siva temples (Pancha Rudras).

About half of a furlong to the north of the shrine there is a big area bounded on all sides by earthen high walls with a big tank inside. This is locally known as Raj-bari.

According to the Kalikapurana, the Yogijan stream was known as the Bhairava Ganga and the beel was known as the Bhairava Sarobara. The hillock nearby was known as the Durjaya and the two Siva lingams inside the temple are respectively known as Maha Vairava and Sarava Siva.

(11) **Sitajakhala** : This place is situated on the bank of the Killing river at a distance of about 1¼ miles to the south of the Assam Trunk Road. There is a hillock here of solid granite stone on which spot there appears to have been a small temple. There remains now only the corner of a cornice with beads cut out of brown sand-stone and one lintel of a door cut out of ganite.

(12) **Mahadeocal** : About 19 miles from the Nowgong town, near the Dharamtul Railway Station, there is a village called Mahadeocal where a temple of god Siva is situated. The door of the temple contains three fairly big figures a "dwarapal" with a bow and arrows, and a "pujarini" and a "nartaki" at the bottom of it. The figure of Vasudeva is also depiced. There is also a namghar which is under the care of a villager called deori. The villagers believe that these deories were originally the Jaintias and settled in this part during the reign of the Jaintia kings.

About a mile and a half to the Mahadeocal village there are the remains of an old fort known as "Jangal Garh". According to the legendary history of Assam this was the capital of Jongal Balahu, the son of Arimatta.

According to the Ahom chronicle, there was a strong garrison of the Ahom at Raha. In the later part of the Ahom administration, Jangal Garh was the fort of the garrison of the Ahom soldiers.

(13) **Vasundhari** : This place is situated at a distance of 1½ miles from the confluence of the Barapani and the Kopili which is called the Vasundhar Hill. On the north-east corner of the hill, two images of Ganesh are engraved on two rocks and an image of the goddess Jagatdhatri on the third.

AKASIGANGA

This place lies at a distance of seven miles from Dabaka. There are three lakes on the hill from which emerges a beautiful waterfall with a drop of about 120 feet. It is known as Akasiganga. On the bank of this fall there are ruins of three stone temples featuring Siva lingam and Yoni-Pitham. There is also a big stone bull—the celebrated Nandi in a crouching posture. These images contain new architectural designs. The pillars are round resembling iron shafts.

MAHAMAYA TEMPLE

About a mile and a half to the east of Dokmoka, there is a small hillock named Mahamaya hill. There is a tank on the east bank of which there is a small stone temple. The western wall contains a human figure seated in a 'padmasana'. There is also one canopy stone with an 'astha-dala padma' carved on it. This was the temple of Durga. Historically this area was under the Kachari king Krisena Chandra whose capital was at Cachar.

BUDA GOSAIN STHAN

On the bank of the Dikharu river there are ruins of a temple constructed with sand-stone known as Buda Gosain Sthan, and though the figures are very small, the workmanship is artistically finished. There are three small figures of Vishnu, Lakshmi and Saraswati, Buda Gosain stands as a synonym for Siva in many places in this part of the country and may not be confused with the King of Jaintia of that name of the sixteenth century.

POPULATION

According to the 1961 Census, the total population figure of the district is 1,210,761 of which 645,690 are males and 565,071 are females. The population of Nowgong is less than that of any other district of the Assam Plains Division. There is an increase of population by 323,806 over the 1951 Census, the percentage being 36.51. The percentage of decennial growth of population for 1911, 1921, 1931, 1941 and 1951 were 15.84, 31.94, 41.35, 15.37 and 36.65 respectively. The period during 1951-61 has shown a marked increase of population compared to the earlier decades with the exception of the previous decade 1941-51. This increase of population in the district is mainly due to (i) better health facilities and the application of modern medical treatment which resulted in the low death rate, and (ii) the influx of people from inside and outside the State, a great number of whom are the refugees from Pakistan. In the present population, the district ranks in the seventh position among the eleven districts of the State.

The density of population in the 1961 Census is 550 per squar mile or 212 per

square kilometre as against 403 per square mile in the 1951 Census. It shows that Nowgong has registered a very high increase of density by 147 in the last decade. In density, Nowgong with its 403 persons per square mile stood second to Cachar in the 1951 Census ; but in the 1961 Census the district occupies the top place followed by Kamrup and Cachar with 541 and 514 per squar mile respectively. For the earlier decades—1901, 1911, 1921, 1931, and 1941, the density of population per square mile were 118, 137, 181, 256 and 295 respectively. From the above figures it is found that the density of population has shot up at a very rapid speed. During the last 50 years the density has increased by 301.46 percent and in the last decade it has increased by 36.48 percent. After the formation of the United Mikir and North Cachar Hills District, the density of population of Nowgong has gone up higher.

The district of Nowgong has no subdivision but it consists now of eleven police stations namely, Laharighat, Dhing, Rupahihat, Kaliabar, Marigaon, Raha, Nowgong, Samaguri, Jamunamukh, Lanka and Lumding as against ten in the 1951 Census. A portion of 242 square miles has been separated from the Jamunamukh police station to form a new police station of Lanka which has been recognised by the 1961 Census. Nowgong, Dhing, Rupahihat and Laharighat police stations are the most thickly populated areas of the district. The Dhing police station is the smallest, but in regard to density of population it claims the second place among the others. The Nowgong police station with 1,123 persons per square mile in an area of 143.0 square miles is the densest police station and occupies the first place in the district. Rupahihat and Laharighat police stations holding 930 and 731 persons per square mile in areas of 169.2 and 214.1 square mile respectively stand third and fourth in density. Lumding and Marigaon with populations of 160 and 334 persons per square mile in areas of 178.0 and 370.0 square miles respectively are among the sparsely populated police stations. In regard to area, Marigaon claims the first place among the other police stations. Jamunamukh and Lanka police stations with respective areas of 246 and 242 square miles and accommodating 485 and 540 persons per square mile claim second and third places among the bigger police stations. But Lanka is comparatively the more thickly populated area than Jamunamukh and occupies the sixth place in density among the other police stations. Raha police station comprising an area of 178.2 square miles has a density of 571 persons per square mile and stands fifth. Kaliabar and Samaguri police stations with densities of 418 and 404 persons per square mile cover areas of 164.0 and 217.0 square miles respectively. Lumding police station shows the highest percentage increase of population by 52.92 followed by Marigaon (40.22), Laharighat (39.43), Raha (32.41), Nowgong (32.11), and Kaliabar (30.25). Rupahihat police station registered the least increase of population, but that too is as high as 19.88 percent as against 18 percent of the Dhing police station in the 1951 Census.

According to the 1961 Census, there are four major towns in Nowgong District namely, Nowgong, Dhing, Hojai and Lumding as against the two towns of Nowgong and Lumding in the 1951 Census. Nowgong and Lumding are classified as Class III towns. The former has a population of 38,600 (23, 295 males and 15,305 females) and the latter 23,186 (12,935 males and 10,251 females) respectively. Hojai is a class IV town with a population of 12,857 (7,584 males and 5,273 females) and Dhing is a class V town with a population of 6,574 (3,780 males and 2,794 females). The total urban population of the district in the 1951 Census was 43,535 which was only 4.91 percent of the total population. But in the 1961 Census, the total urban population comes to 81,217 which is only 6.71 percent of the total population.

The percentage of urban population recorded are 1.70, 1.80, 2.40, 2.40, 2.59 and 4.91 in 1901, 1911, 1921, 1931, 1941 and 1951 respectively. It shows that urbanisation seems to be very slow as it signifies an increase of 6.70 percent in 1961 against 4.90 percent in 1951. This increase is also mainly due to the declaration of two new towns namely, Hojai and Dhing. If this figure be excluded from the total urban population, the real increase would come almost to the same level during the last decade.

ECONOMIC DEVELOPMENT

The economic position of the Nowgong District is not at all satisfactory in comparison with the other districts of Assam. The per capita income of this district in 1960 was Rs. 261.00. In this regard it occupies the seventh place among the other districts. The Lakhimpur District occupies the first place with the per capita income of Rs. 417·00 and the Garo Hills District occupies the lowest position with the per capita income of Rs. 192·00. The low per capita income of Nowgong is due to its industrial backwardness. Of course, after Independence many small-scale industries have been installed in different parts of the district. The tea industry of Nowgong is not very prominent either.

Nowgong is an agricultural district. The soil of this district is quite soft and sandy and the climate is highly humid and abundant rains accelerate the growth of the agricultural crops and vegetables. The soil varies from pure sand near the Brahmaputra to clay so sticky as to render it utterly unfit for cultivation. The land best suited for the growth of rice is a clay loam Alatin, the most fertile variety of which is called Bherbheria, and is particularly deep and soft. This type of land is found in the lowest part of the rice basin. The rice basin is formed by the area from Silghat in the north-east to Jagi in the south-west of the district, but on either side of this belt, cultivation falls off. The district abounds in water which helps producing good harvest. Pulse is usually grown on the alluvial flats that fringe the Brahmaputra. The low lands are mainly used for the cultivation of jute. The principle crops are rice, jute, rape and mustard, pulses, potatoes, banana, vegetables, arecanut and tobacco. Out of the total district area of 1,408,000 acres, the total cultivable net land area is 636,000 acres in 1960. The cost of cultivation is comparatively low due to the high fertility of the cultivable lands and the natural irrigation from the regular monsoons. The Hojai area of Nowgong District which produces good quality rice may be said to be the granary of Assam.

During the first two Five Year Plans, the Government has given more importance to the agricultural improvement of the district. In the 2nd Plan period, the agricultural schemes were worked out on a seven point integrated-programme laying emphasis on the supply of improved plants and seeds, water supply, crop production, double cropping, reclamation, and proper utilisation of low lands and better farming practices. The seven point intergrated-programme of the Grow-More-Food Campaign for stepping up food production was laid down by the Department of Agriculture in 1949-50. It consists of the following schemes :—

1. Seed Multiplication and Distribution Schemes consisting of the following :—

(a) Multiplication and distribution of seeds for covering the intensive cultivated areas under improved crops.

(b) A district seed farm scheme financed from the State revenue for production of nucleus seed.

(c) Horticultural Development Scheme with district nurseries for the supply of plants, grafts and suckers for fruit plants and a fruit Technological Laboratory at Gauhati for the processing of surplus fruits.

2. Manure manufacturing and distribution scheme consists of the following :—

(a) Production of compost manure from town refuse in municipal areas.

(b) Production of compost manure on a large scale in rural areas which ceased to be eligible for subsidy from the year 1952-53.

(c) Provision of distribution of bone-meal.

(d) Production for distribution of oil-cake.

(e) Arrangement for making sulphate of ammonia available for cultivators.

3. Irrigation Scheme.

4. The Plant protection scheme consists of the following :—

(a) Scheme for the control of pests and diseases in the fields and during storage.

(b) Scheme for the control of wild animals which cause damage to crops in the fields.

5. Application of better farming practices consists of putting across the result obtained in the Research Station and ensuring their adoption by cultivators.

6. Schemes for utilisation of waste lands and mechanical cultivation comprised of the following :—

(a) Land reclamation in selected localities through mechanised cultivation.

(b) The Tea Garden land utilisation scheme.

(c) Utilisation of Tea Garden surplus lands.

(d) Loan Scheme.

7. Double and mixed cropping cultural operations.

Considerable importance were laid down on the increased porduction of cash crops in the State as a whole.

The staple food crop of the district is rice which in 1960-61 covered 82 per cent of the total net cropped area. Rice falls under four main heads sali, ahu, bao and boro which grow different seasons of the year. The total production of rice in 1960-61 is :—Autumn rice 26,000 tons ; Winter-rice 411,000 tons ; and Spring-rice 20,300 tons covering the total area of 520,629 acres.

Rape and mustard are usually grown in conjunction with ahu on the riparian flats. It occupied 7.80 per cent of the totat net cropped area and produced 6,400 tons of food grains in 1960.

In the same year, pulse cultivation occupied an area of 34,060 acres of land with a total production of 3,050 tons. Jute plays an important part in fetching a very substantial revenue to the district. Nearly 109,090 acres of land are cultivated with jute producing about 3,350 bales (one bale contains 400 lbs.) of the fibre.

The following statement shows the area and the production of some other crops during the year 1960-61.

Name of crops	Area under cultivation (in acres)	Production (in tons)
Sugar-cane	8,600	8,600
Maize	1,360	70
Potato	3,880	4,600
Tobacco	1,780	390
Banana	3,500	20,920
Fruits	810	3,000
Wheat	180	30
Cotton	120	19 bales (one bale contains 392 lbs.)
Arecanut	3,800	2,296,000 tons
Vegetables	10,770	

Though the production of crops is high, the annual floods cause considerable damage to their cultivation. In 1960 the value of the flood damaged crops was approximately Rs. 10,668,955.

The supply of irrigated water to the cultivated fields is of more importance. During the year 1960-61 about 23,500 acres of land was brought under the minor irrigation scheme as a result of which an additional output of 1,527 tons of rice was obtained.

CO-OPERATIVE MOVEMENT

After Independence, the co-operative movement played an important role in the economic growth of the district. In 1951-52, there were about 45 primary agricultural credit societies with a total strength of 1,530 members. In 1960-61, the number of the societies increased to 694 with a strength of 32,345 members. The primary agricultural credit societies granted advances of short and medium term loans to the cultivators up to an amount of Rs. 10,000 in 1951-52, which in 1960-61 reached Rs. 811,000. The long term loan advanced by the Primary Land Mortgage Bank to the cultivators was Rs. 9,000 in 1951-52 and Rs. 7,000 in 1960-61.

There were 19 primary co-operative marketing societies in 1961 in which about 324 primary agricultural credit societies were affiliated during the period 1955-56 to 1960-61. In the same year the primary co-operative marketing societies served about 3,370 members and conducted the agricultural business of Rs. 117.12 lakhs which is the highest amount in the State. In the 2nd Plan period 15 godowns were set up at different Mundi centres for storing of agricultural crops. There was a proposal for setting up a co-operative jute mill at Nowgong for which the Government of Assam has issued a licence since 1961.

The high lands of the district are covered with the evergreen tea gardens. The tea industry of Nowgong is smaller in comparison to Sibsagar, Lakhimpur and Darrang Districts. The total area under tea is 12,980 acres. In 1958, the district produced about 4,732 tons of tea.

Nowgong is industrially backward. Before Independence, there was practically no industry excepting a few cottage type of industries most of which were small family units. The industrial backwardness is mainly due to lack of financial help, lack of proper guidance, power shortage, irregular supply of raw materials, and lack of commercial outlook.

In order to remove these difficulties and to create an atmosphere for industrial development in the district, Government have undertaken the implementation of the following schemes :—

(1) Training programme.

(2) Financial assistance.

(3) Supply of raw materials.

(4) Hire purchase of machineries.

(5) Power subsidy.

(6) Establishment of industrial estate.

(7) Technical guidance.

During the last decade the district has made some industrial progress. There are about 68 manufacturing industries with

the total working force of 2,285. About 62 food and kindred product industries are functioning with a total strength of 2,248 workers. About 64 workers are engaged in the 8 forest product industries. Only 7 printing, publishing and allied indnstries with 434 man power fall under the Indian Factory's Act. There are only 5 metal and metal product industries of which one is producing machineries excluding transport equipment and the remaining 4 are producing transport equipments with 375 man power.

The Government of Assam has established in Jagiroad the Assam Spun Silk Mill for producing eri, pat and muga spun silk and noil yarn. For this purpose the State Government secured the services of a Japanese expert who had considerable experience and knowledge in this line to prepare a detailed Project Study Report and to complete the establishment of the project. Machineries were purchased from a Japanese Firm on deferred payment terms and the Japanese Engineers were engaged to erect and instal the machinery and to train local technicians.

On March 31, 1960, a Government Company styled as the Assam Spun Silk Mill Ltd. was registered with an authorised capital of Rs. 70 lakhs, out of which, consent to issue capital to the value of Rs. 66 lakhs to be wholly subscribed by the Government of Assam was obtained. With the inauguration of this mill on December 18, 1961, the history of Assam's industrialisation turned a new leaf.

The installed capacity in the mill is 3,000 spindles for spun silk and 240 spindles for noil yarn. Noil yarn is a by-product of spun silk. When operated at full two shifts capacity the mill is expected to produce 34,020 kg. spun silk yarn and 22,680 kg. noil yarn.

The machinery installed is capab'e of producing noil yarn from 7s to 22s and spun silk yarn from 60s/2 to 240s/2.

Marketing of spun silk yarn was started in February 1963. After entering the market, the yarn produced by the mill has received a very warm welcome all over India. Yarn produced in the Assam Spun Silk Mill has successfully gained popularity in Bhagalpur, Banaras, Calcutta, Ahmedabad, Bombay and some parts of Southern India and Kashmir. Eri and Muga have been spun into such fine yarns for the first time.

From the present trend of the sales of the mill's products and their conversion into silk fabrics, it appears that the mill will considerably strengthen the silk supply of the State and the Union.

Up to 1961-62, the State Government has subscribed to the share capital of the Company to the extent of Rs. 25 lakhs in addition to giving a loan of Rs. 10 lakhs

The Government of Assam has already issued in 1960 a licence to the India Paper Mill Ltd. to establish a paper mill near Lumding which will produce paper pulp of 6,000 tons annually. In 1961 another licence has also been issued to establish the Assam Co-operative Jute Mill at Nowgong with an annual installed capacity of 9 lakhs of gunny bags and other products.

FISHERIES

After Independence, the Government has given more importance for the development of fisheries in the district of Nowgong. The Fishery Department is primarily concerned with increasing the fish production in the State through artificial breeding. With its immense natural resources, the Nowgong District plays a vital role in fishery products. At present the district is in a position to supply fish and fish products to the consumers not only of Nowgong but also to those of other neighbouring districts. There are about 140 natural fisheries under the Revenue Department. Besides these, there are some small fisheries which are leased out by the Anchalik Panchayats while still smaller ones are left out for local consumption.

In addition to these fisheries, the Fishery Department has taken up the development of the fishery schemes in this district since 1950. During the First Five Year Plan period the Raha Demonstration Fish Farm covering a water area of 40 bighas and the Kathjatali Fish Seed Collection and Distribution Centre covering an area of 10 bighas were established. Besides completing the above two projects, the renovation work of Jongalbalahugarh, Barpani Tank, Bhalukmari Tank and Jorapukhuri Tank were started on phased basis under the "Renovation of old and ancient tanks to convert them into fisheries" scheme.

During the Second Plan period, projects started in the First Five Year Plan were completed and the following three new schemes were taken up.

(1) Organisation of co-operative societies.

(2) Reclamation of derilict fisheries.

(3) Survey.

The main work of the Organisation of Co-operative Society Scheme was to organise co-operative societies. Under the Reclamation of Derilict Fisheries Scheme, a water area of 640 bighas has been reclaimed, and under the Survey Scheme all the important rivers and beel fisheries have been surveyed.

As regards the achievements of these schemes, 1,650,000 fish seeds were produced and distributed. About 65 acres of water area was brought under pisciculture and 430 maunds of fish was produced. In the Second Plan period the department successfully induced the major carp to breed in confined water by hormone injection. Since then the Fishery Department is producing fish seeds in a large scale and has become self sufficient in the supply of fish seeds for both departmental stocking and private demand.

The forests and forest products also contribute to the economic growth of the district. The forests of Nowgong contain more than 70 species of timber out of which only about 30 species are generally used for plywood, match, furniture, railway sleepers and carriages, for making wooden boxes and poles for telegraphs, telephone, electric transmission etc. etc. People generally use bamboo and timber for building constructions although at present, iron and steel are used as substitutes. The main use of timber is for railway sleepers. Sal is mainly used for this purpose along with hollock and makai

The forest products form excellent raw materials for paper pulp, paper, rayon factories and board industries. Bamboo and reeds are particularly abundant in the forests of Nowgong which can be used as raw materials for news-print. These materials are also assets for the development of cottage and small-scale industries of the district.

The forest revenue is increasing day by day. In 1960-61 it was Rs. 881,140 as against Rs. 549, 471 in 1956-57.



A close view of Lumding Rly. Station.

The main building for mass congregation at the famous Namghar of Bordua.

Stocking tank of 'Fish Farm' near Raha. (Jangalbalahu)



As if kissing the sky—a brick chimney of a rice mill at Hojai.

INTRODUCING THE STATISTICS

The All-India Census Publications published by the Union Government contain data only down to the level of a district in some cases, or to the level of a police station in other cases. Data regarding each village cannot be had from the Central Government Census Publications. But the data down to the level of a village are very essential for the purposes of the State Government and the administration in the districts and subdivisions. So for the first time, the District Census Handbooks were compiled and printed for each district of Assam in 1951. The editing and compilation was done by the Superintendent of Census Operations, but the printing and expenditure thereof was borne by the State Government. The District Census Handbooks have become very popular ever since, because they are needed not only by Government and the Deputy Commissioners and Subdivisional Officers, but also by the Local Bodies and the general public. They are absolutely essential for the purposes of delimitation of constituencies, the establishment of Panchayats, the determination of quota of civil supplies, the establishment of police stations and many other administrative matters required by the State Government. It has therefore, been decided that in the 1961 Census also, the District Census Handbooks should be edited and compiled by the Superintendent of Census Operations and printed at the cost of the Government of Assam.

The Primary Census Abstracts given in the 1951 Census will now appear in the form of Village Directories which not only give detailed Census data for each village, but they also give such other informations as the existence of communication facilities, drinking water facilities, educational facilities, Scheduled Castes and Scheduled Tribes and the different categories of workers. The Village Directories also give us the area in acres of each village, if the village has been cadastrally surveyed and if the area figure is available, and they also give us the number of literates and the number of workers classified according to the nine categories of the Standard Industrial Classification adopted by the Government of India. Such informations are furnished for each village and for each block of a ward of a town. Thus the Directory furnishes information on the primary economic activities of each village or ward of a town and the literacy proportion of the population. This abstract is useful therefore, not only for the State Government and the Local Bodies for their administrative purposes but they are also in great demand by various Ministries of the Union Government like the Ministry of Education, Ministry of Labour and Employment, Ministry of Food and Agriculture and the Planning Commission. These data are also required for all sample surveys, both rural and urban, based on villages or wards of a town. The District Census Handbooks also contain tables on mother tongue, religion and the various tables specially prepared for Scheduled Tribes and Scheduled Castes of each district. Official statistics relating to vital statistics, statistics of household and small-scale industries, administrative statistics and other statistics relating to various activities of Government, especially those connected with the First and Second Five Year Plans, have also been given. There is therefore, no doubt that the District Census Handbooks of the 1961 Census will furnish most of the data that are required for administrative as well as for planning and development purposes.

Before 1951, the population had been classified by religion ; but at the 1951 Census, the economic classification was substituted for the classification based on religion. In 1951, the people had been divided into two broad livelihood categories, namely the agricultural classes and the non-agricultural classes, and these two classes had again been sub-divided into four classes each. Each of the eight livelihood classes was again divided into three sub-classes with reference to their economic status, namely—

(i) Self-supporting Persons ;
(ii) Non-earning Dependents ; and
(iii) Earning Dependents

In the 1961 Census, the classification based on livelihood has been done away with and the basis of the classification now is WORK. People have been divided into two classes, the Workers and Non-Workers. The working population has been divided into nine categories of workers namely—

I. Working as Cultivator

II. Working as Agricultural Labourer

III. Working in Mining, Quarrying, Livestock, Forestry, Fishing, Hunting and Plantations, Orchards and allied activities

IV. Working at Household Industry

V. Working in Manufacturing other than Household Industry

VI. Working in Construction

VII. Working in Trade and Commerce

VIII. Working in Transport, Storage and Communications

IX. Working in Other Services

The working population has been classified separately according to the returns relating to occupation and industry. The Indian Census Economic Classification adopted at the 1951 Census was neither a purely Industrial nor an Occupational Classification of the population, but it was a combination of both. There were only 10 divisions and 88 subdivisions of Industries and Services. In the 1961 Census, the National Classification of Industries and Occupations adopted by the Government of India was also used for the Census and there are more than 300 Occupational Families and 300 Industrial Minor Groups for which figures are given for the total population sex-wise. Another unique feature of the 1961 Census is that all these Economic Tables are prepared on the basis of the principal work of a person.

Non-workers have again been classified into eight categories as follows :—

1. A full-time student or child attending school who does no other work, such as make articles at home for sale, nor even help part-time in his own family cultivation, industry, trade or business.
2. A person engaged in unpaid home duties (like housewife or other adult female) who does no other work, such as make articles at home for sale or wages, nor help regularly even part-time in family cultivation, industry, trade or business.
3. Any dependent, including an infant or child not attending school, a person permanently disabled from work because of illness or old age.
4. A retired person who is not employed again, rentier, person living on agricultural or non-agricultural royalty, rent or dividend or any other person of independent means for securing which he does not have to work and who does no other work.
5. A beggar, vagrant or independent woman without indication of source of income and others of unspecified source of existence.
6. A convict in jail (an undertrial prisoner is shown as a worker if he used to work before he was apprehended) or an inmate of a penal, mental or charitable institution.
7. A person who has not been employed before but is seeking employment for the first time.
8. A person employed before but now out of employment and seeking employment.

In the 1951 Census, the population was shown according to certain units known as Census Tracts. These Tracts were selected by the Superintendent of Census Operations on an adhoc basis and they may constitute one Police Station, two Police Stations or even three Police Stations and they may also consist of part of a Police Station only. Urban areas of each district were treated as separate Tracts in the 1951 Census. In the 1961 Census, I have taken Police Stations only as units of Census Divisions and so all census data are given down to the level of a Police Station. The exception is that urban areas are treated as separate entities for the Subdivision.

ABBREVIATIONS OR NOTATIONS USED IN THE VILLAGE DIRECTORY

As all details cannot be given in the Village Directory, certain abbreviations and notations were used for the sake of easy reproduction and printing. The following notations were therefore used in the Village Directory.

NOTATIONS

1. Transport and Postal Facilities

(i)	Road Bridle Path Metalled Road Tarred Road	'R'
(ii)	Railway	'Rly'
(iii)	Postal Facilities	
	Branch Post Office	'BO'
	Sub-Post Office	'SO'
	Extra Departmental Branch Office	'Edbo'
	Extra Departmental Sub-Office	'Edso'
	Central Sub-Office	'CSO'

2. Educational Institutions

(i)	Primary, Basic, Tol, Muktab, Night, Nursery School	'P'
(ii)	Middle School (M.E. & M.V.)	'M'

(iii) High School or Higher Secondary	'H'
(iv) Higher Institutions including Colleges	'C'
(v) Technical Institutions	'T'

3. Drinking Water Supply

(i) Tanks or Beels	'Tk'
(ii) Kachha well	'Kw'
(iii) Pipes and Tube wells or Ring wells	'S'
(iv) Pucca well	'Pw'
(v) River, Running Stream or Springs	'Riv'

P. S. Distance of the items are considered up to five miles

4. Bazar Day and Medical Facilities

(i) Weekly Bazar	'Wb'
(ii) Daily Bazar	'Db'
(iii) Dispensaries	'D'
(iv) Hospitals	'Hos'

5. Veterinary Facilities and whether the village is covered by Community Development or National Extension Service Blocks

(i) Government Veterinary (ii) Private Veterinary (iii) Other Methods	'V'
(iv) Community Development	'Cd'
(v) National Extension Service	'Nes'

DEFINITIONS

The following definitions used in the 1961 Census are reproduced below for easy reference :

1. Town

For the purpose of the 1961 Census, a town means a Municipality, a Town Committee, or a Cantonment and any other area having the following urban characteristics :

(i) If the population is not less than 5,000

(ii) If the density is not less than 1,000 per square mile

(iii) If the adult male population in non-agricultural livelihoods is at least 75 per cent of the total male population.

2. Village

In Assam a village means a cadastral village where there has been a cadastral survey. In the Plains districts where there has been no cadastral survey, it is taken to be a gaon together with its adjacent 'tolas', 'paras' etc. provided that none of these independent collections of houses are so large or so distant from the cadastral village, with distinct individual names. In the Hills districts, the most convenient definition of a village is that it is a collection of houses bearing a separate name and situated with certain boundaries traditionally recognized by the villagers.

3. House

It is a structure or part of a structure inhabited or vacant or a dwelling, shop, a shop-cum-dwelling or a place of business, workshop, school etc. with a separate entrance.

4. Household

It is a group of persons who commonly live together and take their meals from a common mess or kitchen unless the exigencies of work prevent any one of them from doing so.

5. Scheduled Tribes

They are members of the backward tribes who generally occupy the hilly areas or other rather inaccessible parts of the Indian Union. They are generally very backward and so the Government of India has prepared a schedule of such tribes for the purpose of giving them facilities in education and employment so that they may come up to the level of the other advanced people of India as soon as possible. Scheduled Tribes may belong to any religion.

6. Scheduled Castes

They belong to the lowest rung of the castes of the Hindu and Sikh religions. In order to help them rise to the level of other more advanced societies in India, the Government has made a schedule of such people—hence the name Scheduled Castes.

7. Houseless persons

They are people who have no houses to dwell and generally live in pavements or open places, such as beggars, who beg in people's houses by day and sleep under the trees by night.

8. Institutional populations

They are people who are inmates of institutions, like hostels, boardings, jails etc.

9. Worker

Is a person who is working as a cultivator, an agricultural labourer, at a household industry or he may be doing any other work but he must earn some income. Work includes not only actual work but also effective supervision and direction of work.

10. Non-worker

Is a person who is either not doing any work or who does some work from which he does not earn any income. For example, a pensioner and a rentier who earn some income but if they do not do any other work they are classified as non-workers. On the contrary, students and housewives may be doing some work either in school or in the house but as they do not earn any income they are classified as non-workers for the purpose of the Census.

11. Cultivator

For purposes of the Census a person is working as a cultivator if he or she is engaged either as employer, single worker or family worker in (a) cultivation of land or supervision or direction of cultivation of land owned or held from Government, (b) cultivation of land or supervision or direction of cultivation of land held from private persons or institutions for payment in money, kind or share.

12. Agricultural Labourer

Is a person who works in another person's land only as a labourer without exercising any supervision or direction in cultivation for wages in cash, kind or share, such as share of produce. The labourer should have no right or lease or contract on land on which he works nor should he be responsible for taking decision as to which crops to sow and when or taking the risk of cultivation. A share of the produce goes to him only as wages.

13. Household Industry

A household industry is defined as an industry conducted by the head of the household himself or mainly by members of the household at home or within the village in rural areas and only at home in urban areas.

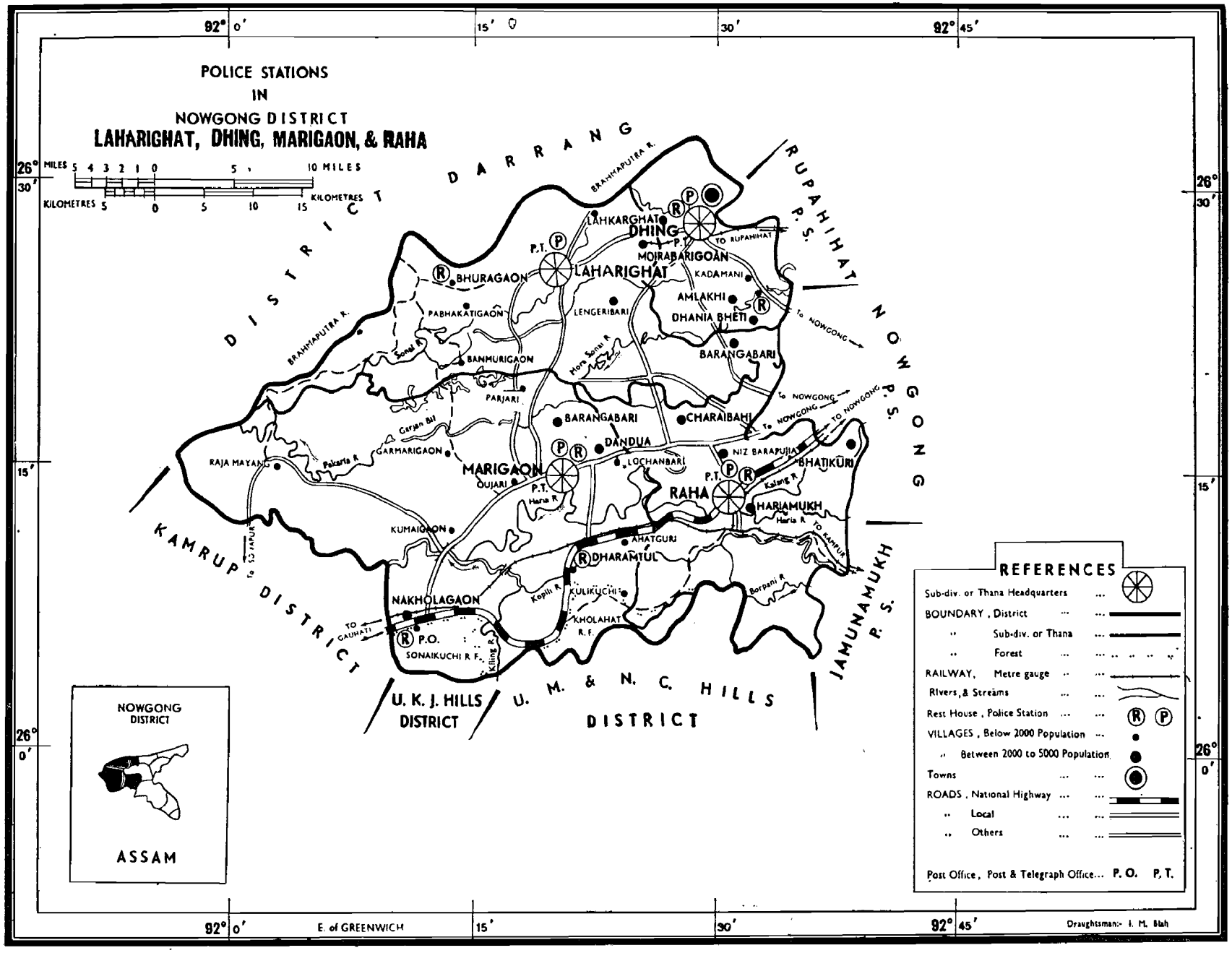
POLICE STATIONS
IN
NOWGONG DISTRICT
LAHARIGHAT, DHING, MARIGAON, & RAHA
MILES 5 4 3 2 1 0 5 10 MILES
KILOMETRES 5 0 5 10 15 KILOMETRES
92° 0′
15′
30′
92° 45′
26° 30′
26° 0′
DARRANG DISTRICT
RUPAHIHAT P.S.
NOWGONG P.S.
JAMUNAMUKH P.S.
KAMRUP DISTRICT
U. K. J. HILLS DISTRICT
U. M. & N. C. HILLS DISTRICT
BRAHMAPUTRA R.
LAHKARGHAT
DHING
P.T.
TO RUPAHIHAT
MOIRABARIGOAN
LAHARIGHAT
KADAMANI
BHURAGAON
AMLAKHI
DHANIA BHETI
PABHAKATIGAON
LENGERIBARI
To NOWGONG
BARANGABARI
BANMURIGAON
Sonai R.
Mora Sonai R.
PARJARI
BARANGABARI
CHARAIBAHI
To NOWGONG
TO NOWGONG
DANDUA
Garpan Bil
GARMARIGAON
RAJA MAYANG
Pakarla R.
MARIGAON
OUJARI
LOCHANBARI
NIZ BARAPUJIA
BHATIKURI
Kalang R.
RAHA
HARIAMUKH
Haria R.
Hana R.
KUMAIGAON
TO KAMPUR
AHATGURI
DHARAMTUL
TO KAMPUR
Kopili R.
KULIKUCHI
Borpani R.
NAKHOLAGAON
TO GAUHATI
P.O.
SONAIKUCHI R.F.
KHOLAHAT R.F.
Kiling R.
NOWGONG DISTRICT
ASSAM
REFERENCES
Sub-div. or Thana Headquarters ...
BOUNDARY, District ... ...
" Sub-div. or Thana ... ...
" Forest ... ...
RAILWAY, Metre gauge .. ...
Rivers, & Streams ... ...
Rest House, Police Station ... ... R P
VILLAGES, Below 2000 Population ...
" Between 2000 to 5000 Population
Towns ... ...
ROADS, National Highway ... ...
" Local ... ...
" Others ... ...
Post Office, Post & Telegraph Office... P. O. P. T.
E. of GREENWICH
Draughtsman:- I. M. Blah

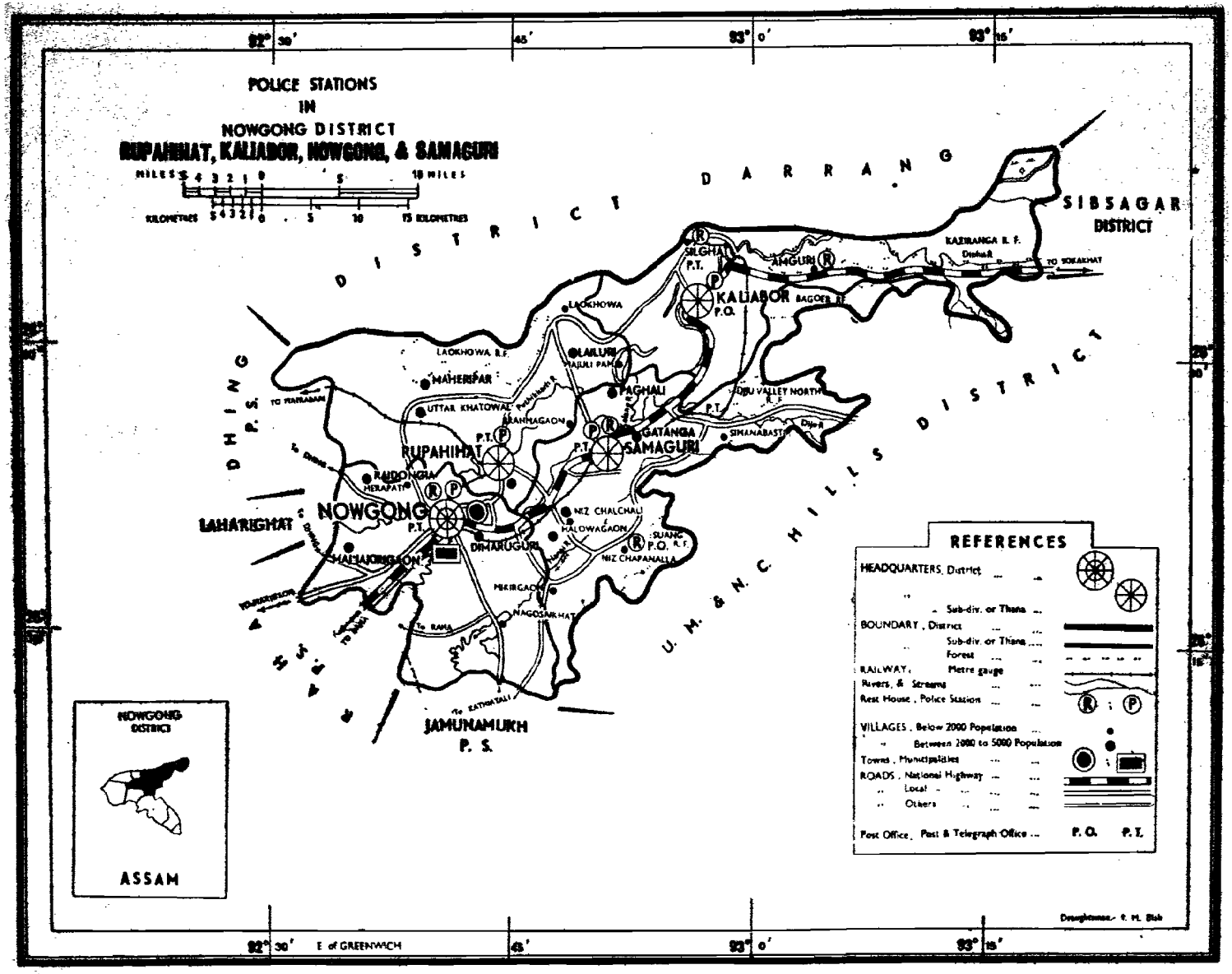
POLICE STATIONS
IN
NOWGONG DISTRICT
RUPAHIHAT, KALIABOR, NOWGONG, & SAMAGURI
MILES 5 4 3 2 1 0 5 10 MILES
KILOMETRES 5 4 3 2 1 0 5 10 15 KILOMETRES
DARRANG DISTRICT
SIBSAGAR DISTRICT
U. M. & N. C. HILLS DISTRICT
DHING P.S.
JAMUNAMUKH P.S.
LAHARIGHAT
NOWGONG
RUPAHIHAT
SAMAGURI
KALIABOR
SILGHAT
AMGURI
KAZIRANGA R. F.
TO SOKAKHAT
LAOKHOWA
LAOKHOWA R.F.
MAHERIPAR
UTTAR KHATOWAL
BAHNAGAON
LARLURI
PAGHALI
GATANGA
DIJU VALLEY NORTH R.F.
SIMANABASTI
RAIDONGIA
HERAPATI
MALIAJORHAGAON
DHARUGURI
NIZ CHALCHALI
HALOWAGAON
SUANG P.O.
NIZ CHAPANALLA
MEKIRGAON
NAGOSARKHAT
TO RAHA
TO KATHKATALI
TO HAFLONG
TO HAFLONG
TO MARABARI
NOWGONG DISTRICT
ASSAM
REFERENCES
HEADQUARTERS, District
" " Sub-div. or Thana
BOUNDARY, District
" Sub-div. or Thana
" Forest
RAILWAY, Metre gauge
Rivers, & Streams
Rest House, Police Station
VILLAGES, Below 2000 Population
" " Between 2000 to 5000 Population
Towns, Municipalities
ROADS, National Highway
" Local
" Others
Post Office, Post & Telegraph Office
P. O.
P. T.
92° 30'
45'
93° 0'
93° 15'
E of GREENWICH

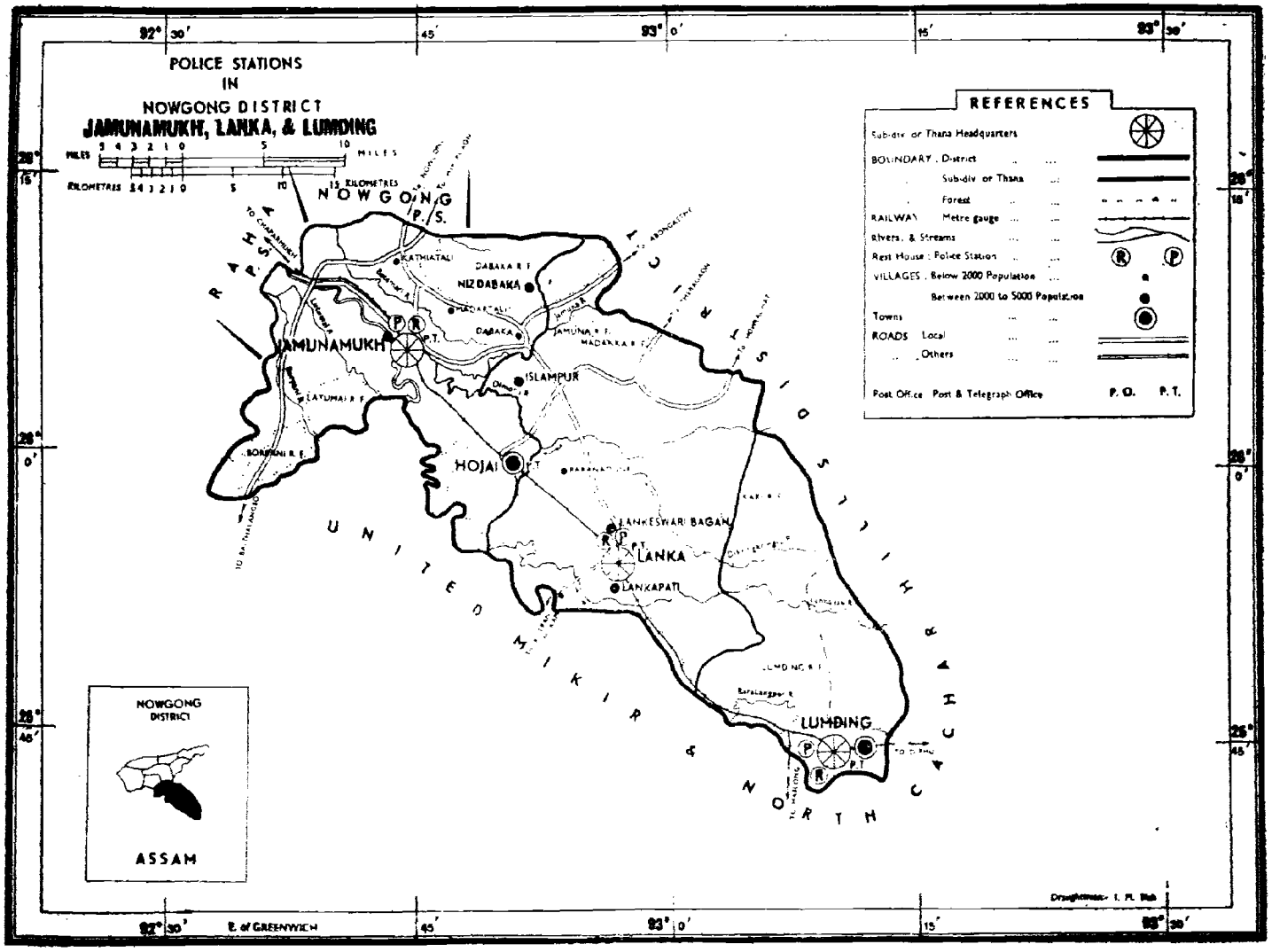
POLICE STATIONS
IN
NOWGONG DISTRICT
JAMUNAMUKH, LANKA, & LUMDING
MILES
KILOMETRES
NOWGONG P.S.
KATHIATALI
DABAKA R.F.
NIZ DABAKA
DABAKA
JAMUNA R.F.
MADAKKA R.F.
JAMUNAMUKH
P.T.
ISLAMPUR
LATUMAI R.F.
BORJONI R.F.
HOJAI
LANKESWARI BAGAN
LANKA
LANKAPATI
LUMDING
NOWGONG DISTRICT
ASSAM
REFERENCES
Sub-div or Thana Headquarters
BOUNDARY . District
Sub-div or Thana
Forest
RAILWAY Metre gauge
Rivers, & Streams
Rest House : Police Station
VILLAGES . Below 2000 Population
Between 2000 to 5000 Population
Towns
ROADS Local
Others
Post Office Post & Telegraph Office
P.O. P.T.
92° 30'
45'
93° 0'
15'
93° 30'
26° 15'
26° 0'
25° 45'
E. of GREENWICH

VILLAGE DIRECTORY

Name of Police Station

Serial No.	Name of Village/Town/ Ward/Enumerator's Block	Amenities	Area in Acres	Occupied Residential Houses: No. of Houses	Occupied Residential Houses: No. of Households	Total Population: P	Total Population: M	Total Population: F	Scheduled Castes: M	Scheduled Castes: F	Scheduled Tribes: M	Scheduled Tribes: F	Literate and Educated Persons: M	Literate and Educated Persons: F
1	2	3	4	5	6	7	8	9	10	11	12	13	14	15
	NOWGONG DISTRICT													
	Total		2,200.0 (Sq. miles)	218,495	219,006	1,210,761	645,690	565,071	53,928	47,467	45,648	41,890	235,128	94,897
	Rural		2,192.9 (Sq. miles)	204,760	204,764	1,129,544	598,096	531,448	51,566	45,775	45,530	41,832	205,162	80,244
	Urban		7.1 (Sq. miles)	13,735	14,242	81,217	47,594	33,623	2,362	1,692	118	58	29,966	14,653
	Laharighat P.S.													
	Total		214.1 (Sq. miles)	26,150	26,150	156,573	82,792	73,781	4,943	4,233	8,324	7,986	18,882	5,326
1	Pakaria Bill		869.0	Eroded										
2	Sandahkhaitikacharigaon		401.0											
3	Pakariguri		286.1											
4	Tongatoli	R, P, S, V.	188.4	25	25	161	93	68	..	..	..	..	17	..
5	Bamunmara	R, S, V.	242.2	12	12	66	37	29	..	..	..	..	..	..
6	Bamunmarapam		..	No Population										
7	Subhaibheti		228.1											
8	Kherkatagaon		590.4											
9	Kherkatapam		..											
10	Kherkata	R, S, Wb, Hos, V.	592.9	36	36	216	113	103	..	..	..	..	18	3
11	Kherkata Bori	R, S, Wb, Hos.	265.4	15	15	61	34	27	13	11	..	..	9	1
12	Makarighila Bill	R, S, Wb.	259.5	20	20	121	66	55	..	..	..	..	13	7
13	Kherkata Pathar	R, P, S, Wb, Hos, V.	493.4	48	48	359	184	175	151	146	..	..	41	5
14	Kubertari	R, P, S, Wb, Hos, V.	275.9	55	55	291	150	141	..	..	..	..	21	5
15	Baralimari Bill	R, S, Wb, Hos, V.	534.4	60	60	407	215	192	215	192	..	..	84	35
16	Haibar Pathar	R, P, S, Wb, Hos, V.	333.1	43	43	252	132	120	132	120	..	..	37	15

LAHARIGHAT (1)

Total workers (I—IX)		WORKERS I		II		III		IV		V		VI		VII		VIII		IX		X Non-workers		Sl. No.
M	F	M	F	M	F	M	F	M	F	M	F	M	F	M	F	M	F	M	F	M	F	
16	17	18	19	20	21	22	23	24	25	26	27	28	29	30	31	32	33	34	35	36	37	1
341,630	107,428	252,543	73,418	21,439	1,113	9,895	7,454	1,511	22,125	8,145	680	2,287	149	15,299	270	8,494	112	22,017	2,107	304,060	457,643	
316,863	106,266	251,186	73,281	21,366	1,113	9,779	7,450	1,092	21,849	5,091	613	1,876	148	8,837	224	3,339	42	14,297	1,546	281,233	425,182	
24,767	1,162	1,357	137	73	..	116	4	419	276	3,054	67	411	1	6,462	46	5,155	70	7,720	561	22,827	32,461	
43,437	7,432	36,841	4,525	3,470	67	77	14	51	2,643	569	62	45	77	1,160	11	176	..	1,048	33	39,355	66,349	
																						1
																						2
																						3
46	..	46	..	..	..	..	..	..	..	..	..	..	..	..	..	..	..	..	..	47	68	4
22	..	22	..	..	..	..	..	..	..	..	..	..	..	..	..	..	..	..	..	15	29	5
																						6
																						7
																						8
																						9
60	..	54	..	6	..	..	..	..	..	..	.	..	..	..	..	..	..	..	..	53	103	10
20	..	20	..	..	..	..	..	..	..	..	..	..	..	..	..	..	..	..	..	14	27	11
32	1	32	1	..	..	..	..	..	..	..	..	..	..	..	..	..	..	..	..	34	54	12
95	..	93	..	..	..	..	..	..	..	1	..	..	..	..	..	..	..	1	..	89	175	13
75	1	75	1	..	..	..	..	..	..	..	..	..	..	..	..	..	..	..	..	75	140	14
106	2	103	2	..	..	..	..	..	..	3	..	..	..	..	..	..	..	..	..	109	190	15
65	1	57	..	7	1	..	..	..	..	1	..	..	..	..	..	..	..	..	..	67	119	16

Serial No.	Name of Village/Town/Ward/Enumerator's Block	Amenities	Area in Acres	Occupied Residential Houses: No. of Houses	Occupied Residential Houses: No. of Households	Total Population P	Total Population M	Total Population F	Scheduled Castes M	Scheduled Castes F	Scheduled Tribes M	Scheduled Tribes F	Literate and Educated Persons M	Literate and Educated Persons F
1	2	3	4	5	6	7	8	9	10	11	12	13	14	15
17	Haibar Gaon	R, P, S, Wb, Hos, V.	439.0	108	108	767	413	354	142	155	..	..	61	8
18	Garia Gaon	R, S, Wb, D, V.	360.5	99	99	585	318	267	..	..	..	..	53	9
19	Baralimari	R, P, S, Wb.	362.0	75	75	364	213	151	68	61	..	..	81	5
20	Sutirpar	R, S, Wb, Hos, V.	418.1	14	14	108	61	47	..	..	..	..	11	2
21	Jurbil	R, P, S, Wb, D, V.	353.5	89	89	610	316	294	..	..	..	..	70	26
22	Mirikamari	R, S, Wb, Hos, V, Cd.	769.2	80	80	529	284	245	..	..	..	..	26	3
23	Bamunguribil No. 2	R, Tk, Wb, Hos, V.	696.1	19	19	142	79	63	..	..	..	..	12	..
24	Bamunguri	R, P, S, Wb, Hos, V.	671.1	77	77	602	305	297	..	..	..	..	49	9
25	Satiherua No. 3													
26	Satiherua No. 2				No Population									
27	Satiherua No. 1													
28	Ghansimalu No. 4	R, S, Wb, D, V.	374.8	5	5	23	11	12	11	12	..	..	2	..
29	Ghansimalu No. 3	R, P, S, Wb, D, V.	414.7	58	58	574	404	170	380	152	..	..	25	2
30	Sesuguri	R, S, Wb, D, V.	182.0	35	35	250	128	122	..	..	..	..	29	4
31	Kathpari	R, P, S, Wb, D, V.	..	35	35	318	165	153	107	99	..	..	83	11
32	Gomolu	R, S, Wb, D, V.	341.3	46	46	268	152	116	..	..	..	..	18	..
33	Durabandhi	R, P, S, Wb, D, V.	522.4	53	53	476	255	221	..	..	75	64	57	7
34	Sahaiagaon	R, P, S, Wb, D, V.	464.2	55	55	488	253	235	..	..	60	66	83	32
35	Bihubaribil	R, P, S, Wb, D, V.	449.5	15	15	96	42	54	..	..	..	..	12	1
36	Bihubari Kachari Gaon	R, P, S, Wb, D.	528.4	105	105	740	376	364	..	..	..	..	95	11
37	Salmara Gaon	R, P, S, Wb, D, V.	219.2	24	24	165	74	91	..	..	..	..	11	5
38	Talowgaon		173.1		No Population									
39	Baruating	R, P, S, Wb, Hos, V.	890.0	186	186	1,040	534	506	..	..	..	..	127	15
40	Salmari	R, M, S, Wb, Hos, V.	554.8	190	190	1,086	579	507	..	..	..	..	89	16
41	Azarguri	R, P, S, Wb, Hos, V.	168.6	99	99	677	342	335	..	..	..	..	39	1
42	Merbil	R, H, S, Wb, Hos, V.	420.2	76	76	465	248	217	..	..	..	..	24	6
43	Dewamari	R, P, Kw, Wb, D, V.	258.2	35	35	240	124	116	..	..	..	..	20	3
44	Merbil Habi	R, P, Kw, Wb, Hos, V.	620.9	50	50	325	167	158	..	..	..	..	15	9
45	Dewamari Pathar		59.3		No Population									
46	Pithakhaiti	R, Kw, Wb, D, V.	596.2	15	15	74	39	35	..	..	..	..	2	..
47	Pithakhati Chapari		647.4											
48	Khartoli		406.3		No Population									
49	Bhogirathbil		719.4		No Population									
50	Burhagaon	R, S, Wb, Hos, V.	572.5	16	16	57	30	27	..	..	..	..	20	6
51	Pabhakati	R, S, Wb, Hos, V.	387.7	42	42	300	164	136	..	..	1	..	100	32
52	Barukati	R, M, S, Wb, D, V.	..	244	244	1,578	904	674	55	58	..	..	391	114
53	Malahu Gaon	R, P, S, Db, D.	424.9	66	66	443	223	220	..	..	..	..	40	8
54	Dighaliati Gaon	R, P, S, Db, D, V.	723.2	133	133	420	226	194	3	3	..	..	32	10
55	Bardobatup	R, S, Wb, Hos, V.	693.7	234	234	1,499	826	673	396	327	..	..	296	59
56	Barukata Saharia	R, P, S, Wb, D, V.	397.5	104	104	711	370	341	..	..	79	88	62	13
57	Lengeribori	R, P, S, Wb, Hos, V.	323.2	46	46	369	189	180	..	..	..	..	85	26
58	Sondobatup	R, P, S, Db, D, V.	466.7	63	63	443	246	197	35	34	..	..	108	42
59	Lengeri Gaon	R, P, S, Wb, Hos, V.	623.4	34	34	243	134	109	86	78	..	..	46	8
60	Baramari Kachari Gaon	R, S, Wb, Hos, V,	459.7	19	19	126	64	62	..	..	42	45	27	2
61	Jengpari	R, P, S, Wb, Hos, V.	543.9	100	100	709	388	321	..	..	..	..	189	45
62	Donguapara	R, P, S, Wb, Hos, V.	480.8	99	99	662	345	317	9	15	..	..	101	27
63	Berunguri Bil No. 1	R, H, S, Wb, D.	428.3	76	76	582	302	280	302	280	..	..	111	32
64	Baumuri Gaon	R, P, S, Wb, Hos.	531.8	74	74	503	272	231	79	79	184	152	66	13
65	Tabtola Gaon	R, P, S, Wb, Hos, V, Cd.	654.1	81	81	592	329	263	..	..	39	30	88	2
66	Darangia Gaon	R, S, Wb, Hos, Cd.	288.6	36	36	203	110	93	..	..	..	..	26	[illegible]

LAHARIGHAT (1)

Total workers (I—IX)		WORKERS I		II		III		IV		V		VI		VII		VIII		IX		X Non-workers		Sl. No.
M	F	M	F	M	F	M	F	M	F	M	F	M	F	M	F	M	F	M	F	M	F	
16	17	18	19	20	21	22	23	24	25	26	27	28	29	30	31	32	33	34	35	36	37	1
207	4	207	4	..	..	..	..	..	..	..	..	..	..	..	..	..	..	..	..	206	350	17
173	3	134	3	38	..	..	..	..	..	..	..	..	..	1	..	..	..	..	..	145	264	18
124	17	76	..	6	..	..	..	..	17	7	..	..	..	29	..	1	..	5	..	89	134	19
29	..	29	..	..	..	..	..	..	..	..	..	..	..	..	..	..	..	..	..	32	47	20
172	2	167	2	3	..	..	..	..	..	1	..	..	..	1	..	..	..	..	..	144	292	21
140	1	140	1	..	..	..	..	..	..	..	..	..	..	..	..	..	..	..	..	144	244	22
33	..	33	..	..	..	..	..	..	..	..	..	..	..	..	..	..	..	..	..	46	63	23
147	6	139	..	..	..	..	..	6	6	1	..	..	..	..	..	..	..	1	..	158	291	24
																						25
																						26
																						27
7	..	7	..	..	..	..	..	..	..	..	..	.	..	..	..	..	..	..	..	4	12	28
204	..	196	..	6	..	..	..	..	..	..	..	..	..	..	..	..	..	2	..	200	170	29
72	9	68	7	4	..	..	..	..	2	..	..	..	..	..	..	..	..	..	..	56	113	30
82	12	69	12	7	..	..	..	..	..	1	..	..	..	..	..	..	..	5	..	83	141	31
90	56	90	39	..	..	..	..	..	17	..	..	..	..	..	..	..	..	..	..	62	60	32
127	98	127	30	..	..	..	..	..	68	..	..	..	..	..	..	..	..	..	..	128	123	33
107	99	105	45	..	..	..	..	..	54	..	..	..	..	..	..	..	..	2	..	146	136	34
24	26	23	16	..	..	..	..	..	10	..	..	..	..	..	..	..	..	1	..	18	28	35
192	159	187	156	5	2	..	..	..	1	..	..	..	..	..	..	..	..	..	..	184	205	36
46	41	41	37	5	4	..	..	..	..	..	..	..	..	..	..	..	..	..	..	28	50	37
																						38
334	51	241	12	72	..	..	9	4	10	7	20	..	..	..	..	10	..	..	..	200	455	39
326	7	301	7	..	..	..	..	24	..	1	..	..	..	..	..	..	..	..	..	253	500	40
207	..	206	..	..	..	..	..	..	..	..	..	..	..	..	..	..	..	1	..	135	335	41
132	1	132	1	..	..	..	..	..	..	..	..	..	..	..	..	..	..	..	..	116	216	42
65	1	37	..	28	1	..	..	..	..	..	..	..	..	..	..	..	..	..	..	59	115	43
92	..	72	..	20	..	..	..	..	..	..	..	..	..	..	..	..	..	..	..	75	158	44
																						45
19	..	13	..	6	..	..	..	..	..	..	..	..	..	..	..	..	..	..	..	20	35	46
																						47
																						48
																						49
15	5	15	5	..	..	..	..	..	..	..	..	..	..	..	..	..	..	..	..	15	22	50
67	51	63	12	1	..	..	..	..	39	..	..	..	..	..	..	2	..	1	..	97	85	51
513	29	150	14	9	..	..	..	3	11	73	2	1	..	164	1	26	..	87	1	391	645	52
119	36	115	33	..	..	..	..	..	3	..	..	..	..	1	..	..	..	3	..	104	184	53
118	90	108	90	7	..	..	..	..	..	2	..	..	..	..	..	..	..	1	..	108	104	54
427	29	281	22	9	..	1	..	..	1	5	3	2	..	111	2	..	..	18	1	399	644	55
185	153	181	143	..	2	..	..	..	8	..	..	..	..	3	..	..	..	1	..	185	188	56
99	19	91	..	..	..	..	..	..	19	1	..	..	..	1	..	..	..	6	..	90	161	57
124	29	122	15	..	..	..	..	..	14	..	..	..	..	..	..	..	..	2	..	122	168	58
49	5	42	4	..	..	4	1	..	..	..	..	..	..	3	..	..	..	..	..	85	104	59
35	10	35	10	..	..	..	..	..	..	..	..	..	..	..	..	..	..	..	..	29	52	60
197	4	196	4	..	..	..	..	..	..	..	..	..	..	..	..	..	..	1	..	191	317	61
170	4	164	4	..	..	..	..	..	..	2	..	..	..	1	..	1	..	2	..	175	313	62
164	137	161	135	..	1	..	..	..	..	1	1	..	..	1	..	..	..	1	..	138	143	63
178	138	132	138	..	..	..	..	..	..	..	..	..	..	44	..	..	..	2	..	94	93	64
185	151	180	146	..	..	..	..	1	5	..	..	..	..	2	..	..	..	2	..	144	112	65
50	33	50	15	..	..	..	..	..	18	..	..	..	..	..	..	..	..	..	..	60	60	66

Serial No.	Name of Village/Town/ Ward/Enumerator's Block	Amenities	Area in Acres	Occupied Residential Houses: No. of Houses	Occupied Residential Houses: No. of Households	Total Population: P	Total Population: M	Total Population: F	Scheduled Castes: M	Scheduled Castes: F	Scheduled Tribes: M	Scheduled Tribes: F	Literate and Educated Persons: M	Literate and Educated Persons: F
1	2	3	4	5	6	7	8	9	10	11	12	13	14	15
67	Betani Gaon	R, P, S, Wb, Hos, V, Cd.	497.3	50	50	384	196	188	10	10	..	..	54	11
68	Hindu Japari	R, P, S, Wb, Hos, V, Cd.	271.9	34	34	179	87	92	..	..	..	..	20	4
69	Rupahibil	R, S, Db, Hos, V.	458.9	14	14	98	52	46	46	46	..	..	17	4
70	Barpathar	R, S, Db, Hos, V, Cd.	900.6	39	39	145	94	51	52	30	20	15	1	..
71	Japari Gaon	R, P, S, Db, Hos, V.	410.8	69	69	489	255	234	..	..	..	..	95	9
72	Roumari (Jungle Block No. 3 N.C.)	R, P, S, Wb, D.	741.5	43	43	225	135	90	16	6	75	54	28	5
73	Simara Gaon	R, P, S, Wb, D.	512.4	47	47	318	173	145	28	18	..	..	18	9
74	Dighaliati Pathar		509.8	No Population										
75	Barpathar N C.	R, M, S, Wb, D.	440.5	17	17	45	25	20	..	..	..	..	..	..
76	Ojagaon	R, S, Db, Hos, V.	454.0	40	40	294	167	127	43	38	..	..	27	7
77	Bhuragaon	R, So, P, S, Db, D, V.	414.1	119	119	692	382	310	2	2	..	..	186	80
78	Kupatimari	R, P, S, Db, D, V.	525.0	275	275	1,712	918	794	..	..	..	..	332	154
79	Barkurpathar No. 1	R, P, S, Wb, D, V.	639.5	169	169	1,183	658	525	..	..	..	..	22	..
80	Barkurpathar No. 2	R, P, S, Wb, D, V.	682.9	83	83	630	328	302	..	..	..	..	5	..
81	Sewjiapathar (Jungle Block)	R, P, S, Db, D, V.	453.3	19	19	122	75	47	..	..	..	..	16	5
82	Holowkanda	R, P, S, Db, Hos, V.	416.3	71	71	437	232	205	..	..	..	..	27	2
83	Jawgar No. 1		659.9	No Population										
84	Jawgar No. 2	R, S, Db, Hos, V.	..	15	15	95	51	44	..	..	..	..	4	..
85	Jawgar No. 4	R, S, Db, Hos, V.	232.5	53	53	315	164	151	..	..	..	..	5	..
86	Jawgar No. 3	R, P, Kw, Wb, D, V.	..	94	94	542	299	243	..	..	..	..	105	15
87	Kichamguri Chapari	R, S, Wb, V.	667.1	47	47	266	132	134	..	..	..	..	20	11
88	Kahitoli	R, S, Wb, D, V.	640.0	98	98	485	285	200	22	19	..	..	19	..
89	Nitmari	R, S, Wb, D, V.	481.7	35	35	247	136	111	..	..	..	..	11	..
90	Kichamguri	R, S, Wb.	..	34	34	167	92	75	..	..	..	..	..	..
91	Jatiabori	R, P, S, Wb, D, V.	414.3	42	42	297	150	147	..	..	..	..	72	23
92	Kapoorpoora		384.3	Merged with Village No. 93										
93	Tulsibori	R, S, Db, D, V.	478.5	142	142	729	385	344	..	..	..	..	19	2
94	Batabari	R, S, Wb, Hos.	298.2	61	61	382	196	186	..	..	..	..	24	5
95	Tengaguri Kacharigaon	R, P, S, Wb,Hos.	454.3	223	223	757	406	351	17	12	..	..	67	13
96	Mohmara Pathar	R, H, S, Wb, D, V.	479.1	91	91	452	233	219	10	7	..	..	60	17
97	Barholowkonda	R H, S, Wb, D, V.	299.9	81	81	411	227	184	41	24	..	..	65	21
98	Baliadonga Pam	R, P, S, Wb, D, V.	534.9	194	194	1,045	525	520	..	..	..	..	129	78
99	Hatilaruapathar	R, P, S, Wb, D, V.	3 9.0	75	75	506	271	235	..	..	..	..	32	6
100	Outalbori	R, P, S, Db, D, V.	553.2	189	189	1,376	707	669	8	8	..	..	174	54
101	Tengagurigaon	R, Edbo, P, S, Db, D.	486.8	106	106	658	357	301	..	..	..	..	96	41
102	Phalihamaripathar	R, P, S, Wb, D, V.	278.9	108	108	649	344	305	..	..	..	..	99	53
103	Odalbhetipathar	R, P, S, Db, D, V.	293.7	97	97	776	402	374	..	..	..	..	101	24
104	Phalihamaripam	R, M, S, Wb, D, V.	648.4	153	153	912	485	427	..	..	..	..	32	19
105	Batalimarigaon	R, S, Wb, D.	414.8	173	173	1,221	623	598	382	361	..	..	113	7
106	Bhakuamaripam	R, P, S, Db, D, V.	509.3	Merged With Village No. 107										
107	Baliparajungle	R, P, S, V.	300.0	146	146	969	516	453	..	..	81	89	89	32
108	Jaribar	R, P, S, V.	449.8	Merged With Village No. 109										
109	Dhobangkhaity	R, P, S, Wb, D.	560.3	86	86	667	352	315	..	..	..	..	57	20
110	Bhakuamari	R, H, S, Wb, Hos, V.	210.0	17	17	73	36	37	31	33	5	4	1	..
111	Bhuyabaripam	R, P, S, Wb, Hos, V.	353.2	90	90	554	290	264	..	..	5	..	27	11
112	Ouguripam	R, P, S, Wb, Hos, V.	522.4	39	39	227	133	94	21	18	91	71	18	1
113	Be amaridoba	R, S, Wb, Hos, V.	479.0	72	72	440	226	214	163	158	55	52	25	5
114	Batalimari	R, P, S, Wb, Hos, V.	397.7	107	107	796	429	367	419	358	..	..	143	14
115	Pokarkata	R, P, S, Wb, Hos, V.	654.0	99	99	701	362	339	..	..	346	323	152	31
116	Barchibandha	R, S Wb, D, V, Cd.	459.0	55	55	387	208	179	9	8	30	23	43	6

LAHARIGHAT (1)

Total workers (I—IX)		WORKERS I		II		III		IV		V		VI		VII		VIII		IX		X Non-workers		Sl. No.
M	F	M	F	M	F	M	F	M	F	M	F	M	F	M	F	M	F	M	F	M	F	
16	17	18	19	20	21	22	23	24	25	26	27	28	29	30	31	32	33	34	35	36	37	1
107	73	97	58	2	..	..	..	..	14	1	..	..	..	4	..	..	..	3	1	89	115	67
56	37	55	20	..	..	..	..	..	17	..	..	..	..	..	..	..	..	1	..	31	55	68
30	..	30	..	..	..	..	..	..	..	..	..	..	..	..	..	..	..	..	..	22	46	69
71	..	71	..	..	..	..	..	..	..	..	..	..	..	..	..	..	..	..	..	23	51	70
154	18	126	18	11	..	..	..	..	..	..	..	..	..	..	..	..	..	7	..	111	216	71
82	52	81	38	..	..	..	..	..	14	..	..	..	..	..	..	..	..	1	..	53	38	72
93	69	93	33	..	..	..	..	..	36	..	..	..	..	..	..	..	..	..	..	80	76	73
																						74
16	12	16	12	..	..	..	..	..	..	..	..	..	..	..	..	..	..	..	..	9	8	75
104	64	92	64	10	..	..	..	..	..	1	..	..	..	..	..	1	..	..	..	63	63	76
209	74	101	44	11	6	1	..	1	22	11	..	8	..	38	..	9	..	29	2	173	236	77
391	7	289	7	..	..	..	..	..	..	23	..	..	..	73	..	..	..	6	..	527	787	78
358	..	355	..	..	..	..	..	..	..	..	..	..	..	..	..	..	..	3	..	300	525	79
184	..	184	..	..	..	..	..	..	..	..	..	..	..	..	..	..	..	..	..	144	302	80
48	..	48	..	..	..	..	..	..	..	..	..	..	..	..	..	..	..	..	..	27	47	81
121	..	121	..	..	..	..	..	..	..	..	..	..	..	..	..	..	..	..	..	111	205	82
																						83
31	23	31	23	..	..	..	..	..	..	..	..	..	..	..	..	..	..	..	..	20	21	84
92	72	92	72	..	..	..	..	..	..	..	..	..	..	..	..	..	..	..	..	72	79	85
165	66	165	66	..	..	..	..	..	..	..	..	..	..	..	..	..	..	..	..	134	177	86
85	..	85	..	..	..	..	..	..	..	..	..	..	..	..	..	..	..	..	..	47	134	87
193	..	193	..	..	..	..	..	..	..	..	..	..	..	..	..	..	..	..	..	92	200	88
128	..	128	..	..	..	..	..	..	..	..	..	..	..	..	..	..	..	..	..	8	111	89
50	..	50	..	..	..	..	..	..	..	..	..	..	..	..	..	..	..	..	..	42	75	90
72	..	70	..	..	..	..	..	..	..	..	..	..	..	..	..	..	..	2	..	78	147	91
																						92
170	4	164	4	6	..	..	..	..	..	..	..	..	..	..	..	..	..	..	..	215	340	93
98	1	97	1	..	..	..	..	..	..	..	..	..	..	..	..	..	..	1	..	98	185	94
224	9	224	8	..	..	..	..	..	..	..	..	..	..	..	..	..	..	..	1	182	342	95
113	..	111	..	..	..	..	..	..	..	..	..	..	..	1	..	..	..	1	..	120	219	96
128	3	127	3	..	..	..	..	..	..	..	..	..	..	..	..	..	..	1	..	99	181	97
298	7	297	7	..	..	..	..	..	..	..	..	..	..	..	..	..	..	1	..	227	513	98
137	..	137	..	..	..	..	..	..	..	..	..	..	..	..	..	..	..	..	..	134	235	99
377	28	374	..	..	..	..	..	..	28	..	..	..	..	1	..	..	..	2	..	330	641	100
188	2	185	2	3	..	..	..	..	..	..	..	..	..	..	..	..	..	..	..	169	299	101
205	..	176	..	29	..	..	..	..	..	..	..	..	..	..	..	..	..	..	..	139	305	102
209	2	170	..	39	2	..	..	..	..	..	..	..	..	..	..	..	..	..	..	193	372	103
262	63	254	63	7	..	..	..	..	..	..	..	..	..	..	..	..	..	1	..	223	364	104
293	..	221	..	69	..	..	..	..	..	1	..	..	..	..	..	1	..	1	..	330	598	105
																						106
284	50	224	..	58	2	..	..	..	48	..	..	..	..	..	..	..	..	2	..	232	403	107
																						108
202	..	169	..	32	..	..	..	..	..	..	..	..	..	..	..	..	..	1	..	150	315	109
22	..	22	..	..	..	..	..	..	..	..	..	..	..	..	..	..	..	..	..	14	37	110
148	..	141	..	7	..	..	..	..	..	..	..	..	..	..	..	..	..	..	..	142	264	111
83	..	65	..	18	..	..	..	..	..	..	..	..	..	..	..	..	..	..	..	50	94	112
146	..	91	..	55	..	..	..	..	..	..	..	..	..	..	..	..	..	..	..	80	214	113
231	1	231	..	..	..	..	..	..	..	..	..	..	..	..	..	..	..	..	1	198	366	114
178	162	172	155	..	..	..	..	..	7	..	..	..	..	1	..	..	..	5	..	184	177	115
101	..	101	..	..	..	..	..	..	..	..	..	..	..	..	..	..	..	..	..	107	179	116

Serial No.	Name of Village/Town/Ward/ Enumerator's Block	Amenities	Area in Acres	Occupied Residential Houses: No. of Houses	Occupied Residential Houses: No. of Households	Total Population: P	Total Population: M	Total Population: F	Scheduled Castes: M	Scheduled Castes: F	Scheduled Tribes: M	Scheduled Tribes: F	Literate and Educated Persons: M	Literate and Educated Persons: F
1	2	3	4	5	6	7	8	9	10	11	12	13	14	15
117	Pokalagi	R, P, S, Wb, D, V, Cd.	385.5	38	38	239	114	125	..	..	50	61	28	3
118	Baumaribil	R, S, Wb, D, V, Cd.	351.0	25	25	170	89	81	34	34	1	..	29	6
119	Nalj ri (Lecheri Naljari)	R, S, Wb, Hos, V.	326.3	17	17	124	66	58	..	..	..	..	17	3
120	Rajabari (Block No. V)	R, P, S, Wb, Hos, V.	281.1	31	31	227	124	103	..	..	..	..	30	5
121	Jamandarigaon	R, P, S, Wb, Hos, V.	535 5	70	70	575	297	278	..	.	55	60	108	13
122	Salmorabil	R, S, Wb, D, V.	447.6	19	19	82	38	44	..	..	6	13	14	..
123	Gohaibari	R, S, Wb, D, V.	407.7	25	25	145	69	76	..	..	..	..	39	22
124	Niz-Gerua	R, M, S, Wb, D, V.	486.4	95	95	634	348	286	..	..	..	..	136	45
125	Geruaati	R, M, S, Wb, D, V.	882.2	90	90	497	259	238	..	..	74	69	91	32
126	Patrabori	R, S, Wb, D, V.	518.3	51	51	146	89	57	..	..	9	4	21	..
127	Kanphalatup	R, Riv, Wb, Hos, V, Cd.	248.0	12	12	84	49	35	..	..	39	31	8	..
128	Geruabil	R, M, Pw, Wb, D, V.	524.9	13	13	90	53	37	..	..	38	31	19	1
129	Kamarbori	R, H, Pw, Wb, Hos, V.	388.5	25	25	100	54	46	..	..	54	46	9	6
130	Amarguri	R, S, Wb, D, V.	714.8	37	37	203	111	92	..	..	108	92	16	..
131	Garapar	R, M, S, Wb, D, V.	850.6	72	72	518	265	253	..	..	12	10	44	15
132	Hariabil	R, H, S, Wb, D, V.	..	47	47	282	133	149	..	..	..	..	13	3
133	Kharuhowabil		153.9	No Population										
134	Kaurehagi	R, S, Wb, V.	700.9	149	149	921	482	439	..	..	..	..	8	..
134(a)	Kaurehagi N.C.		..	Tagged with Village No. 134										
135	Kashipori	R, P, S, Db, D, V.	568.3	227	227	1,139	591	548	6	..	..	..	172	33
136	Kishanguri		416.7	Merged with Village No. 135										
137	Borigaonpathar		453.0	No Population										
138	Sialmarigaon	R, H, S, Wb, Hos, V.	808.0	177	177	1,112	587	525	..	..	108	116	103	36
139	Tengaguri		576.9	45	45	431	206	225	..	..	116	123	50	14
140	Tengaguri N.C.		175.2	Merged with Village No. 141										
141	Tengaguri No. 2	R, P, S, Wb, Hos, V.	383.0	352	352	1,358	723	635	..	..	..	..	13	6
142	Tengaguri No. 1		443.8	Tagged with Village No. 143										
143	Sialmarikacharigaon	R, S, Wb, V.	675.0	178	178	888	473	415	..	..	..	..	19	4
144	Dhekeramaripathar		529.1	104	104	652	358	294	..	..	..	..	68	4
145	Dhumkura	R, M, S, Wb.	355.3	232	232	1,158	620	538	14	11	..	..	215	79
146	Rowmaribil		398.6	47	47	235	123	112	..	..	..	..	17	1
147	Harangtoli	R, S, Wb, Hos, V.	246.4	14	14	95	46	49	..	..	..	..	2	..
148	Chutiagaon	R, P, S, Wb, Hos, V.	204.1	63	63	415	224	191	..	..	..	..	99	27
149	Chenimarigoan	R, M, Pw, Wb, Hos.	481.8	153	153	1,040	553	487	..	..	..	..	131	70
150	Pambori	R, P, S, Wb, Hos, V.	277.0	25	25	187	96	91	..	..	17	17	39	16
151	Garakhiakhuti	R, P, S, Wb, D.	558.1	85	85	692	347	345	..	..	301	297	38	11
152	Mikirgaon	R, P, S, Wb, D.	495.3	136	136	915	505	410	..	..	21	17	122	39
153	Kathanigaon	R, P, S, Wb, D, V.	528.5	78	78	506	268	238	1	..	..	..	121	49
154	Dakhinchenimari	R, P, S, Wb, D, V.	432.4	159	159	907	473	434	..	..	..	..	125	37
155	Bagaliparagaon	R, S, Wb, D, V.	621.6	137	137	921	499	422	..	..	..	..	75	11
156	Barkhabalpathar	R, P, S, Wb, D.	330.8	114	114	753	387	366	..	..	..	..	77	34
157	Raja-Ga-Dhowa	R, P, S, Wb, D, V.	352.6	65	65	498	264	234	..	..	43	47	40	10
158	Bagalipara Pathar	R, P, S, Wb, D, V.	355.9	42	42	293	145	148	..	..	142	144	21	16
159	Dhingarati	R, S, Wb, D.	398.2	162	162	902	481	421	91	72	..	..	134	38
160	Mari ali Pathar	R, S, Wb, D.	343.9	105	105	583	307	276	40	35	..	..	49	6
161	Chetuaikhaiti	R, P, S, Wb, Hos, V.	399.5	75	75	494	270	224	22	19	..	..	48	17
162	Dhupaguri	R, P, S, Wb, D, V, Cd.	446.5	60	60	462	250	212	7	3	236	203	48	17
163	Bhuyabari Pathar	R, P, S, Wb, Hos, Cd.	523.1	83	83	644	346	298	75	68	20	24	40	11
164	Barangani Pathar	R, M, S, Wb, Hos, V, Cd.	636.6	94	94	735	388	347	13	9	364	334	76	3
165	Laobhurunga	R, P, S.	593.0	128	128	1,081	560	521	4	5	30	38	125	9
166	Patiabandha	R, Tk, Hos, Cd.	596.5	7	7	20	20	..	..	..	4	..	..	..
167	Baribandha	R, M, S, Wb, D, V, Cd.	453.2	145	145	981	495	486	..	..	83	97	68	6

LAHARIGHAT (I)

Total workers (I—IX)		WORKERS I		II		III		IV		V		VI		VII		VIII		IX		X Non-workers		Serial No.
M	F	M	F	M	F	M	F	M	F	M	F	M	F	M	F	M	F	M	F	M	F	
16	17	18	19	20	21	22	23	24	25	26	27	28	29	30	31	32	33	34	35	36	37	1
59	..	59	..	..	..	..	..	..	..	..	..	..	..	..	..	..	..	..	..	55	125	117
39	..	39	..	..	..	..	..	..	..	..	..	..	..	..	..	..	..	..	..	50	81	118
33	..	33	..	..	..	..	..	..	..	..	..	..	..	..	..	..	..	..	..	33	58	119
68	..	66	..	2	..	..	..	..	..	..	..	..	..	..	..	..	..	..	..	56	103	120
157	..	156	..	..	..	1	..	..	..	..	..	..	..	..	..	..	..	..	..	140	278	121
19	23	19	23	..	..	..	..	..	..	..	..	..	..		..	..	..	..	..	19	21	122
36	4	35	4	..	..	..	..	..	..	..	..	..	..	..	..	..	..	1	..	33	72	123
189	113	161	111	..	..	..	..	..	2	4	..	6	..	3	..	..	..	15	..	159	173	124
106	86	106	86	..	..	..	..	..	..	..	..	..	..	..	..	..	..	..	..	153	152	125
51	21	51	21	..	..	..	..	..	..	..	..	..	..	..	..	..	..	..	..	38	36	126
32	..	32	..	..	..	..	..	..	..	..	..	..	..	..	..	..	..	..	..	17	35	127
35	..	35	..	..	..	..	..	..	..	..	..	..	..	..	..	..	..	..	..	18	37	128
32	..	32	..	..	..	..	..	..	..	..	..	..	..	..	..	..	..	..	..	22	46	129
60	..	60	..	..	..	..	..	..	..	..	..	..	..	..	..	..	..	..	..	51	92	130
126	49	124	49	..	..	..	..	..	..	..	..	..	..	1	..	..	..	1	..	139	204	131
81	77	81	77	..	..	..	..	..	..	..	..	..	..	..	..	..	..	..	..	52	72	132
																						133
283	..	283	..	..	..	..	..	..	..	..	..	..	..	..	..	..	..	..	..	199	439	134
																						134(a)
324	72	289	1	15	..	7	..	..	71	1	..	..	..	8	..	..	..	4	..	267	476	135
																						136
																						137
308	118	253	..	18	..	1	..	..	118	5	..	..	..	9	..	8	..	14	..	279	407	138
108	94	81	..	13	..	..	..	..	94	..	..	..	..	7	..	2	..	5	..	98	131	139
																						140
442	3	419	3	22	..	..	..	..	..	..	..	..	..	1	..	..	..	..	..	281	632	141
																						142
247	..	193	..	51	..	..	..	..	..	1	..	..	..	..	..	..	..	2	..	226	415	143
167	1	167	1	..	..	..	..	..	..	..	..	..	..	..	..	..	..	..	..	191	293	144
357	8	165	1	59	..	4	..	2	3	34	..	1	..	45	4	3	..	44	..	263	530	145
71	..	58	..	13	..	..	..	..	..	..	..	..	..	..	..	..	..	..	..	52	112	146
24	2	24	2	..	..	..	..	..	..	..	..	..	..	..	..	..	..	..	..	22	47	147
104	35	102	35	..	..	..	..	..	..	..	..	..	..	..	..	..	.	2	..	120	156	148
307	3	242	..	61	3	..	..	..	..	..	..	..	..	..	..	..	..	4	..	246	484	149
47	3	47	3	..	..	..	..	..	..	..	..	..	..	..	..	..	..	..	..	49	88	150
210	197	209	..	..	..	..	..	..	197	..	..	..	..	..	..	..	..	1	..	137	148	151
265	79	263	2	..	..	..	..	..	..	..	..	..	77	..	..	..	..	2	..	240	331	152
143	63	118	..	18	..	..	..	..	62	..	..	..	..	..	..	..	..	7	1	125	175	153
253	47	203	..	40	..	..	..	..	47	4	..	..	..	..	..	..	..	6	..	220	387	154
274	3	270	3	..	..	..	..	..	..	..	..	..	..	1	..	..	..	3	..	225	419	155
201	..	150	..	50	..	..	..	..	..	..	..	..	..	..	..	..	..	1	..	186	366	156
135	25	129	..	6	..	..	..	..	25	..	..	..	..	..	..	..	..	..	..	129	209	157
86	64	86	..	..	..	..	..	..	64	..	..	..	..	..	..	..	..	..	..	59	84	158
242	6	160	5	13	..	..	..	..	..	13	..	..	..	17	..	..	..	39	1	239	415	159
174	..	157	..	17	..	..	..	..	..	..	..	..	..	..	..	..	..	..	..	133	276	160
122	..	112	..	3	..	..	..	..	..	2	..	..	..	3	..	..	..	2	..	148	224	161
125	..	117	..	..	..	..	..	..	..	..	..	..	..	3	..	..	..	5	..	125	212	162
181	..	181	..	..	..	..	..	..	..	..	..	..	..	..	..	..	..	..	..	165	298	163
157	..	152	..	..	..	..	..	..	..	..	..	..	..	..	..	1	..	4	..	231	347	164
309	..	307	..	..	..	..	..	..	..	..	..	..	..	..	..	..	..	2	..	251	521	165
20	..	20	..	..	..	..	..	..	..	..	..	..	..	..	..	..	..	..	..	..	..	166
257	..	248	..	..	..	..	..	..	..	1	..	..	..	1	..	..	..	7	..	238	486	167

Serial No.	Name of Village/Town/ Ward/Enumerator's Block	Amenities	Area in Acres	Occupied Residential Houses: No. of Houses	Occupied Residential Houses: No. of Households	Total Population: P	Total Population: M	Total Population: F	Scheduled Castes: M	Scheduled Castes: F	Scheduled Tribes: M	Scheduled Tribes: F	Literate and Educated Persons: M	Literate and Educated Persons: F
1	2	3	4	5	6	7	8	9	10	11	12	13	14	15
168	Chalchingabori	R, P, S, Wb, Hos, V, Cd.	496.9	14	14	102	54	48	..	..	43	36	9	3
169	Mahdolabori	R, P, S, V, Cd.	528.8	44	44	297	167	130	15	19	58	42	58	5
170	Jengarbori	R, P, S, Wb, D, V, Cd.	586.0	41	41	297	157	140	..	..	138	126	42	19
171	Satiantoli	R, P, S, Wb, D, V, Cd.	598.9	123	123	895	475	420	..	..	29	24	6	..
172	Amaraguri	R, P, S, Wb, Hos, V.	893.8	221	221	1,400	735	665	6	..	203	206	81	15
173	Batabori	R, P, S, Wb, Hos, V, Cd.	395.7	34	34	237	133	104	..	..	124	96	23	..
174	Dewamari	R, P, S, Wb, Hos, V.	620.6	90	90	539	278	261	..	..	5	7	25	7
175	Udkati	R, Kw, Wb, Hos, Cd.	588.5	102	102	682	345	337	45	48	..	..	27	2
176	Dewaguri	R, H, S, Wb, Hos.	370.0	93	93	660	344	316	..	..	149	150	34	7
177	Titatolabori	R, P, S, Cd.	924.4	86	86	574	296	278	..	..	132	118	34	4
178	Boalguri	R, P, S, Db, V, Cd.	910.0	110	110	1,058	539	519	..	..	..	..	12	..
179	Lalabori	R, M, S, V, Cd.	862.9	34	34	318	161	157	..	..	73	82	36	7
180	Laharipam	R, P, Kw, Wb, Hos, V.	897.0	12	12	58	40	18	..	..	11	..	2	..
180(a)	Laharipam N.C.				Tagged with Sl. No. 180									
181	Garaimaribil	R, P, S, Hos, V.	813.4	252	252	1,568	829	739	..	..	..	..	160	46
182	Mohmarabil	R, Tk, Wb, Hos, V, Cd.	608.7	209	209	548	285	263	..	..	..	..	35	4
183	Kacharibori	R, P, S, Wb.	553.3	239	239	1,197	612	585	..	..	..	..	72	7
184	Sapkati	R, S, V.	430.3	135	135	734	389	345	..	..	..	..	24	..
185	Patuakata	R, P, S, V.	647.1	115	115	849	465	384	..	..	122	112	123	34
186	Borsola	R, S, D, V.	1,177.8	261	261	1,137	604	533	..	..	345	315	217	35
187	Barsola Gaon	R, P, S, Wb, D.	547.9	175	175	824	430	394	..	..	5	3	131	34
188	Nagabandha	R, Edbo, H, S, Wb, D, V.	696.6	356	356	1,763	922	841	1	..	..	..	161	64
189	Barbari	R, P, S, Wb, Hos.	771.7	101	101	763	395	368	..	..	122	143	71	9
190	Palahjuri	R, P, S, Wb, D.	924.6	265	265	1,269	680	589	..	..	148	142	80	30
191	Sarusala Bari	R, P, S, Wb, D, V.	746.4	132	132	866	475	391	..	..	78	72	52	7
192	Garaimari Gaon	R, H, S, Wb, V, Cd.	586.7	148	148	924	472	452	..	..	..	..	28	2
193	Sitalmari Pathar	R, H, S, S, Wb, V.	463.0	227	227	643	340	303	..	..	..	..	28	..
194	Sitalmari N. C.	R, P, S, Wb, D, V.	1,544.6	289	289	1,566	851	715	..	..	..	..	50	11
195	Rongrai Chapari No. 2	R, P, S.	151.9	48	48	296	150	146	..	..	..	..	30	12
196	Rongrai Chapari No. 1	R, S, V.	378.6	95	95	635	318	317	..	..	..	..	31	5
197	Garaimari Pathar	R, S.	682.1	50	50	393	216	177	..	..	..	..	27	12
198	Bhazakhaiti	R, S.	431.3	60	60	565	295	270	..	..	..	..	35	9
199	Rongraichapari	R, S.	59.5	29	29	107	59	48	..	..	..	..	5	..
200	Leruamukh	R, P, S.	792.9	174	174	997	530	467	..	..	..	..	72	12
201	Bhelowguri	R, H, S.	363.5	95	95	555	308	247	..	..	..	..	20	5
202	Barchapari	R, H, S.	331.0	169	169	1,101	596	505	..	..	..	..	56	28
203	Bhazakhaitipathar	R, P, S.	312.5	84	84	555	322	233	..	..	..	..	28	14
204	Tatikatapathar	R, P, S, D.	998.1	293	293	1,868	1 001	867	..	..	2	2	152	27
205	Madarguri	R, P, S, V.	417 9	101	101	537	276	261	..	..	..	..	63	19
206	Sonarigaon	R, S, V.	390.0	101	101	591	315	276	..	..	..	..	23	..
207	Ulubari	R, P, S.	577.5	141	141	898	491	407	..	..	..	..	101	39
208	Solmari	R, S.	491.7	139	139	797	426	371	..	..	..	..	71	24
209	Barthaldoloigaon	R, P, S.	839.6	248	248	1,556	831	725	..	..	..	..	138	48
210	Barthalkacharigaon	R, H, S.	630.5	233	233	1,395	722	673	2	1	..	..	157	43
211	Mairabarigaon	R, Rly, H, S, Wb.	828.7	606	606	3,210	1,891	1,319	44	20	..	..	690	201
212	Hatimuria	R, Rly, P, S, Wb, Hos, V.	738.0	402	402	2,268	1,210	1,058	..	..	..	..	381	174
213	Hagaltoli	R, S, Wb, Hos, V.	352.6	107	107	452	237	215	..	..	..	..	34	9
214	Hahsorabori	R, P, S, Db, Hos, V.	487.9	111	111	568	311	257	..	..	..	..	57	23
215	Hahsora Gaon	R, P, S, Wb, Hos.	304.2	262	262	1,045	540	505	..	..	..	..	102	36

LAHARIGHAT (1)

Total workers (I—IX)		WORKERS I		II		III		IV		V		VI		VII		VIII		IX		X Non-workers		Sl. No.
M	F	M	F	M	F	M	F	M	F	M	F	M	F	M	F	M	F	M	F	M	F	
16	17	18	19	20	21	22	23	24	25	26	27	28	29	30	31	32	33	34	35	36	37	1
31	27	29	25	2	2	..	..	..	..	..	..	..	..	..	..	..	..	..	..	23	21	168
88	62	88	62	..	..	..	..	..	..	..	..	..	..	..	..	..	..	..	..	79	68	169
63	..	63	..	..	..	..	..	..	..	..	..	..	..	..	..	..	..	..	..	94	140	170
256	49	256	49	..	..	..	..	..	..	..	..	..	..	..	..	..	..	..	..	219	371	171
407	29	336	27	12	..	..	..	..	..	4	..	..	..	1	..	1	..	53	2	328	636	172
76	..	75	..	..	..	..	..	..	..	..	..	..	..	1	..	..	..	..	..	57	104	173
158	..	158	..	..	..	..	..	..	..	..	..	..	..	..	..	..	..	..	..	120	261	174
174	1	172	..	1	..	..	..	..	..	..	..	..	..	..	..	..	..	1	1	171	336	175
168	..	162	..	2	..	..	..	..	..	..	..	..	..	2	..	..	..	2	..	176	316	176
156	8	155	8	1	..	..	..	..	..	..	..	..	..	..	..	..	..	..	..	140	270	177
317	176	316	176	1	..	..	..	..	..	..	..	..	..	..	..	..	..	..	..	222	343	178
80	72	77	41	1	2	..	..	..	29	..	..	..	..	..	..	..	..	2	..	81	85	179
28	6	28	6	..	..	..	..	..	..	..	..	..	..	..	..	..	..	..	..	12	12	180
																						180(a)
418	..	328	..	81	..	2	..	..	..	3	..	..	..	2	..	..	..	2	..	411	739	181
156	..	126	..	30	..	..	..	..	..	..	..	..	..	..	..	..	..	..	..	129	263	182
312	..	284	..	26	..	..	..	..	..	..	..	..	..	..	..	..	..	2	..	300	585	183
180	..	168	..	12	..	..	..	..	..	..	..	..	..	..	..	..	..	..	..	209	345	184
249	144	221	141	26	3	..	..	..	..	..	..	..	..	2	..	..	..	..	..	216	249	185
325	222	303	101	6	1	7	..	1	120	3	..	1	..	1	..	..	..	3	..	279	311	186
220	57	182	7	30	..	..	..	..	48	3	..	2	..	..	2	..	..	3	..	210	337	187
480	5	276	..	178	1	13	..	1	..	1	2	..	..	4	..	..	..	7	2	442	836	188
200	59	172	..	27	3	..	..	..	56	..	..	..	..	..	..	..	..	1	..	195	309	189
369	56	357	7	3	..	..	..	..	47	1	2	..	..	6	..	..	..	2	..	311	533	190
264	17	223	3	41	..	..	..	..	14	..	..	..	..	..	..	..	..	..	..	211	374	191
199	1	195	1	4	..	..	..	..	..	..	..	..	..	..	..	..	..	..	..	273	451	192
138	..	133	..	..	..	..	..	..	..	3	..	..	..	..	..	..	..	2	..	202	303	193
495	1	444	1	51	..	..	..	..	..	..	..	..	..	..	..	..	..	..	..	356	714	194
84	..	47	..	30	..	..	..	..	..	..	..	..	..	5	..	..	..	2	..	66	146	195
173	1	131	1	41	..	..	..	..	..	..	..	..	..	..	..	..	..	1	..	145	316	196
115	..	91	..	23	..	..	..	..	..	..	..	..	..	..	..	..	..	1	..	101	177	197
169	..	128	..	39	..	..	..	..	..	..	..	..	..	..	..	..	..	2	..	126	270	198
29	..	26	..	3	..	..	..	..	..	..	..	..	..	..	..	..	..	..	..	30	48	199
308	4	189	2	119	2	..	..	..	..	..	..	..	..	..	..	..	..	..	..	222	463	200
186	13	158	10	28	3	..	..	..	..	..	..	..	..	..	..	..	..	..	..	122	234	201
371	7	332	1	36	..	..	..	..	6	1	..	..	..	2	..	..	..	..	..	225	498	202
208	12	132	7	57	1	..	..	..	4	..	..	1	..	2	..	..	..	16	..	114	221	203
558	49	344	4	109	..	..	..	1	16	56	28	..	..	28	..	6	..	14	1	443	818	204
164	4	93	..	65	4	..	..	..	..	..	..	..	..	3	..	..	..	3	..	112	257	205
173	..	133	..	40	..	..	..	..	..	..	..	..	..	..	..	..	..	..	..	142	276	206
250	..	210	..	36	..	..	..	..	..	..	..	..	..	..	..	..	..	4	..	241	407	207
203	5	152	3	51	2	..	..	..	..	..	..	..	..	..	..	..	..	..	..	223	366	208
483	1	351	..	91	..	..	..	..	..	..	..	..	..	5	..	..	..	36	1	348	724	209
356	2	241	..	102	2	..	..	..	..	..	..	..	..	5	..	..	..	8	..	366	671	210
1,088	11	385	4	59	2	24	..	..	..	174	2	1	..	265	2	14	..	166	1	803	1,308	211
630	15	490	3	91	2	2	4	3	5	14	..	..	..	12	..	2	..	16	1	580	1,043	212
64	13	59	12	4	1	..	..	..	..	..	..	..	..	1	..	..	..	..	..	173	202	213
162	4	120	3	37	..	..	..	..	..	..	..	..	..	..	..	..	..	5	1	149	253	214
304	2	242	1	55	..	..	..	..	..	..	..	..	..	..	..	..	..	7	1	236	503	215

Serial No.	Name of Village/Town/ Ward/Enumerator's Block	Amenities	Area in Acres	Occupied Residential Houses: No. of Houses	Occupied Residential Houses: No. of Households	Total Population: P	Total Population: M	Total Population: F	Scheduled Castes: M	Scheduled Castes: F	Scheduled Tribes: M	Scheduled Tribes: F	Literate and Educated Persons: M	Literate and Educated Persons: F
1	2	3	4	5	6	7	8	9	10	11	12	13	14	15
216	Gariaboripathar	R, P, S, Wb, D, V.	363.2	75	75	589	309	280	..	..	..	..	43	5
217	Durabandhibil	R, P, S, Wb, D, V.	396.4	60	60	397	209	188	..	..	..	..	28	1
218	Datialbori	R, M, S, Hos, V.	857.3	280	280	1,828	927	901	..	..	..	..	153	67
219	Barbori	R, P, S, Wb, Hos.	296.6	218	218	826	493	333	4	3	..	..	188	55
220	Haladhibari	R, P, S, Wb, Hos.	231.9	28	28	167	78	89	..	..	..	..	8	..
221	Narsingbori	R, P, S, Wb, Hos.	341.5	104	104	492	256	236	..	..	..	..	53	13
222	Dongarpar	R, S, Wb, D.	261.6	58	58	326	167	159	..	..	..	..	24	2
223	Gariabori	R, P, S, Wb, Hos.	344.6	96	96	528	275	253	..	..	..	..	64	7
224	Durabandhi	R, P, S, Wb, V.	390.0	105	105	589	317	272	..	..	..	..	101	37
225	Sagunbahi Pathar	R, P, S, Wb, V.	926.4	214	214	1,154	598	556	..	..	..	..	102	33
226	Lalipur	R, S, Wb.	199.6	35	35	180	91	89	..	..	..	..	22	3
227	Lochanbari	R, P, S, Wb, V.	796.5	309	309	1,697	902	795	..	..	..	..	131	34
228	Bahalmukh	R, P, S, Wb, Hos, V.	538.1	96	96	511	269	242	..	..	..	..	23	7
229	Lengeribori	R, P, S, Wb, V.	1,162.5	378	378	2,158	1,135	1,023	..	..	..	..	160	57
230	Sahariagaon	R, P, S, Db, V.	589.2	282	282	1,594	837	757	42	41	..	..	145	28
231	Gunibari	R, P, S, D, V, Cd.	584.3	131	131	940	484	456	..	..	..	..	33	14
232	Belabori		436.0	Tageed with Village No. 230										
233	Garaimari		361.0	No Population										
234	Uralkata Pathar	R, P, S, Wb, D, V, Cd.	541.7	89	89	524	294	230	10	..	..	..	30	2
235	Sahariapam	R, M, S, Wb, V, Cd.	524.2	126	126	812	415	397	..	..	..	..	113	51
236	Hatibalsimaluguri	R, P, S, Wb, Hos, Cd.	721.3	110	110	809	398	411	..	..	74	63	197	67
237	Kalikajuri	R, P, S, Wb, D, V, Cd.	962.0	257	257	1,496	749	747	..	..	..	..	193	100
238	Sukdal Barbori	R, P, S, Wb, Hos, V, Cd.	949.9	115	115	762	383	379	73	71	1	..	148	48
239	Sukdalsarubori	R, S, Wb, Hos, V, Cd.	608.9	56	56	354	176	178	101	108	..	..	64	23
240	Tarabori	R, P, S, Wb, D, Cd.	579.0	180	180	1,238	641	597	..	..	195	192	255	81
241	Darangigaon	R, P, S, Wb, D, V, Cd.	832.7	114	114	756	387	369	..	..	21	18	147	58
242	Barangabari	R, Edbo, P, S, Wb, D, Cd.	1,070.2	447	447	2,963	1,493	1,470	13	3	691	605	686	204
243	Tamulibari	R, P, S, Wb, D, Cd.	596.0	56	56	346	189	157	..	..	..	..	87	39
244	Sataribori	R, P, S, Wb, D, Cd.	711.8	80	80	568	306	262	..	..	..	..	137	39
245	Parasutangani	R, P, S, Cd.	868.9	110	110	792	419	373	..	..	144	146	195	50
246	Barigaon	R, S, Wb, D, Cd.	708.6	275	275	1,399	718	681	12	4	32	34	392	175
247	Rangadaria	R, P, S, Wb, D, Cd.	948.9	160	160	1,053	559	494	..	..	..	..	228	82
248	Tamukabori	R, P, S, Cd	518.4	110	110	959	486	473	..	..	..	..	103	27
249	Dighalipathar	R, P, S, Wb, Cd.	545.2	24	24	144	74	70	..	..	..	..	25	7
250	Suratbori	R, S, Wb, D, V, Cd.	780.5	69	69	549	297	252	..	..	..	..	161	55
251	Niz Mikirbheta	R, Edbo, M, S, Wb, D, V, Cd.	696.2	260	260	1,529	799	730	156	114	57	33	292	69
252	Hekodangbori	R, P, S, Wb, Hos, Cd.	1,175.2	181	181	1,274	642	632	231	212	..	..	106	69
253	Deorabori	R, P, Pw, Wb, D, V, Cd.	665.6	40	40	229	110	119	..	..	9	12	25	21
254	Bhehagurigaon	R, P, S, Wb, D, V, Cd.	486.4	160	160	1,111	585	526	..	..	..	..	80	6
255	Charipunia	R, M, S, Wb, D, Cd.	1,350.4	154	154	1,019	498	521	31	44	459	462	86	23
256	Itakhoti Chabukdhara	R, M, S, Wb, D, V, Cd.	1,120.0	104	104	801	401	400	..	..	382	384	159	70
257	Paraliguri	R, P, S, D, V, Cd.	633.6	53	53	415	215	200	..	..	158	161	30	3
258	Khalapia	R, P, Kw, D, V, Cd.	684.8	15	15	44	35	9	..	..	8	9	6	..
259	Silpukhuri	R, P, S, Wb, D, Cd.	1,059.6	450	450	2,028	1,051	977	..	..	..	..	142	25
260	Kujisatrabil	R, P, S, Wb, Hos, V, Cd.	928.0	373	373	941	484	457	133	120	9	11	205	53
261	Kahuati	R, S, Db, D, V, Cd.	531.2	131	131	863	429	434	40	42	388	390	139	19
262	Barasila	R, M, S, Wb, Hos, V, Cd.	1,075.2	115	115	657	357	300	14	11	217	184	84	12

LAHARIGHAT (1)

Total workers (I—IX)		WORKERS I		II		III		IV		V		VI		VII		VIII		IX		X Non-workers		Sl. No.
M	F	M	F	M	F	M	F	M	F	M	F	M	F	M	F	M	F	M	F	M	F	
16	17	18	19	20	21	22	23	24	25	26	27	28	29	30	31	32	33	34	35	36	37	1
150	..	127	..	23	..	..	..	..	..	..	..	..	..	..	..	..	..	..	..	159	280	216
107	..	97	..	9	..	..	..	..	..	..	..	..	..	..	..	..	..	1	..	102	188	217
505	4	368	3	123	..	..	..	..	..	3	..	..	..	5	..	..	..	6	1	422	897	218
299	1	142	..	..	..	..	..	..	..	26	..	6	..	72	..	4	..	49	1	194	332	219
43	1	43	1	..	..	..	..	..	..	..	..	..	..	..	..	..	..	..	..	35	88	220
133	14	119	12	6	2	..	..	1	..	..	..	..	..	..	..	..	..	7	..	123	222	221
85	2	82	2	3	..	..	..	..	..	..	..	..	..	..	..	..	..	..	..	82	157	222
140	..	139	..	..	..	..	..	..	..	..	..	..	..	1	..	..	..	..	..	135	253	223
160	1	151	1	4	..	..	..	..	..	1	..	..	..	1	..	..	..	3	..	157	271	224
315	3	252	2	61	1	..	..	..	..	..	..	..	..	..	..	..	..	2	..	283	553	225
43	3	40	3	2	..	..	..	..	..	..	..	..	..	..	..	..	..	1	..	48	86	226
508	30	431	22	75	7	..	..	..	..	..	..	..	..	..	..	..	..	2	1	394	765	227
143	2	114	1	28	1	..	..	..	..	..	..	..	..	..	..	..	..	1	..	126	240	228
325	..	278	..	44	..	..	..	..	..	..	..	..	..	1	..	..	..	2	..	810	1,023	229
445	2	378	1	53	1	..	..	..	..	..	..	..	..	7	..	..	..	7	..	392	755	230
253	1	244	..	8	..	..	..	..	..	1	..	..	..	..	..	..	..	..	1	231	445	531
																						232
																						233
131	3	90	3	30	..	..	..	..	..	..	..	..	..	10	..	..	..	1	..	163	227	235
219	..	174	..	32	..	9	..	..	..	..	..	..	..	1	..	..	..	3	..	196	397	235
202	116	189	10	8	..	..	..	..	105	..	..	..	..	..	..	..	..	5	1	196	295	236
405	..	302	..	89	..	..	..	..	..	..	..	..	..	6	..	..	..	8	..	344	747	237
173	91	150	6	14	..	..	..	1	84	..	..	..	..	..	..	1	..	7	1	210	288	238
77	42	65	2	7	..	..	..	..	40	..	..	..	..	4	..	..	..	1	..	99	136	239
289	270	260	..	..	..	..	..	..	270	1	..	..	..	3	..	1	..	24	..	352	327	240
183	17	173	..	5	..	..	..	..	17	..	..	..	..	..	..	..	..	5	..	204	352	241
713	9	629	2	3	..	1	..	..	3	8	..	6	..	24	..	4	..	38	4	780	1,461	242
82	27	76	..	..	..	..	..	..	27	..	..	..	..	..	..	..	..	6	..	107	130	243
142	..	131	..	6	..	..	..	..	..	..	..	..	..	..	..	..	..	5	..	164	262	244
198	116	186	..	..	..	..	..	..	116	1	..	..	..	..	..	2	..	9	..	221	257	245
336	169	255	..	29	..	..	..	1	168	4	1	7	..	4	..	..	..	36	..	382	512	246
285	105	237	2	25	..	..	..	..	102	5	..	..	..	3	..	..	..	15	1	274	389	247
238	..	204	..	34	..	..	..	..	..	..	..	..	..	..	..	..	..	..	..	248	473	273
43	..	43	..	..	..	..	..	..	..	..	..	..	..	..	..	..	..	..	..	31	70	249
128	..	125	..	..	..	..	..	..	..	..	..	..	..	..	..	..	..	3	..	169	252	250
423	1	368	..	9	..	..	..	..	..	7	..	..	..	24	..	2	..	13	1	376	729	251
324	..	324	..	..	..	..	..	..	..	..	..	..	..	..	..	..	..	..	..	318	632	252
58	48	58	40	..	..	..	..	..	8	..	..	..	..	..	..	..	..	..	..	52	71	253
281	..	264	..	11	..	..	..	..	..	..	..	..	..	4	..	..	..	2	..	304	526	254
232	212	223	204	2	..	..	..	..	8	2	..	..	..	..	..	..	..	5	..	266	309	255
184	221	181	212	1	..	..	..	..	9	..	..	2	..	..	..	..	..	..	..	217	179	2 6
97	91	96	5	..	..	..	..	..	86	..	..	..	..	..	..	..	..	1	..	118	109	257
26	1	26	..	..	..	..	..	..	1	..	..	..	..	..	..	..	..	..	..	9	8	258
604	59	499	47	76	..	..	..	..	12	3	..	1	..	22	..	..	..	1	..	447	918	259
229	196	227	196	..	..	..	..	..	..	..	..	..	..	..	..	..	..	2	..	255	261	260
203	221	196	191	..	..	..	..	..	29	5	1	..	..	..	..	..	..	2	..	226	213	261
186	131	179	131	..	..	..	..	..	..	..	..	..	..	4	..	..	..	3	..	171	169	262

Serial No.	Name of Village/Town/ Ward/Enumerator's Block	Amenities	Area in Acres	Occupied Residential Houses		Total Population			Scheduled Castes		Scheduled Tribes		Literate and Educated Persons	
				No. of Houses	No. of Households									
						F	M	F	M	F	M	F	M	F
1	2	3	4	5	6	7	8	9	10	11	12	13	14	15
263	Haldhiati	R, P, S, Wb, D, V, Cd.	544.0	70	70	475	245	230	51	33	194	197	67	10
264	Boalguri	R S, Wb, D, V, Cd.	736.0	68	68	451	234	217	25	21	154	148	81	13
265	Gakhajua	R, P, Pw, Wb, Hos, V, Cd.	262.4	60	60	477	242	235	..	..	201	203	65	3
266	Simaluguri	R, P, Pw, Wb, Hos, V, Cd.	460.8	50	50	375	181	194	48	56	42	37	78	27
267	Tupgaon	R, S, Wb, Hos, V, Nes.	224.0	25	25	144	73	71	..	..	72	71	27	4
	RLY													
	Batadrava Road Rly Colony		..	16	16	87	53	34	2	..	..	..	25	12
	Dhingbazar Rly		..	15	15	102	67	35	1	1	..	..	31	9
	Dhing Rly Colony		..	2	2	10	8	2	5	1	..	..	5	2
	Mairabari Rly		..	62	62	309	162	147	27	26	..	..	79	26

LAHARIGHAT (1)

WORKERS																						
Total workers (I—IX)		I		II		III		IV		V		VI		VII		VIII		IX		X Non-workers		Sl. No.
M	F	M	F	M	F	M	F	M	F	M	F	M	F	M	F	M	F	M	F	M	F	
16	17	18	19	20	21	22	23	24	25	26	27	28	29	30	31	32	33	34	35	36	37	1
120	116	115	112	1	..	..	..	..	4	1	..	..	..	..	..	..	..	3	..	125	114	263
119	95	115	72	..	..	..	..	..	23	..	..	..	..	..	..	1	..	3	..	115	122	264
125	120	124	120	1	..	..	..	..	..	..	..	..	..	..	..	..	..	..	..	117	115	265
89	107	86	95	..	..	..	..	..	12	1	..	..	..	..	..	..	..	2	..	92	87	266
38	30	37	30	..	..	..	..	1	..	..	..	..	..	..	..	..	..	..	..	35	41	267
24	..	..	..	..	..	..	..	..	..	..	..	..	..	8	..	16	..	..	..	29	34	
48	1	..	..	..	..	..	..	..	..	7	..	..	..	7	..	25	..	9	1	19	34	
3	..	..	..	..	..	..	..	..	..	..	..	..	..	..	..	3	..	..	..	5	2	
81	2	..	..	..	..	..	..	..	2	19	..	..	..	23	..	29	..	10	..	81	145	

Number and Name of District—(7) NOWGONG

VILLAGE

Name of Police Station

Serial No.	Name of Village/Town/ Ward/Enumerator's Block	Amenities	Area in Acres	Occupied Residential Houses: No. of Houses	Occupied Residential Houses: No. of Households	Total Population: P	Total Population: M	Total Population: F	Scheduled Castes: M	Scheduled Castes: F	Scheduled Tribes: M	Scheduled Tribes: F	Literate and Educated Persons: M	Literate and Educated Persons: F
1	2	3	4	5	6	7	8	9	10	11	12	13	14	15
	Dhing P.S.	T	78.5 (Sq. miles)	12,626	12,645	75,907	40,157	35,750	988	828	1,043	961	12,056	4,141
		R	77.0 (Sq. miles)	11,397	11,397	69,333	36,377	32,956	738	663	1,043	961	9,633	3,167
		U	1.5 (Sq. miles)	1,229	1,248	6,574	3,780	2,794	250	165	..	..	2,423	974
1	Kachari Bari N. C.	R, S, Db, Hos, V.	444.3	38	38	188	102	86	..	..	..	..	23	3
2	Nepali Basti	R, P, S, Db Hos, V.		42	42	212	114	98	..	..	..	..	48	36
3	Moamari	R, P, S, Db, Hos, V.	565.9	95	95	519	272	247	..	..	..	..	64	24
4	Gatikara	R, S, Db, Hos, V.	293.9	Enumerated with Village No. 5										
5	Barbil N. C.	R, P, S, Hos.	1,761.2	183	183	1,024	542	482	..	..	..	..	51	8
6	Barchapari N. C.		962.5	No Population										
7	Gopeswar N. C.													
8	Kamarkhuti N. C.													
9	Bhakate Panikhowa													
10	Kandhulimari No. 1	R, Edbo, P, S, Db, Hos.	1,008.5	191	191	1,222	651	571	..	..	..	..	163	35
11	Kandhulimari No. 2	R, P, S, Wb, Hos, V.	807.5	205	205	1,259	649	610	..	..	..	..	196	77
12	Sutargaon	R, S, Db, Hos.	394.2	47	47	257	137	120	36	29	..	..	27	9
13	Biringa Bari		439.5	Village 13 and 14 Tagged together and Enumerated with Village No. 16										
14	Kajali Pathar		476.6											
15	Mohkhuti	R, S, Db, Hos.	510.8	10	10	45	26	19	2	..	..	..	1	..
16	Sonseri	R, P, S, Db, Hos.	435.7	190	190	1,125	568	557	..	..	..	..	174	35
17	Magurmari	R, Edbo, S, Db, Hos.	320.2	37	37	202	102	100	..	..	..	..	16	8
18	Khairamari	R, Pw, Hos.	694.7	286	286	1,609	808	801	..	..	..	..	192	142
19	Gayan Gaon	R, P, S, Db, Hos, V.	976.8	233	233	1,584	854	730	..	..	..	..	153	52
20	Lahkarkhat	R, P, S, Db, Hos, V.	603.2	227	227	2,161	1,167	994	158	163	23	25	248	72
21	Athgaon Chapari	R, P, S, Db, Hos, V.	189.4	51	51	315	159	156	..	..	..	..	91	33
22	Bilotia Gaon	R, P, S, Db, Hos, V.	712.5	103	103	599	318	281	..	..	..	..	92	27
23	Auniati Satra	R, Rly, P, Pw, Db, Hos, V.	422.0	57	57	385	215	170	..	..	..	..	157	75
24	Auniati Khiraj	R, Rly, P, Pw, Db, Hos, V.	388.7	60	60	440	232	208	81	69	..	..	163	75
25	Niz Dhing	R, Rly, H, S, Db, D, V, Cd.	661.2	275	275	1,565	830	735	79	65	..	..	366	134
26	Athgaon		788.6	2	2	18	11	7	..	..	..	..	6	3
27	Nam Doom Doomia	R, P, S, Db, Hos, V.	849.5	302	302	1,734	943	791	..	..	..	..	308	93
28	Salkati Pathar	R, P, S, Db, D, V.	706.1	207	207	1,196	646	550	..	..	..	..	137	15
29	Panbari Satra	R, Rly, P, S, Db, D.	894.7	496	496	1,817	946	871	..	..	..	..	263	54
30	Barbhati	R, P, Pw, Db, D.	556.9	233	233	862	441	421	..	..	..	..	117	54
31	Sonari Gaon	R, H, S, Db, D, V.	909.8	145	145	450	234	216	..	..	..	..	61	16

DHING (2)

Total workers (I—IX)		WORKERS I		II		III		IV		V		VI		VII		VIII		IX		X Non-workers		Sl. No.
M	F	M	F	M	F	M	F	M	F	M	F	M	F	M	F	M	F	M	F	M	F	
16	17	18	19	20	21	22	23	24	25	26	27	28	29	30	31	32	33	34	35	36	37	1
20,170	1,374	16,049	477	1,948	37	12	..	7	802	323	14	6	..	835	5	80	..	910	39	19,987	34,376	
18,281	1,306	15,441	447	1,940	37	2	..	7	802	125	..	3	..	233	1	28	..	502	19	18,096	31,650	
1,889	68	608	30	8	..	10	..	..	..	198	14	3	..	602	4	52	..	408	20	1,891	2,726	
58	..	52	..	6	..	..	..	..	..	..	..	..	..	..	..	..	..	..	..	44	86	1
55	..	46	..	8	..	..	..	..	..	..	..	1	..	..	..	..	..	..	..	59	98	2
153	..	121	..	30	..	..	..	..	..	..	..	..	..	2	..	..	..	..	..	119	247	3
																						4
293	26	234	7	59	19	..	..	..	..	..	..	..	..	..	..	..	..	..	..	249	456	5
																						6
																						7
																						8
																						9
346	6	280	4	..	..	..	..	..	..	1	..	..	..	5	..	1	..	59	2	305	565	10
336	1	275	..	56	..	..	..	..	..	1	..	..	..	2	1	..	..	2	..	313	609	11
80	11	55	11	25	..	..	..	..	..	..	..	..	..	..	..	..	..	..	..	57	109	12
																						13
																						14
17	..	15	..	2	..	..	..	..	..	..	..	..	.	..	..	..	..	..	..	9	19	15
272	1	253	1	16	..	..	..	..	..	..	..	..	..	1	..	..	..	2	..	296	556	16
55	..	49	..	6	..	..	..	..	..	..	..	..	..	..	..	..	..	..	..	47	100	17
437	10	421	10	15	..	..	..	..	..	..	..	..	..	..	..	..	..	1	..	371	191	18
394	3	353	3	40	..	..	..	..	..	..	..	..	..	1	..	..	..	..	..	460	727	19
585	2	511	1	61	..	..	..	..	..	1	..	..	..	..	..	..	..	12	1	582	992	20
81	1	77	1	1	..	..	..	..	..	..	..	..	..	..	..	..	..	3	..	78	155	21
169	2	152	2	1	..	..	..	..	..	6	..	..	..	3	..	..	..	7	..	149	279	22
105	1	98	1	..	..	..	..	..	..	..	..	..	..	..	..	..	..	7	..	110	169	23
113	..	94	..	..	..	..	..	..	..	..	..	..	..	16	..	..	..	3	..	119	208	24
419	4	387	4	13	..	..	..	..	..	7	..	..	..	5	..	..	..	7	..	411	731	25
3	1	3	..	..	..	..	..	..	..	..	..	..	..	..	..	..	..	..	1	8	6	26
464	35	450	34	3	..	..	..	..	..	..	..	..	..	1	..	..	..	10	1	479	756	27
230	9	183	9	44	..	..	..	..	..	2	.	..	..	1	..	..	..	..	..	416	541	28
440	5	408	5	27	..	..	..	..	..	..	..	..	..	..	..	..	..	5	..	506	866	29
207	1	143	1	53	..	..	..	..	..	..	..	..	..	1	..	..	..	10	..	234	420	30
108	..	104	..	2	..	..	..	..	..	..	..	..	..	..	..	..	..	2	..	126	216	31

Serial No.	Name of Village/Town/ Ward/Enumerator's Block	Amenities	Area in Acres	Occupied Residential Houses: No. of Houses	Occupied Residential Houses: No. of Households	Total Population: P	Total Population: M	Total Population: F	Scheduled Castes: M	Scheduled Castes: F	Scheduled Tribes: M	Scheduled Tribes: F	Literate and Educated Persons: M	Literate and Educated Persons: F
1	2	3	4	5	6	7	8	9	10	11	12	13	14	15
32	Lali Pathar	R, H, S, Db, Hos.	826.4	299	299	1,770	922	848	..	..	..	..	106	21
33	Gare Kani Beel	R, H, S, Wb, Hos, V.	..	201	201	1,127	583	544	..	..	..	..	136	29
34	Salmarabari	R, P, S, Wb, Hos, V.	725.3	203	203	1,331	690	641	..	..	..	..	69	8
35	Bechamari	R, Edbo, H, S, Wb, Hos, V.	821.4	338	338	905	468	437	..	..	..	..	71	24
36	Akara Bari	R, P, S, Hos.	688.4	93	93	582	285	297	..	..	28	34	96	27
37	Maira Dhaj	R, H, S, Hos.	587.2	285	285	1,703	873	830	..	..	..	..	44	2
38	Chamua Gaon	R, S, Db, D, V.	473.6	195	195	1,279	682	597	..	..	..	..	377	120
39	Saharia Gaon	R, P, S, Hos, V.	961.5	85	85	711	356	355	..	..	307	304	48	22
40	Dhupaguri Kachari Gaon	R, P, S, Hos, V.	319.4	85	85	672	347	325	..	..	132	121	45	2
41	Dhupaguri Gaon	R, P, S, Hos.	444.1	225	225	1,290	661	629	..	..	..	..	151	41
42	Dhakaya Basti	R, P, S, Wb, Hos.	421.7	160	160	1,133	629	504	..	..	..	..	226	41
43	Saloguri	R, P, S, Db, Hos, V.	935.1	206	206	1,460	778	682	118	121	..	..	207	63
44	Dhupaguri Pathar	R, S.	667.5	168	168	1,023	554	469	..	..	..	..	83	20
45	Rajabari Grant	R, P, S, Wb, D, V.	433.9	133	133	887	439	448	..	..	..	..	132	44
46	Uppar Doom Doomia	R, Rly, S, Wb, D, V.	378.8	198	198	1,167	657	510	85	70	..	..	340	103
47	Uphala Pathar	R, H, S, V.	222.7	98	98	696	402	294	..	..	1	..	252	128
48	Bali Satra	R, H, S, V.	415.3	21	21	104	50	54	..	..	..	..	36	25
49	Chala Pathar	R, P, S, D.	868.0	221	221	1,256	658	598	.	..	..	..	152	30
50	Rampur Pam	R, P, S, Wb, D, V.	579.9	143	143	934	483	451	..	..	..	..	83	16
51	Rampur Satra	R, P, S, D.	449.2	194	194	1,141	632	509	..	..	..	..	185	37
52	Kadamani Gaon	R, P, S, Wb, V.	546.2	241	241	1,414	718	696	..	..	..	..	198	64
53	Haidubi Pathar	R, P, S, Wb, D, V.	690.1	210	210	1,271	676	595	..	..	..	..	201	28
54	Batadrava Satra Barsishya	R, S, Wb, D, V.	622.2	123	123	746	405	341	36	30	..	..	232	71
55	Kadamani Pathar	R, P, S, Wb, D, V.	584 0	183	183	1,134	583	551	..	..	..	..	177	87
56	Botomari Gaon	R, P, S, Wb, Hos, V.	479.4	178	178	992	503	489	..	..	..	..	124	54
57	Batadrava Satra Barusishya	R H, S, Wb, D, V.	432.7	168	168	898	491	407	28	16	9	..	321	182
58	Bhomora Guri	R, P, S, Wb, Hos, V.	1,193.1	263	263	1,953	1,014	939	29	18	90	70	247	101
59	Laloong Gaon	R, P, S, Wb, Hos, V.	777.8	189	189	1,113	571	542	2	1	123	118	155	24
60	Bherbhri Beel	R, P, S, Wb, Hos, V.	990.6	243	243	1,941	1,005	936	..	..	..	..	254	44
61	Botabari	R, M, S, Wb, Hos, V.	922.6	142	142	1,162	629	533	14	11	224	194	127	54
62	Ahom Gaon	R, H, S, Wb, Hos, V.	781.9	101	101	669	350	319	..	..	106	95	38	13
63	Rowmari	R, Edbo, S, Wb, Hos.	892.8	196	196	1,378	702	676	..	..	..	..	184	71
64	Katahguri Pam	R, M, S, Wb, Hos.	805.6	245	245	1,588	822	766	..	..	..	..	180	87
65	Tuktuki	R, P, S, Wb, Hos.	652 4	244	244	1,525	828	697	..	..	..	..	141	23
66	Salona Bari	R, P, S, Wb, Hos.	766.4	207	207	1,342	693	649	..	..	..	..	111	42
67	Amlakhi	R, P, S, Wb. Hos, V.	863.2	247	247	2,110	1,078	1,032	..	..	..	..	255	55
68	Batadrava Barbheti	R, P, S, Wb, Hos, V.	714.1	155	155	1,103	551	552	..	..	..	..	201	98
69	Chamaka	R, P, S, Wb, D, V.	453.0	103	103	731	377	354	..	..	..	..	70	20
70	Kobaikata	R, P, S, Wb, D, V.	436.6	101	101	720	364	356	70	70	..	..	127	52
71	Dhania Bheti	R, M, S, Wb, D, V.	859.3	410	410	2,562	1,382	1,180	..	..	..	..	256	108
72	Dhania Bheti Pathar	R, P, S, Wb, D, V.	686.5	182	182	1,022	519	503	..	..	..	..	78	6
	DHING TOWN		1.5 (Sq. miles)	1,229	1,248	6,574	3,780	2,794	250	165	..	..	2,423	974
	Block No. 1			115	115	559	347	212	191	138	..	..	249	65
	Block No. 2			136	149	984	558	426	..	..	..	..	404	192
	Block No. 3			131	131	873	470	403	..	..	..	..	285	132
	Block No. 4			129	129	794	424	370	..	..	..	..	307	200
	Block No. 5			120	120	644	388	256	18	18	..	..	249	86
	Block No. 6			103	103	503	303	200	10	..	..	..	174	52
	Block No. 7			190	190	491	309	182	6	3	..	..	213	73
	Block No. 8			71	77	371	208	163	..	..	..	..	118	51
	Block No. 9			80	80	482	265	217	..	..	..	..	134	44
	Block No. 10			66	66	413	224	189	25	6	..	..	133	35
	Block No. 11			88	88	460	284	176	..	..	..	..	157	44

DHING (2)

Total workers (I—IX)		WORKERS I		II		III		IV		V		VI		VII		VIII		IX		X Non-workers		Sl. No.
M	F	M	F	M	F	M	F	M	F	M	F	M	F	M	F	M	F	M	F	M	F	
16	17	18	19	20	21	22	23	24	25	26	27	28	29	30	31	32	33	34	35	36	37	1
367	1	293	1	65	..	..	..	..	..	1	..	..	..	3	..	..	..	5	..	555	847	32
309	..	309	..	..	..	..	..	..	..	..	..	..	..	..	..	..	..	..	..	274	544	33
340	2	308	1	..	..	..	..	..	..	..	..	..	..	1	..	..	..	31	1	350	639	34
246	1	235	1	..	..	..	..	..	..	..	..	..	..	..	..	..	..	11	..	222	436	35
125	1	124	1	..	..	..	..	..	..	..	..	..	..	..	..	..	..	1	..	160	296	36
499	5	413	2	82	3	..	..	..	..	3	..	..	..	..	..	..	..	1	..	374	825	37
324	2	228	..	..	..	..	..	2	2	14	..	..	..	41	..	2	..	37	..	358	595	38
173	..	170	..	1	..	..	..	..	..	..	..	..	..	..	..	..	..	2	..	183	355	39
178	3	102	..	75	3	..	..	..	..	..	..	..	..	..	..	..	..	1	..	169	322	40
356	11	257	8	88	3	..	..	..	..	..	..	..	..	7	..	..	..	4	..	305	618	41
316	1	261	..	5	..	..	..	..	..	..	..	..	..	9	..	..	..	41	1	313	503	42
397	..	351	..	23	..	..	..	..	..	4	..	..	..	7	..	2	..	10	..	381	682	43
280	2	265	2	11	..	..	..	..	..	..	..	..	..	1	..	1	..	2	..	274	467	44
235	..	215	..	10	..	..	..	..	..	2	..	..	..	5	..	..	..	3	..	204	448	45
330	145	200	..	9	..	1	..	2	142	21	..	..	..	43	..	17	..	37	3	327	365	46
166	111	133	1	1	..	..	..	..	109	1	..	..	..	5	..	1	..	25	1	236	183	47
21	18	14	..	..	..	1	..	..	18	..	..	..	..	..	..	..	..	6	..	29	36	48
337	..	230	..	83	..	..	..	..	..	4	..	..	..	17	..	..	..	3	..	321	598	49
252	3	207	2	43	..	..	..	..	1	1	..	..	..	1	..	..	..	..	..	231	448	50
323	..	287	..	29	..	..	..	..	..	2	..	..	..	3	..	..	..	2	..	309	509	51
406	..	297	..	102	..	..	..	..	..	1	..	..	..	3	..	..	..	2	..	312	696	52
362	3	293	3	55	..	..	..	..	..	3	..	1	..	2	..	..	..	8	..	314	592	53
131	98	91	..	8	..	..	..	1	96	5	..	..	..	3	..	..	..	23	2	274	243	54
305	..	283	..	20	..	..	..	..	..	..	..	..	..	..	..	..	..	2	..	278	551	55
237	..	160	..	59	..	..	..	..	..	2	..	..	..	9	..	..	..	7	..	266	489	56
241	189	189	127	8	1	..	..	..	59	16	..	1	..	5	..	2	..	20	2	250	218	57
527	168	404	3	82	..	..	..	..	163	2	..	..	..	5	..	..	..	34	2	417	771	58
300	155	249	3	47	..	..	..	1	152	..	..	..	..	..	..	1	..	2	..	271	387	59
508	1	399	..	101	1	..	..	1	..	1	..	..	..	3	..	..	..	3	..	497	935	60
303	6	296	5	3	..	..	..	..	1	..	..	..	..	1	..	..	..	3	..	326	527	61
166	136	160	136	..	..	..	..	..	..	..	..	..	..	..	..	..	..	6	..	164	183	62
380	..	325	..	51	..	..	..	..	..	1	..	..	..	1	..	..	..	2	..	322	676	63
441	4	337	3	85	..	..	..	..	..	6	..	..	..	3	..	..	..	10	1	381	762	64
470	..	376	..	67	..	..	..	..	..	9	..	..	..	13	..	..	..	5	..	358	697	65
357	4	294	3	57	1	..	..	..	..	1	..	..	..	1	..	..	..	4	..	336	645	66
584	11	530	5	52	6	..	..	..	..	2	..	..	..	..	..	..	..	..	..	494	1,021	67
266	72	249	32	15	..	..	..	..	40	..	..	..	..	..	..	..	..	2	..	285	480	68
204	8	193	8	11	..	..	..	..	..	..	..	..	..	..	..	..	..	..	..	173	346	69
158	19	138	..	17	..	..	..	..	19	..	..	..	..	1	..	..	..	2	..	206	337	70
655	7	581	6	57	..	..	..	..	..	1	..	..	..	2	..	..	..	14	1	727	1,173	71
286	..	231	..	50	..	..	..	..	..	4	..	..	..	..	..	..	..	1	..	233	503	72
1,889	68	608	30	8	..	10	..	..	..	198	14	3	..	602	4	52	..	408	20	1,891	2,726	
154	5	75	3	..	..	7	..	..	..	3	..	..	..	4	..	3	..	62	2	193	207	
274	8	105	3	..	..	..	..	..	..	18	..	..	..	67	..	7	..	77	5	284	418	
202	5	146	3	8	..	..	..	..	..	2	..	3	..	6	..	3	..	34	2	268	398	
189	5	140	..	..	..	..	..	..	..	1	..	..	..	5	..	3	..	40	5	235	365	
221	2	24	..	..	..	..	..	..	..	21	..	..	..	115	..	9	..	52	2	167	254	
202	26	31	20	..	..	..	..	..	..	42	6	..	..	71	..	11	..	47	..	101	174	
215	3	25	..	..	..	3	..	..	..	19	2	..	..	119	..	9	..	40	1	94	179	
74	1	33	1	..	..	..	..	..	..	14	..	..	..	16	..	6	..	5	..	134	162	
148	8	15	..	..	..	..	..	..	..	41	6	..	..	80	..	1	..	11	2	117	209	
102	..	1	..	..	..	..	..	..	..	11	..	..	..	69	..	..	..	21	..	122	189	
108	5	13	..	..	..	..	..	..	..	26	..	..	..	50	4	..	..	19	1	176	171	

Serial No.	Name of Village/Town/ Ward/Enumerator's Block	Amenities	Area in Acres	Occupied Residential Houses		Total Population			Scheduled Castes		Scheduled Tribes		Literate and Educated Persons	
				No. of Houses	No. of Households	P	M	F	M	F	M	F	M	F
1	2	3	4	5	6	7	8	9	10	11	12	13	14	15
	Rupahihat P.S.													
	Total		169.2 (Sq. miles)	27,799	27,799	157,375	82,614	74,761	6,667	5,826	1,873	1,685	20,182	7,950
1	Barradha Ati	R, P, S, Wb, D, V.	342.2	41	41	201	101	100	..	..	..	..	4	1
2	Saruradha Ati	R, P, S, Wb, D, V.	502.3	154	154	828	437	391	..	..	..	..	39	6
3	Rawmari Pam	R, S, Wb, D, V.	340.4	178	178	579	271	308	..	..	..	..	36	4
4	Rowmari Gaon	R, S, Wb, D, V.	318.6	116	116	574	300	274	..	..	..	..	41	9
5	Udhantola	R, S, Wb, D, V.	636.9	199	199	1,156	600	556	..	..	..	..	93	54
6	Patia Pathar	R, P, S, Wb, D, V.	486.0	149	149	1,171	620	551	..	..	..	..	128	36
7	Patia Chapari	R, P, S, Wb, D, V.	509.9	195	195	1,003	528	475	..	..	..	..	77	20
8	Joramari	R, S, Wb, D, V.	881.2	243	243	1,467	788	679	..	..	..	..	190	73
9	Jengani	R, Edbo, P, S, Wb, D.	432.6	145	145	998	523	475	..	..	..	..	124	19
10	Langia	R, P, S, Wb.	1,154.2	198	198	1,399	705	694	..	..	..	..	87	34
11	Uttar Kaladoba	R, P, S, Wb.	568.4	123	123	612	320	292	..	..	..	..	23	7
12	Pub Kaladoba	R, H, S, Wb.	606.1	206	206	1,020	522	498	..	..	..	..	27	3
13	Dakhin Kaladoba	R, S, Wb.	672.0	280	280	1,384	718	666	..	..	..	..	77	6
14	Barlaimari No. 1	R, P, S, D.	360.6	137	137	863	420	443	..	..	..	..	64	32
15	Baralimari No. 2	R, Edbo, P, S.	632.4	259	259	1,610	838	772	..	..	..	..	94	12
16	Puthimari	R, P, S.	379.5	76	76	442	214	228	..	..	..	..	43	3
17	Balikatia	R, Rly, Edbo, P, S.	552.6	288	288	1,743	927	816	..	..	..	..	68	6
18	Garia Kawaimari	R, Rly, P, S.	517.3	169	169	1,147	615	532	..	..	..	..	158	60
19	Melekadhing	R, Rly, P, S, Wb, V.	528.1	241	241	1,459	760	699	..	..	..	..	143	29
20	Pachim Mukunda Ati		386.4	Merged with Village No. 25										
21	Phuruhani Ati	R, P, S, Wb, Hos.	515.9	146	146	1,108	520	588	..	..	..	..	84	26
22	Pub Mukunda Ati	R, P, S, Wb, Hos, V.	464.4	163	163	1,014	524	490	..	..	..	..	171	67
23	Kandhulimari Pam	R, Rly, S, Wb, Hos, V.	775.4	195	195	1,453	767	686	..	..	..	..	253	161
24	Garaimari Pam	R, P, S, Wb, D.	488.0	105	105	575	300	275	..	..	..	..	54	20
25	Sonaibera Pam	R, S, Wb, D.	222.1	235	235	1,205	682	523	..	..	..	..	312	116
26	Batamari	R, P, S, Wb, D, V.	561.1	183	183	1,005	485	520	..	..	..	..	183	106
27	Sonaibera Gaon	R, P, S, Wb, D, V.	712.6	235	235	1,168	609	559	..	..	..	..	156	34
28	Kerimeri	R, P, S, Wb, D.	198.6	63	63	311	165	146	..	..	..	..	38	7
29	Jamuguri	R, P, S, Wb, D.	838.9	365	365	1,843	950	893	..	..	..	..	185	71
30	Simalu Ati	R, P, S, Wb, D.	951.5	211	211	1,055	556	499	..	..	..	..	167	119
31	Dhing Gaon	R, Rly, P, S, Wb, Hos, V.	586.2	326	326	1,629	809	820	..	..	..	..	155	52
32	Paramai Bheti	R, P, S, Wb, Hos, V.	384.5	189	189	944	522	422	..	..	..	..	83	50
33	Salpara	R, Rly, P, S, Wb, D, V.	247.9	145	145	769	420	349	..	..	..	..	109	57
34	Daw Gaon	R, Rly, M, S, Wb, Hos, V.	733.5	135	135	1,160	633	527	..	..	..	..	250	141
35	Alitangani	R, Edbo, H, S, Wb, Hos.	607.0	209	209	1,235	666	569	..	..	..	..	245	111
36	Jahajan	R, S, Wb, Hos.	470.9	53	53	348	174	174	..	..	..	..	20	5
37	Chenimari Bil	R, S, Wb, V.	523.2	85	85	458	271	187	..	..	5	3	29	5
38	Chitalmari Bil	R, P, S, Wb, V.	598.8	108	108	689	367	322	245	221	6	2	99	18
39	Chitalmari Pathar	R, S, Wb, V.	469.4	98	98	528	287	241	157	136	5	..	53	11
40	Sutirpar	R, P, S, Wb.	521.4	149	149	891	468	423	127	117	9	11	190	34
41	Dhingbori Chapari	R, P, S, Wb, Hos, V.	690.3	265	265	1,587	803	784	..	..	..	..	142	59
42	Dhingbori Pathar	R, P, S, Wb, Hos, V.	404.8	130	130	541	286	255	..	..	..	..	50	10
43	Kathalguri	R, P, S, Wb, Hos, V.	181.1	45	45	191	96	95	..	..	..	..	12	5
44	Koliadonga Gaon	R, Edbo, M, S, Wb, Hos, V, Cd.	514.1	258	258	1,291	673	618	..	..	..	..	231	166
45	Koliadonga Pam	R, P, S, Wb, Hos.	416.1	181	181	896	465	431	..	..	..	..	82	73

RUPAHIHAT (3)

Total workers (I—IX)		WORKERS I		II		III		IV		V		VI		VII		VIII		IX		X Non-workers		Serial No.
M	F	M	F	M	F	M	F	M	F	M	F	M	F	M	F	M	F	M	F	M	F	
16	17	18	19	20	21	22	23	24	25	26	27	28	29	30	31	32	33	34	35	36	37	1
43,494	1,943	34,149	1,475	6,391	41	93	1	83	347	484	11	51	..	894	9	166	..	1,183	59	39,120	72,818	
42	..	40	..	2	..	..	..	..	..	..	..	..	..	..	..	..	..	..	..	59	100	1
201	..	179	..	20	..	..	..	..	..	..	..	..	..	..	..	..	..	2	..	236	391	2
143	..	108	..	35	..	..	..	..	..	..	..	..	..	..	..	..	..	..	..	128	308	3
140	..	129	..	11	..	..	..	..	..	..	..	..	..	..	..	..	..	..	..	160	274	4
320	..	256	..	64	..	..	..	..	..	..	..	..	..	..	..	..	..	..	..	280	556	5
329	..	280	..	48	..	..	..	..	..	..	..	..	..	..	..	..	..	1	..	291	551	9
275	92	262	..	6	..	..	..	..	92	1	..	..	..	2	..	2	..	2	..	253	383	7
411	..	366	..	40	..	..	..	..	..	..	..	..	..	..	..	..	..	5	..	377	679	8
257	8	194	..	53	..	..	..	..	..	6	8	..	..	..	..	1	..	3	..	266	467	9
361	7	245	5	113	..	..	..	..	..	..	..	..	..	..	..	1	..	2	2	344	687	10
219	3	188	2	31	1	..	..	..	..	..	..	..	..	..	..	..	..	..	..	101	289	11
266	6	237	5	28	1	..	..	..	..	..	..	..	..	..	..	..	..	1	..	256	492	12
356	1	352	1	..	..	..	..	..	..	4	..	..	..	..	..	..	..	..	..	362	665	13
229	..	188	..	41	..	..	..	..	..	..	..	..	..	..	..	..	..	..	..	191	443	14
401	1	362	1	39	..	..	..	..	..	..	..	..	..	..	..	..	..	..	..	437	771	15
110	5	64	5	46	..	..	..	..	..	..	..	..	..	..	..	..	..	..	..	104	223	16
437	50	382	48	42	..	..	..	..	..	12	2	..	..	..	..	..	..	1	..	490	766	17
328	8	229	3	89	3	..	..	..	..	1	..	..	..	2	..	1	..	6	2	287	524	18
398	4	273	3	118	1	..	..	..	..	2	..	..	..	4	..	..	..	1	..	362	695	19
																						20
283	..	187	..	90	..	..	..	..	..	..	..	..	..	3	..	..	..	3	..	237	588	21
273	2	195	..	75	..	..	..	..	..	..	..	..	..	..	..	..	..	3	2	251	488	22
387	3	283	3	83	..	1	..	..	..	3	..	1	..	..	..	7	..	9	..	380	683	23
87	..	84	..	..	..	..	..	..	..	..	..	..	..	1	..	..	..	2	..	213	275	24
361	2	77	1	..	..	..	..	..	..	70	..	..	..	126	..	18	..	70	1	321	521	25
267	..	229	..	35	..	..	..	..	..	..	..	..	..	1	..	..	..	2	..	218	520	26
291	..	252	..	34	..	..	..	1	..	1	..	..	..	..	..	..	..	3	..	318	559	27
88	..	75	..	1	..	..	..	..	..	..	..	..	..	..	..	..	..	12	..	77	146	28
509	7	419	5	82	1	..	..	..	..	..	..	..	..	..	..	..	..	8	1	441	886	29
278	1	274	..	..	..	..	..	..	..	..	..	..	..	..	..	..	..	4	1	278	498	30
375	3	297	3	69	..	..	..	2	..	3	..	..	..	1	..	..	..	3	..	434	817	31
261	2	167	..	64	..	..	..	2	1	2	..	1	..	..	..	4	..	21	1	261	420	32
222	..	220	..	2	..	..	..	..	..	..	..	..	..	..	..	..	..	..	..	198	349	33
289	2	204	..	76	..	..	..	..	1	1	..	..	..	3	..	..	..	5	1	344	525	34
281	1	205	..	49	..	..	..	..	..	1	..	..	..	1	..	..	..	25	1	385	568	35
108	..	36	..	72	..	..	..	..	..	..	..	..	..	..	..	..	..	..	..	66	174	36
165	..	12	..	152	..	..	..	..	..	1	..	..	..	..	..	..	..	..	..	106	187	37
197	..	147	..	44	..	..	..	..	..	4	..	..	..	2	..	..	..	..	..	170	322	38
177	..	155	..	22	..	..	..	..	..	..	..	..	..	..	..	..	..	..	..	110	241	39
254	80	197	79	46	1	..	..	..	..	..	..	2	..	4	..	..	..	5	..	214	343	40
430	..	317	..	110	..	..	..	..	..	1	..	..	..	..	..	1	..	1	..	373	784	41
136	3	132	3	1	..	..	..	..	..	..	..	..	..	..	..	..	..	3	..	150	252	42
51	..	28	..	23	..	..	..	..	..	..	..	..	..	..	..	..	..	..	..	45	95	43
366	..	244	..	64	..	..	..	..	..	..	..	..	..	15	..	..	..	43	..	307	618	44
258	229	255	229	..	..	..	..	..	..	..	..	..	..	..	..	..	..	3	..	207	202	45

21962

Serial No.	Name of Village/Town/Ward/Enumerator's Block	Amenities	Area in Acres	Occupied Residential Houses: No. of Houses	Occupied Residential Houses: No. of Households	Total Population: P	Total Population: M	Total Population: F	Scheduled Castes: M	Scheduled Castes: F	Scheduled Tribes: M	Scheduled Tribes: F	Literate and Educated Persons: M	Literate and Educated Persons: F
1	2	3	4	5	6	7	8	9	10	11	12	13	14	15
46	Kachari Gaon	R, P, S, Hos, V.	782.5	549	549	1,909	996	913	..	..	..	..	174	102
47	Laloong Gaon	R, P, S, Wb, Hos.	708.4	215	215	1,425	763	662	..	..	111	94	122	40
48	Kahari Gaon	R, P, S, D.	411.3	124	124	846	443	403	..	..	..	..	110	47
49	Godaimari	R, P, S, D, V.	774.2	198	198	1,127	584	543	..	..	..	..	118	71
50	Singia Pathar	R, P, S, Wb, D, V.	460.2	99	99	559	302	257	..	..	..	..	110	43
51	Barun Guri	R, P. S, Wb, D, V.	480.1	133	133	771	408	363	..	..	..	..	145	81
52	Colony Jalah	R, P, S, Wb, D, V.	524.5	177	177	1,067	572	495	..	..	..	..	169	80
53	Adhakhunda	R, P, S, Wb, Hos, V.	291.1	112	112	784	421	363	5	2	..	..	135	70
54	Maheripar	R, S, Wb, D, V.	618.9	392	392	2,176	1,177	999	..	..	..	..	229	201
55	Bagari Guri	R, Rly, Edbo, M, S, Wb, Hos, V.	760.7	299	299	1,771	927	844	..	..	..	..	176	78
56	Kadamani Town	R, P, S, Db, Hos, V.	82.9	Enumerated with Village No. 55										
57	Kadamani Pathar	R, Rly, P, S, Hos, V.	340.6	100	100	711	373	338	..	..	..	..	81	32
58	Thiatan Gani	R, Rly, S, Wb.	325.6	218	218	1,223	674	549	..	..	..	..	312	143
59	Chamdhara	R, Rly, H, Riv, Db, D, V, Cd.	536.7	205	205	1,360	706	654	..	..	..	..	422	267
60	Teliabebejia Pathar	R, Rly, H, S, Wb, Hos, V, Cd.	562.4	101	101	382	310	172	..	..	..	..	86	28
61	Teliabebejia	R, Rly, H, S, Db, Hos, V, Cd.	722.3	252	252	1,732	920	812	29	26	..	..	489	251
62	Niz Juria	R, Edbo, H, S, Wb, Hos, V.	417.2	92	92	526	273	253	..	..	..	..	64	40
63	Kawaimari	R, H, S, Wb, Hos, V.	554.7	143	143	825	434	391	..	..	..	..	104	57
64	Fakali Pathar	R, P, S, Wb, D, V.	708.1	250	250	1,676	896	780	..	..	..	..	239	93
65	Dighali Ati	R, S, Wb, D, V.	440.1	182	182	1,102	567	535	..	..	430	437	105	43
66	Mahguri	R, P, S, Wb, D, V.	712.5	302	302	1,923	1,008	915	..	..	98	104	126	21
67	Singia Gaon	R, Edbo, P, S, D.	595.3	205	205	1,458	754	704	..	..	..	..	139	39
68	Udmari	R, S, Hos.	672.5	152	152	1,119	562	557	..	..	..	..	75	15
69	Nagabandha	R, H, S, Wb, Hos.	517.8	125	125	646	339	307	12	11	19	9	71	8
70	Dolani Juria	R, P, S, Db, D, V.	706.4	278	278	1,388	730	658	..	..	..	..	157	70
71	Tinsukia	R, P, S, Wb, D, V.	559.5	322	322	1,610	837	773	..	..	..	..	211	73
72	Satian	R, P, S, D.	542.5	235	235	1,175	604	571	..	..	..	..	59	16
73	Kendu Guri	R, Riv, D.	250.2	81	81	371	193	178	..	..	..	..	32	13
74	Pub Satian	R, P, S, Db, Hos, V.	486.3	166	166	833	429	404	..	..	..	..	102	45
75	Pachim Fotaljar	R, P, S, Wb, Hos, V, Cd.	449.8	165	165	928	467	461	..	..	..	..	105	51
76	Garajan	R, Edbo, H, S, Wb, D, V, Cd.	844.0	223	223	1,566	831	735	79	62	..	..	322	82
77	Pachim Amrakanda	R, M, S, Wb, D, Cd.	661.7	255	255	1,398	725	673	569	490	..	..	220	73
78	Pub Fotaljar	R, P, S, Wb, Hos, Cd.	628.3	274	274	1,334	709	625	..	..	..	..	140	88
79	Pub Amrakanda	R, M, S, Wb, Hos, V, Cd.	652.5	201	201	1,199	640	559	358	309	..	..	143	67
80	Uttar Khatowal	R, S, Wb, D, V, Cd.	..	408	408	2,347	1,231	1,116	..	..	..	..	225	56
81	Hati Pukhuri	R, M, S, Wb, D, V, Cd.	852.1	365	365	1,825	931	894	364	315	..	..	291	104
82	Kanchanpur	R, P, S, Wb, D, Cd.	949.9	359	359	1,801	945	856	403	414	..	..	308	79
83	Nangal Dhowa	R, P, S, Wb, Hos, V, Cd.	859.3	201	201	1,398	744	654	73	71	..	..	154	47
84	Dakhin Khatowal	R, Rly, P, S, Wb, D, V, Cd.	748.4	288	288	1,905	977	928	5	..	..	..	277	148
85	Ghehua Chalchali	R, P, S, Wb, Hos, V.	1,299.6	235	235	1,871	959	912	..	..	..	..	203	73
86	Koch Gaon	R, P, S, Wb, Hos, V, Cd.	370.7	88	88	617	292	325	37	40	..	..	77	24
87	Saidoria	R, M, S, Wb, Hos, V, Cd.	754,2	222	222	1,260	662	598	258	210	..	..	202	62
88	Telia Chapari Tup	R, P, S, Wb, Hos, V.	418.3	129	129	695	350	345	..	..	..	..	71	17
89	Kandhulimari	R, Rly, P, S, Wb, Hos, V, Cd.	373.4	67	67	439	218	221	..	..	..	..	52	25

RUPAHIHAT (3)

Total workers (I—IX)		WORKERS I		II		III		IV		V		VI		VII		VIII		IX		X Non-workers		Sl. No.
M	F	M	F	M	F	M	F	M	F	M	F	M	F	M	F	M	F	M	F	M	F	
16	17	18	19	20	21	22	23	24	25	26	27	28	29	30	31	32	33	34	35	36	37	1
510	9	359	9	141	..	..	..	..	..	..	..	..	..	..	..	..	..	10	..	486	904	46
399	61	300	59	93	..	..	..	3	1	1	..	..	..	1	..	..	..	1	1	364	601	47
240	2	184	2	53	..	..	..	..	..	1	..	..	..	1	..	..	..	1	..	203	401	48
302	..	202	..	94	..	..	..	..	..	1	..	..	..	1	..	..	..	4	..	282	543	49
149	1	116	1	27	..	..	..	..	..	1	..	..	..	1	..	..	..	4	..	153	256	50
214	1	182	1	31	..	..	..	..	..	..	..	..	..	..	..	..	..	1	..	194	362	51
314	89	222	89	77	..	..	..	..	..	6	..	..	..	5	..	..	..	4	..	258	406	52
234	44	183	42	41	..	..	..	..	1	6	..	..	..	1	..	..	..	3	1	187	319	53
643	74	576	74	64	..	..	..	..	..	..	..	..	..	1	..	..	..	2	..	534	925	54
470	..	371	..	91	..	..	..	..	..	..	..	..	..	3	..	..	..	5	..	457	844	55
																						56
205	1	192	..	2	..	..	..	..	..	..	..	..	..	10	..	..	..	1	1	168	337	57
331	82	202	82	28	..	3	..	..	..	10	..	16	..	44	..	6	..	22	..	343	467	58
309	92	239	89	33	..	..	..	..	..	3	..	1	..	7	..	1	..	25	3	397	562	59
108	..	88	..	17	..	..	..	..	..	..	..	..	..	2	..	..	..	1	..	102	172	60
458	38	369	34	13	..	1	..	..	..	..	..	3	..	5	..	3	..	64	4	462	774	61
148	1	125	1	21	..	..	..	..	..	1	..	..	..	..	..	..	..	1	..	125	252	62
242	..	224	..	18	..	..	..	..	..	..	..	..	..	..	..	..	..	..	..	192	391	63
437	167	422	167	8	..	..	..	..	..	..	..	..	..	1	..	..	..	6	..	459	613	64
281	74	231	74	43	..	..	..	..	..	..	..	..	..	..	..	..	..	7	..	286	461	65
487	50	332	..	105	..	..	..	..	50	..	..	..	..	9	..	..	..	41	..	521	865	66
389	..	334	..	48	..	..	..	..	..	..	..	..	..	1	..	1	..	5	..	365	704	67
286	2	284	2	..	..	..	..	..	..	..	..	..	..	..	..	..	..	2	..	276	555	68
189	5	172	..	12	..	..	..	..	5	1	..	3	..	..	..	..	..	1	..	150	302	69
349	..	245	..	93	..	..	..	..	..	..	..	..	..	4	..	1	..	6	..	381	658	70
409	..	327	..	76	..	..	..	..	..	..	..	..	..	..	..	..	..	6	..	428	773	71
335	2	320	2	13	..	..	..	..	..	..	..	..	..	1	..	..	..	1	..	269	569	72
96	33	58	12	38	20	..	..	..	1	..	..	..	..	..	..	..	..	..	..	97	145	73
210	..	152	..	54	..	..	..	..	..	2	..	..	..	..	..	..	..	2	..	219	404	74
262	97	238	97	11	..	..	..	..	..	7	..	..	..	5	..	..	..	1	..	205	364	75
451	3	348	..	55	..	..	..	1	..	11	..	..	..	14	..	1	..	21	3	380	732	76
416	23	274	7	49	..	5	1	6	3	19	1	..	..	37	7	1	..	25	4	309	650	77
397	..	252	..	142	..	1	..	..	..	..	..	..	..	..	..	..	..	2	..	312	625	78
345	..	292	..	34	..	..	..	..	..	5	..	..	..	6	..	..	..	8	..	295	559	79
623	..	445	..	165	..	..	..	..	..	7	..	..	..	1	..	..	..	5	..	608	1,116	80
500	2	408	1	84	..	..	..	..	..	..	..	..	..	..	..	..	..	8	1	431	892	81
548	23	488	13	6	..	..	..	33	10	7	..	..	..	6	..	..	..	8	..	397	833	82
408	..	317	..	84	..	..	..	..	..	1	..	..	..	5	..	..	..	1	..	336	654	83
471	4	418	4	39	..	..	..	..	..	2	..	1	..	2	..	..	..	9	..	506	924	84
472	4	410	2	57	..	..	..	..	..	1	..	..	..	1	..	..	..	3	2	487	908	85
176	..	159	..	17	..	..	..	..	..	..	..	..	..	..	..	..	..	..	..	116	325	86
364	13	292	..	43	..	..	..	12	13	5	..	..	..	11	..	..	..	1	..	298	585	87
203	2	154	..	44	..	..	..	..	..	..	..	..	..	..	..	..	..	5	2	147	343	88
105	..	86	..	16	..	..	..	..	..	..	..	..	..	..	..	..	..	3	..	113	221	89

Serial No.	Name of Village/Town/ Ward/Enumerator's Block	Amenities	Area in Acres	Occupied Residential Houses		Total Population			Scheduled Castes		Scheduled Tribes		Literate and Educated Persons	
				No. of Houses	No. of Households	P	M	F	M	F	M	F	M	F
1	2	3	4	5	6	7	8	9	10	11	12	13	14	15
90	Dighali	R, Rly, P, S, Wb, Hos, V, Cd.	493.1	62	62	330	198	132	..	..	..	..	86	22
91	Fakali	R, Rly, P, S, Wb, Hos, V, Cd.	557.6	158	158	1,119	614	505	..	..	..	..	49	12
92	Puthikhaiti	R, P, S, Db, Hos, V.	621.3	251	251	1,253	669	584	..	..	..	..	97	20
93	Barpaka	R, Rly, P, S, Wb, Hos, V, Cd.	687.0	147	147	997	520	477	..	..	..	..	104	35
94	Hatipara	R, P, S, Wb, Hos, V, Cd.	792.3	230	230	1,753	922	831	..	..	..	..	141	35
95	Barpeta	R, P, S, Wb, Hos, V, Cd.	646.4	237	237	1,482	760	722	..	..	..	..	192	99
96	Rowmari	R, Rly, S, Wb, Hos, V, Cd.	811.8	171	171	1,050	534	516	..	..	..	..	62	25
97	Pachim Singimari	R, M, S, Wb, Hos, V, Cd.	677.1	243	243	1,512	795	717	..	..	..	..	114	59
98	Kachakhaiti	R, M, S, Wb, V, Cd.	625.4	191	191	1,152	606	546	..	..	..	..	193	94
99	Solmari	R, H, S, Wb, Cd.	383.0	145	145	875	458	417	..	..	..	..	133	71
100	Pub Singimari	R, Edbo, P, S, Wb, D, V, Cd.	854.8	252	252	1,426	744	682	..	..	..	..	143	62
101	Pachim Salpara	R, P, S, Wb, V, Cd.	341.6	136	136	736	399	337	..	..	..	..	73	31
102	Pub Salpara	R, P, S, Wb, V, Cd.	336.4	98	98	699	370	329	..	..	..	..	124	50
103	Karaiguri	R, Edbo, P, S, Db, Cd.	828.6	275	275	1,479	770	709	..	..	..	..	136	36
104	Barunguri	R, P, S, Wb, V, Cd.	481.8	148	148	869	446	423	102	91	..	..	114	26
105	Haribhanga		942.9	128	128	742	385	357	164	151	..	..	116	37
106	Niz Laokhowa	R, Edbo, M, S, Wb, Hos, Cd.	524.0	165	165	1,076	597	479	459	385	2	3	185	43
107	Dakhin Belaguri		576.6	188	188	995	538	457	520	438	..	..	188	44
108	Uttar Belaguri		425.2	121	121	590	315	275	312	273	..	..	98	20
109	Bhurbanda N. C.	R, H, S, Wb, Hos, V, Cd.	..	145	145	915	519	396	90	54	..	..	86	5
110	Bhurbanda	R, Edbo, P, S, Wb, Hos, V, Cd.	..	175	175	475	263	212	..	..	..	..	28	8
111	Bhurbanda No. 1	R, P, S, Wb, Hos, V, Cd.	886.8	55	55	269	153	116	..	..	..	..	35	6
112	Bhurbanda No. 2		416.8	81	81	388	201	187	..	..	..	..	33	7
113	Bhurbanda No. 3		609.1	35	35	150	101	49	20	15	47	18	29	4
114	Bhurbanda No. 4		360.0	134	134	416	229	187	3	3	..	..	38	3
115	Tubaki Jarani		556.6	142	142	820	427	393	417	385	..	..	186	21
116	Uttar Bhomoraguri		341.0	72	72	490	267	223	267	223	..	..	104	44
117	Dakshin Bhomoraguri		415.3	107	107	897	489	408	479	400	..	..	135	28
118	Mohborali		395.4	76	76	552	303	249	243	196	..	..	89	13
119	Lailuri	R, Edbo, M, S, Wb, D, V, Cd.	1,300.5	519	519	2,846	1,502	1,344	260	229	..	..	315	45
120	Pachim Lorimukh	R, P, S, Wb, V, Cd.	459.9	125	125	750	391	359	..	..	..	..	75	7
121	Magurmari	R, P, S.	711.1	269	269	1,388	726	662	2	..	..	..	175	43
122	Moriputhikhaity	R, S, Wb, Hos, V, Cd.	347.1	109	109	586	304	282	..	..	..	..	76	25
123	Kath Para	R, Edbo, M, S, Wb, D, V, Cd.	819.4	270	270	1,707	893	814	..	..	..	..	186	55
124	Pub Lorimukh	R, P, S, Wb, D, V, Cd.	772.6	220	220	1,301	704	597	85	79	..	..	193	71
125	Pachim Sowalani	R, H, S, Db, Hos, Cd.	366.1	199	199	1,065	577	488	321	305	..	..	275	70
126	Pub Sowalani	R, M, S, Wb, Hos, Cd.	547.4	203	203	1,142	586	556	167	152	..	..	155	56
127	Uttar Potakolong	R, P, S, V, Cd.	133.2	66	66	371	189	182	..	..	..	..	41	10
128	Dakhin Potakolong	R, P, S, V, Cd.	698.7	144	144	785	401	384	..	..	..	..	56	6
129	Bhatiakholi No. 1	R, P, S, Db, Hos, V, Cd.	548.0	163	163	922	492	430	..	..	..	..	103	23
130	Bhatiakholi No. 2	R, P, S, Db, D, V, Cd.	632.2	263	263	1,459	763	696	..	..	..	..	173	65

RUPAHIHAT (3)

Total workers (I—IX)		WORKERS I		II		III		IV		V		VI		VII		VIII		IX		X Non-workers		Sl. No.
M	F	M	F	M	F	M	F	M	F	M	F	M	F	M	F	M	F	M	F	M	F	
16	17	18	19	20	21	22	23	24	25	26	27	28	29	30	31	32	33	34	35	36	37	1
74	..	66	..	8	..	..	..	..	..	..	..	..	..	..	..	..	..	..	..	124	132	90
353	..	237	..	91	..	..	..	..	..	..	..	..	..	22	..	..	..	3	..	261	505	91
298	..	225	..	58	..	..	..	6	..	..	..	..	..	..	..	..	..	9	..	371	584	92
264	..	205	..	45	..	7	..	..	..	..	..	..	..	?	..	..	..	5	..	256	477	93
476	..	314	..	158	..	..	..	..	..	..	..	..	..	..	..	..	..	4	..	446	831	94
410	3	302	2	103	..	..	..	..	..	..	..	..	..	2	..	..	..	3	1	350	719	95
298	4	212	1	71	..	..	..	..	..	7	..	..	..	..	..	..	..	8	3	236	512	96
422	..	287	..	121	..	..	..	..	..	..	..	1	..	10	..	..	..	3	..	373	717	97
323	..	220	..	99	..	..	..	..	..	..	..	..	..	..	..	..	..	4	..	283	546	98
250	..	244	..	3	..	..	..	..	..	..	..	..	..	..	..	..	..	3	..	208	417	99
437	..	314	..	105	..	..	..	..	..	7	..	3	..	..	..	..	..	8	..	307	682	100
216	..	170	..	40	..	..	..	..	..	..	..	..	..	4	..	..	..	2	..	183	337	101
190	..	145	..	35	..	..	..	..	..	1	..	..	..	3	..	..	..	6	..	180	329	102
426	1	340	..	75	..	..	..	..	..	1	..	..	..	4	..	..	..	6	1	344	708	103
261	3	215	2	35	..	..	..	..	..	1	..	..	..	3	..	..	..	7	1	185	420	104
231	28	172	7	45	..	..	..	12	21	2	..	..	..	..	..	..	..	..	..	154	329	105
340	..	235	..	..	..	14	..	..	..	3	..	4	..	52	..	2	..	30	..	257	479	106
280	4	274	4	..	..	..	..	..	..	1	..	..	..	..	..	..	..	5	..	258	453	107
153	3	153	3	..	..	..	..	..	..	..	..	..	..	..	..	..	..	..	..	162	272	108
314	11	314	11	..	..	..	..	..	..	..	..	..	..	..	..	..	..	..	..	205	385	109
165	3	165	3	..	..	..	..	..	..	..	..	..	..	..	..	..	..	..	..	98	209	110
87	2	87	2	..	..	..	..	..	..	..	..	..	..	..	..	..	..	..	..	66	114	111
146	2	146	2	..	..	..	..	..	..	..	..	..	..	..	..	..	..	..	..	55	185	112
80	15	79	15	1	..	..	..	..	..	..	..	..	..	..	..	..	..	..	..	21	34	113
125	..	125	..	..	..	..	..	..	..	..	..	..	..	..	..	..	..	..	..	104	187	114
238	..	236	..	2	..	..	..	..	..	..	..	..	..	..	..	..	..	..	..	189	393	115
149	1	122	1	20	..	..	..	..	..	1	..	..	..	..	..	..	..	6	..	118	222	116
280	3	200	..	39	..	..	..	..	3	6	..	..	..	7	..	..	..	28	..	209	405	117
165	..	145	..	11	..	..	..	..	..	..	..	..	..	2	..	..	..	7	..	138	249	118
866	3	560	..	120	..	32	..	..	..	43	..	4	..	42	1	1	..	64	2	636	1,341	119
231	..	179	..	49	..	3	..	..	..	..	..	..	..	..	..	..	..	..	..	160	359	120
419	3	340	3	35	..	..	..	2	..	9	..	..	..	14	..	..	..	19	..	307	659	121
173	1	129	1	38	..	..	..	..	..	1	..	..	..	..	..	..	..	5	..	131	281	122
482	3	390	..	83	..	..	..	2	..	2	..	..	..	..	..	..	..	5	3	411	811	123
389	..	305	..	23	..	..	..	..	..	9	..	..	..	..	..	..	..	52	..	315	597	124
329	3	171	..	9	..	..	..	..	..	43	..	3	..	58	..	4	..	41	3	248	485	125
268	3	216	..	..	..	..	..	..	..	8	..	..	..	38	..	..	..	6	3	318	553	126
111	1	109	..	2	1	..	..	..	..	..	..	..	..	..	..	..	..	..	..	78	181	127
243	..	241	..	1	..	..	..	..	..	..	..	..	..	..	..	..	..	1	..	158	384	128
241	1	208	..	31	..	..	..	..	..	..	..	..	..	..	..	..	..	2	1	251	429	129
429	2	422	2	4	..	..	..	..	..	..	..	..	..	..	..	..	..	3	..	334	694	130

Serial No.	Name of Village/Town/ Ward/Enumerator's Block	Amenities	Area in Acres	Occupied Residential Houses: No. of Houses	Occupied Residential Houses: No. of Households	Total Population: P	Total Population: M	Total Population: F	Scheduled Castes: M	Scheduled Castes: F	Scheduled Tribes: M	Scheduled Tribes: F	Literate and Educated Persons: M	Literate and Educated Persons: F
1	2	3	4	5	6	7	8	9	10	11	12	13	14	15
131	Latani Chapari	R, P, S, Db, D, V, Cd.	373.3	98	98	466	239	227	..	..	..	..	49	27
132	Laogaon	R, Rly, H, S, Wb, Hos, V.	643.1	148	148	797	429	368	..	..	..	..	91	57
133	Beloguri Kacharigaon	R, Edbo, Rly, P, S, Wb, Hos, V.	523 8	135	135	943	492	451	..	..	422	406	102	41
134	Gatanga	R, Rly, P, S Wb, V.	670.6	131	131	844	425	419	6	4	121	127	191	95
135	Bhakatgaon	R, Rly, S, Wb, Hos, V.	514.9	107	107	544	290	254	3	..	47	48	117	60
136	Rupahi Town	R, Rly, So, H, S, Db, Hos, V.	575.6	704	704	3,286	1,784	1,502	7	4	2	1	641	343
137	Tamulitup	R, P, S, Cd.	372.7	75	75	522	272	250	..	..	..	..	58	3
138	Batamari	R, P, S, Cd.	266.2	102	102	572	313	259	..	..	..	..	42	3
139	Khanatup	R, P, S, Wb, Hos, V.	230.7	59	59	292	159	133	..	..	..	..	13	8
140	Jewmari	R, P, S, Db, Hos, V.	529.9	203	203	1,022	504	518	..	..	..	..	170	110
141	Jarathani	R, P, S, Wb, Hos, V.	410.8	165	165	816	415	401	..	..	..	..	35	7
142	Teliachapari	R, H, S, Db, Hos, V.	780.9	142	142	1,138	594	544	..	..	..	..	110	20
143	Sapatkarha	R, P, S, Wb, D, V, Cd.	546.8	139	136	680	351	329	..	..	..	..	38	8
144	Gerua Ati	R, P, S, Wb, D, V, Cd.	587.6	196	196	1,139	586	553	..	..	..	..	120	40
145	Barghat	R, P, S, Wb, D, V.	726.8	190	190	485	242	243	..	..	..	..	58	11
146	Garematikhowa	R, P, S, Wb, D, V.	798.3	188	188	1,469	753	716	..	..	..	..	177	43
147	Gereki	R, P, S, Wb, D, V.	799.2	192	192	1,101	582	519	..	..	..	..	152	69
148	Auanagaon	R, P, S, Db, Hos, V, Cd.	814.8	242	242	836	435	401	..	..	..	..	120	61
149	Halowagaon	R, P, S, Db, D, V, Cd.	850.2	225	225	1,124	584	540	..	..	..	..	401	288
150	Kumargaon	R, P, S, Wb, D, V, Cd.	737.1	148	148	739	412	327	..	..	..	..	39	8
151	Latabowa	R, P, S, Db, D, V, Cd.	732.8	175	175	878	458	420	..	..	..	..	282	142
	RAILWAY AREA													
1	Rly. No. 21			29	29	119	59	60	3	6	..	..	37	17
2	Rly. No. 24			12	12	57	29	28	8	5	..	..	14	5
3	Rly. No. 26			5	5	21	12	9	..	..	..	..	5	..
	FOREST VILLAGE													
1	Kaliadinga			56	56	283	153	130	..	..	149	130	41	21
2	Haldhiati			Village Nos. 2&3 have been enumerated as one village only										
3	Lowkhowa			133	133	666	389	277	8	4	364	264	119	24
4	Barunaguri			21	21	79	45	34	..	..	36	28	5	2
5	Singimari			Merged With Forest Village Nos. 2 & 3										

RUPAHIHAT (3)

WORKERS																						
Total workers (I—IX)		I		II		III		IV		V		VI		VII		VIII		IX		X Non-workers		Sl. No.
M	F	M	F	M	F	M	F	M	F	M	F	M	F	M	F	M	F	M	F	M	F	
16	17	18	19	20	21	22	23	24	25	26	27	28	29	30	31	32	33	34	35	36	37	1
124	..	124	..	..	.	..	..	..	..	..	..	..	..	..	..	..	..	..	..	115	227	131
234	5	158	..	11	..	15	..	..	5	5	..	..	..	1	..	..	..	44	..	195	363	132
261	76	250	75	3	..	..	..	..	..	..	..	1	..	2	..	2	..	3	2	231	375	133
180	51	154	50	2	..	..	..	..	..	..	..	2	..	..	..	1	..	21	1	245	368	134
149	17	101	16	28	1	..	..	..	..	2	..	..	..	2	..	3	..	13	..	141	237	135
943	13	272	9	120	3	..	..	..	..	117	..	4	..	268	..	43	..	119	1	841	1,489	136
128	..	117	..	9	..	..	..	..	..	..	..	..	...	..	..	..	..	2	..	144	250	137
162	..	129	..	20	..	..	..	..	..	..	..	..	..	1	..	..	..	12	..	151	259	138
98	..	88	..	10	..	..	..	..	..	..	..	..	..	..	..	..	..	..	..	61	133	139
231	..	188	..	43	..	..	..	..	..	..	..	..	..	..	..	..	..	..	..	273	518	140
217	..	130	..	87	..	..	..	..	..	..	..	..	..	..	..	..	..	..	..	198	401	141
330	3	284	2	41	1	..	..	..	..	..	..	1	..	2	..	..	..	2	..	264	541	142
214	..	169	..	43	..	..	..	..	..	..	..	..	..	..	..	..	..	2	..	137	329	143
330	..	274	..	56	..	..	..	..	..	..	..	..	..	..	..	..	..	..	..	256	553	144
136	..	110	..	26	..	..	..	..	..	..	..	..	..	..	..	..	..	..	..	106	243	145
391	14	343	1	42	3	..	..	1	9	1	..	..	..	3	1	..	..	1	..	362	702	146
308	24	279	1	26	..	..	..	..	23	3	..	..	..	..	..	..	..	..	..	274	495	147
213	2	178	..	22	1	..	..	..	..	..	..	..	..	1	..	..	..	12	1	222	399	148
273	7	247	..	9	..	..	..	..	7	..	..	..	..	..	..	2	..	15	..	311	533	149
235	..	208	..	27	..	..	..	..	..	..	..	..	..	..	..	..	..	..	..	177	327	150
214	6	205	..	4	3	..	..	..	..	..	..	..	..	..	..	1	..	4	3	244	414	151
33	..	..	..	..	..	..	..	..	..	..	..	..	..	..	..	32	..	1	..	26	60	1
18	..	..	..	..	..	..	..	..	..	..	..	..	..	..	..	18	..	..	..	11	28	2
7	..	..	..	..	..	..	..	..	..	..	..	..	..	..	..	7	..	..	..	5	9	3
92	2	86	2	2	..	4	..	..	..	..	..	..	..	..	..	..	..	..	..	61	128	1
																						2
210	99	193	..	..	..	6	..	..	99	..	..	..	..	.	..	1	..	10	..	179	178	3
29	2	26	..	..	..	1	..	..	2	..	..	..	..	..	..	..	..	2	..	16	32	4
																						5

Name of Police Station

Serial No.	Name of Village/Town/ Ward/Enumerator's Block	Amenities	Area in Acres	Occupied Residential Houses: No. of Houses	Occupied Residential Houses: No. of Households	Total Population: P	Total Population: M	Total Population: F	Scheduled Castes: M	Scheduled Castes: F	Scheduled Tribes: M	Scheduled Tribes: F	Literate and Educated Persons: M	Literate and Educated Persons: F
1	2	3	4	5	6	7	8	9	10	11	12	13	14	15
	Kaliabor P.S.													
	Total		164.0 (Sq. miles)	12,578	12,578	68,621	36,650	31,971	2,316	1,633	2,003	2,096	13,036	5,675
1	Barghuli No, 1, 2, 3, 4.	R, P, S, Wb, D, V, Cd.	2,574.2	505	505	4,911	2,527	2,384	..	..	..	..	138	96
2	Bhalukamari	R, S, Wb, D, V, Cd.	443.7	76	76	534	293	241	9	10	..	..	62	22
3	Garaimari	R, P, S, Wb, D, V, Cd.	765.8	150	150	798	415	383	1	..	..	..	114	87
4	Hatibandha	R, P, S, Wb, D, V, Cd.	734.3	183	183	1,111	596	515	95	110	..	1	134	26
5	Dalpani	R, P, S, Wb, D, V, Cd.	581.1	120	120	796	432	364	..	..	..	..	265	113
6	Bhur Bandha	R, P, S, Wb, D, V, Cd.	134.6	82	82	408	219	189	6	5	..	..	81	26
7	Bhur Bandha N.C. (Chulung Khala Naghat)	R, P, S, Wb, D, V, Cd.	..		Merged with Village No. 6									
8	Gakhir Khaity & Gakhir Khaiti N.C.	R, P, S, Wb, D, V, Cd.	414.8	106	106	517	300	217	..	..	..	..	64	10
9	Jawani	R, P, Pw, Wb, D, V, Cd.	480.3	109	109	536	286	250	3	6	..	..	120	44
10	Katiachapari	R, P, Pw, Wb, D, V, Cd.	205.4		Merged with Village No. 9									
11	Naltoli	R, P, S, Wb, D, V, Cd.	1,034.0	194	194	1,140	597	543	3	3	..	..	296	137
12	Kurhimari		452.0	111	111	698	363	335	127	119	..	..	163	59
13	Dhanekhowa	R, P, S, Wb, D, V, Cd.	473.6	175	175	897	453	444	129	103	..	..	180	44
14	Hatickhowa	R, P, S, Wb, D, V.	362.5	93	93	491	267	224	..	..	..	..	100	80
15	Langichuk	R, P, S, Wb, D, V. Cd.	1,035.9	282	282	1,478	757	721	4	3	..	..	350	182
16	Bhomoraguri	R, Edbo, M, S, Wb, Hos, V, Cd.	130.0	100	100	521	281	240	..	..	..	..	86	21
17	Jengani Chapari	R, S, Wb, D, V, Cd.	195.6	14	14	73	39	34	19	19	..	..	12	1
18	Salpara	R, S, Wb, D, V, Cd.	210.1	9	9	33	18	15	1	2	..	..	6	..
19	Dewri Chilabandha	R, P, S, Wb, D, V, Cd.	755.9	174	174	1,000	521	479	20	17	2	..	226	166
20	Bihdubi	R, S, Wb, Hos, V, Cd.	700.4	21	21	49	33	16	7	4	..	..	6	..
21	Samdhara	R, P, S, Wb, D, V, Cd.	479.9	151	151	911	497	414	..	..	..	..	272	128
22	Silghat Gaon	R, S, Wb, D, V, Cd.	70.2	129	129	487	257	230	45	36	..	..	152	76
23	Silghat Town	R, H, Cso, M, P, S, Wb, D, V, Cd.	..	125	125	826	511	315	21	21	..	..	253	119
24	Rabar Bari	R, Riv, Wb, D, V, Cd.	..	64	64	260	232	28	134	8	..	..	132	2
25	Hatimura N.C.	R, P, Pw, Wb, D, Cd.	164.2	73	73	394	228	166	4	..	..	..	103	38
26	Hatimura Gaon	R, P, S, Wb, Hos, Cd.	208.2	39	39	198	108	90	..	..	..	..	68	23
27	Dakhinpat	R, Edbo, P, Pw, Wb, Hos, V, Cd.	805·1	59	59	298	159	139	..	..	..	..	84	47
28	Sonari Gaon	R, Rly, M, S, Wb, D, Cd.	409.6	71	71	405	213	192	..	..	..	..	156	108
29	Kamakhya Gaon	R, M, S, Wb, Hos. Cd.	396.4	189	189	1,175	634	541	..	..	..	..	395	249

KALIABOR (4)

Total workers (I–IX)		WORKERS I		II		III		IV		V		VI		VII		VIII		IX		X Non-workers		Sl. No.
M	F	M	F	M	F	M	F	M	F	M	F	M	F	M	F	M	F	M	F	M	F	
16	17	18	19	20	21	22	23	24	25	26	27	28	29	30	31	32	33	34	35	36	37	1
19,929	11,131	12,645	6,733	933	151	3,252	2,606	32	1,340	644	15	114	19	669	33	409	..	1,231	234	16,721	20,840	
1,364	434	1,318	427	15	7	21	..	..	..	1	..	..	..	5	..	1	..	3	..	1,163	1,950	1
145	58	108	42	34	16	..	..	..	..	2	..	..	..	1	..	..	..	..	..	148	183	2
230	144	172	118	55	26	1	..	..	..	..	..	..	..	..	..	..	..	2	..	185	239	3
277	160	203	154	22	4	7	..	1	..	1	..	..	..	7	..	..	..	36	2	319	355	4
209	171	180	171	9	..	3	..	..	..	..	..	..	..	7	..	1	..	9	..	223	193	5
144	96	115	93	16	..	..	..	..	..	..	..	..	..	8	..	..	..	5	3	75	93	6
																						7
178	110	176	110	..	..	..	..	..	..	..	..	..	..	1	..	..	..	1	..	122	107	8
166	109	154	106	8	..	1	..	..	3	..	..	..	..	..	..	1	..	2	..	120	141	9
																						10
313	232	267	210	31	16	..	..	..	3	4	..	2	..	6	1	..	..	3	2	284	311	11
205	130	165	128	27	2	..	..	..	..	2	..	..	..	3	..	..	..	8	..	158	205	12
267	110	197	106	19	..	5	..	..	1	16	..	..	..	8	..	..	..	22	3	186	334	13
142	53	123	52	2	..	..	..	..	..	5	..	..	..	6	..	..	..	6	1	125	171	14
364	283	278	222	9	..	1	..	1	48	14	1	6	..	13	1	1	..	41	11	393	438	15
148	97	115	81	2	5	2	..	..	5	8	4	..	..	3	..	..	..	18	2	133	143	16
24	10	24	10	..	..	..	..	..	..	..	..	..	..	..	..	..	..	..	..	15	24	17
12	8	11	1	1	7	..	..	..	..	..	..	..	..	..	..	..	..	..	..	6	7	18
271	240	250	200	4	..	..	..	..	38	4	..	..	..	7	..	3	..	3	2	250	239	19
25	7	25	7	..	..	..	..	..	..	..	..	..	..	..	..	..	..	..	..	8	9	20
216	147	204	119	..	..	1	..	..	28	..	..	..	..	..	..	..	..	11	..	281	267	21
123	73	82	57	4	2	12	2	..	10	4	..	1	..	4	..	2	..	14	2	134	157	22
302	27	18	14	1	..	3	..	..	4	23	..	16	..	54	2	83	..	104	7	209	288	23
214	2	4	..	..	..	11	1	..	..	2	..	..	..	19	1	164	..	14	..	18	26	24
135	85	135	85	..	..	..	..	..	..	..	..	..	..	..	..	..	..	..	..	93	81	25
74	42	74	42	..	..	..	..	..	..	..	..	..	..	..	..	..	..	..	..	34	48	26
109	78	109	78	..	..	..	..	..	..	..	..	..	..	..	..	..	..	..	..	50	61	27
100	51	82	49	1	..	..	..	..	1	2	..	2	..	6	..	1	..	6	1	113	141	28
294	198	223	161	3	..	30	18	..	17	4	..	5	..	4	..	3	..	22	2	340	343	29

Serial No.	Name of Village/Town/ Ward/Enumerator's Block	Amenities	Area in Acres	Occupied Residential Houses		Total Population			Scheduled Castes		Scheduled Tribes		Literate and Educated Persons	
				No. of Houses	No. of Households	P	M	F	M	F	M	F	M	F
1	2	3	4	5	6	7	8	9	10	11	12	13	14	15
30	Jaysagar N. C.	R, Rly, Kw, Wb, D, Cd.	782.8	11	11	67	29	38	..	..	..	..	4	1
31	Dulalmadhab	R, P, S, Wb, Hos, V, Cd.	562.1	106	106	631	328	303	..	..	..	..	208	146
32	Madhatari	R, M, S, Wb, Hos, V, Cd.	691.5	234	234	1,159	635	524	..	..	..	..	454	248
33	Niz Pubthoria	R, P, S, Wb, D, V, Cd.	972.9	223	223	1,203	609	594	..	..	..	..	403	225
34	Telia Chuk	R, P, S, Wb, D, Cd.	378.3	74	74	495	267	228	..	..	..	..	129	86
35	Maria Gaon	R, S, Wb, D, V, Cd.	557.3	186	186	986	541	445	7	..	..	..	223	47
36	Kulidanga	R, P, S, Wb, D, V, Cd.	555.8	170	170	925	515	410	31	26	..	..	343	60
37	Lakhana Bandha	R, P, S, Wb, D, V, Cd.	938.6	97	97	869	470	399	312	151	..	..	156	63
38	Bharidhowa	R, P, S, Wb, V, Cd.	930.3	183	183	889	473	416	..	..	2	2	88	47
39	Garhaguri	R, P, S, Wb, Cd.	646.3	121	121	547	292	255	..	..	..	..	131	73
40	Sivasthan	R, P, Pw, Wb, V, Cd.	183.3	30	30	151	87	64	..	..	..	..	27	10
41	Beselimari	R, P, S, V, Cd.	704.6	40	40	261	141	120	..	..	..	..	43	20
42	Kawaimari	R, Edbo, P, S, Wb, V, Cd.	419.9	50	50	364	190	174	..	..	9	3	66	38
43	Potaliati	R, P, S, Wb, V, Cd.	442.3	21	21	101	56	45	..	..	..	..	2	..
44	Moamari	R, P, S, Wb, D, Cd.	585.1	72	72	360	197	163	38	24	..	..	48	17
45	Opar Barbhagia	R, P, S, Wb, D, V, Cd.	217.1	66	66	330	162	168	8	5	..	..	102	56
46	Ouguri Gaon	R, P, S, Wb, D, V, Cd.	768.9	190	190	1,182	610	572	13	8	313	338	194	77
47	Rohdhala	R, P, S, Wb, D, V, Cd.	1,070.6	136	136	835	452	383	..	..	87	77	129	41
48	Khalaiati	R, P, S, Wb, Cd.	372.7	75	75	392	210	182	127	108	..	..	62	8
49	Missamukhpam	R, S, Wb, Cd.	438.7	93	93	461	246	215	..	..	..	..	74	8
50	Missamukh	R, S, Wb, V, Cd.	292.1	40	40	181	98	83	50	44	..	..	19	2
51	Halowa Gaon	R, P, S, Wb, Cd.	783.5	106	106	688	345	343	..	..	106	125	123	46
52	Pani Gaon	R, P, S, Wb, D, Cd.	449.9	80	80	431	216	215	14	11	35	51	112	40
53	Nam Gaon	R, M, S, Wb, D, V, Cd.	876.3	52	52	338	178	160	..	..	1	8	88	53
54	Niz Barbhagia	R, Edbo, P, S, Wb, D, V, Cd.	520.6	121	121	686	345	341	..	..	82	107	129	82
55	Hatir Gaon	R, P, S, Wb, D, V, Cd.	500.6	66	66	320	171	149	5	1	..	..	83	44
56	Kuwaritol	R, H, Edbo, M, S, Wb, D, V, Cd.	896.7	200	200	1,384	742	642	12	6	..	..	437	220
57	Darigaji	R, P, S, Wb, D, V, Cd.	1,051.1	61	61	350	190	160	1	..	2	12	84	39
58	Barali Gaon	R, P, S, Wb, D, V, Cd.	239.2	72	72	321	175	146	..	..	..	..	52	16
59	Rowmari Bil	R, Kw, Wb, D, Cd.	473.2	30	30	129	77	52	39	23	..	..	5	1
60	Niz Missamukh	R, Kw, Wb, D, Cd.	186.5	4	4	25	12	13	..	..	..	..	..	..
61	Rowmari Dalani	R, P, S, Wb, Cd.	755.0	15	15	72	42	30	..	..	..	..	17	6
62	Chatial	R, S, Wb, D, V, Cd.	834.3	201	201	1,060	553	507	..	..	..	..	408	247
63	Sakmuthi	R, P, S, Wb, D, V, Cd.	457.4	147	147	801	445	356	..	..	..	..	311	144
64	Garikuri	R, P, S, Wb, D, V, Cd.	787.4	161	161	899	448	451	..	..	..	..	305	228
65	Dal Gaon	R, H, S, Wb, D, V, Cd.	531.2	182	182	1,003	535	468	217	82	..	..	232	101
66	Jaokata	R P, Pw, Wb, D, V, Cd.	734.5	76	76	519	280	239	1	1	60	89	97	21
67	Mothowkhat	R, P, Pw, Wb, D, V, Cd.	786.1	94	94	520	268	252	34	32	210	209	68	16

KALIABOR (4)

Total workers (I—IX)		WORKERS I		II		III		IV		V		VI		VII		VIII		IX		X Non-workers		Sl. No.
M	F	M	F	M	F	M	F	M	F	M	F	M	F	M	F	M	F	M	F	M	F	
16	17	18	19	20	21	22	23	24	25	26	27	28	29	30	31	32	33	34	35	36	37	1
17	11	9	6	..	..	3	..	..	..	..	..	1	..	..	..	..	..	4	5	12	27	30
159	83	119	63	10	1	4	1	..	17	2	..	3	..	7	..	1	..	13	1	169	220	31
310	175	225	87	34	1	3	..	..	80	3	..	3	..	5	..	1	..	36	7	325	349	32
289	195	246	161	17	..	..	..	..	29	3	..	..	..	2	..	1	..	20	5	320	399	33
119	51	53	3	13	..	..	..	..	45	2	..	2	..	1	..	..	..	48	3	148	177	34
290	26	111	19	6	..	1	..	..	6	119	..	..	..	26	..	1	..	26	1	251	419	35
296	40	204	34	27	..	..	..	2	5	11	1	..	..	42	..	2	..	8	..	219	370	36
273	41	220	37	12	..	2	..	..	4	4	..	..	..	2	..	..	..	33	..	197	358	37
279	7	179	5	98	2	..	..	..	..	..	..	..	..	..	..	..	..	2	..	194	409	38
187	100	134	87	50	10	..	..	..	3	..	..	..	..	..	..	..	..	3	..	105	155	39
49	2	46	2	..	..	..	..	..	..	..	..	..	..	1	..	1	..	1	..	38	62	40
84	18	83	18	..	..	.	..	..	..	1	..	..	..	..	..	..	..	..	..	57	102	41
103	35	102	35	..	..	..	..	..	..	..	..	..	..	..	..	..	..	1	..	87	139	42
45	21	45	21	..	..	..	..	..	..	..	..	..	..	..	..	..	..	..	..	11	24	43
106	62	98	62	4	..	..	..	2	..	..	..	..	..	..	..	..	..	2	..	91	101	44
86	85	85	85	..	..	..	..	..	..	..	..	..	..	..	..	..	..	1	..	76	83	45
314	242	286	233	15	1	..	..	1	6	2	..	..	..	3	..	..	..	7	2	296	330	46
243	59	222	24	1	..	..	..	..	33	2	..	..	..	1	..	..	..	17	2	209	324	47
115	20	83	..	22	..	..	..	..	20	..	..	..	..	..	..	..	..	10	..	95	162	48
165	52	122	50	7	1	32	..	..	..	..	..	..	..	1	..	..	..	3	1	81	163	49
68	10	16	1	26	..	..	5	..	..	7	..	..	..	3	..	..	..	16	4	30	73	50
169	164	156	157	3	..	..	..	2	7	..	..	..	..	8	..	..	..	..	..	176	179	51
112	86	106	86	4	..	2	..	..	..	..	..	..	..	..	..	..	..	..	..	104	129	52
84	65	71	59	3	..	..	..	..	6	..	..	..	..	5	..	.	..	5	..	94	95	53
162	148	154	144	..	..	..	..	..	1	4	..	..	..	..	..	1	..	3	3	183	193	54
90	54	80	53	..	..	..	..	..	1	2	..	1	..	2	..	..	..	5	..	81	95	55
281	258	192	191	6	..	..	..	..	65	13	1	2	..	4	..	4	..	60	1	461	384	56
79	57	72	52	4	..	..	..	..	4	..	..	..	..	..	..	..	..	3	1	111	103	57
96	54	88	54	4	..	..	..	..	..	..	..	..	..	1	..	..	..	3	..	79	92	58
50	13	25	4	2	..	4	6	..	1	..	..	3	..	..	..	..	..	16	2	27	39	59
9	7	6	2	..	..	..	4	..	..	..	..	1	..	..	..	..	..	2	1	3	6	60
19	5	11	..	..	..	8	5	..	..	..	..	..	..	..	..	..	..	..	..	23	25	61
237	213	227	177	10	..	..	..	..	36	..	..	..	..	..	..	..	..	..	..	316	294	62
201	138	146	99	18	..	..	..	4	39	10	..	..	..	6	..	..	..	17	..	244	218	63
171	127	140	19	6	..	1	..	..	105	7	..	..	..	6	..	..	..	11	3	277	324	64
268	146	225	4	20	..	..	..	..	125	1	..	8	16	4	..	1	..	9	1	267	322	65
182	143	141	101	..	..	25	3	2	14	..	1	2	..	1	1	..	..	12	23	98	96	66
200	154	128	61	..	..	29	..	8	68	8	..	..	..	1	..	..	..	26	25	68	98	67

Name of Police Station

Serial No.	Name of Village/Town/ Ward/Enumerator's Block	Amenities	Area in Acres	Occupied Residential Houses		Total Population			Scheduled Castes		Scheduled Tribes		Literate and Educated Persons	
				No. of Houses	No. of Households	P	M	F	M	F	M	F	M	F
1	2	3	4	5	6	7	8	9	10	11	12	13	14	15
68	Nizari Gaon (Keliden Gaon)	R, P, Pw, Wb. D, Cd.	1,020.7	243	243	1,148	594	554	21	17	..	..	127	35
69	Bamuni Pathar	R. Pw, Wb, D, V, Cd.	184.9	50	50	172	96	76	16	19	2	13	10	..
70	Bamuni	R, S, D, Cd.	598.0	252	252	1,263	666	597	227	141	231	281	183	28
71	Barpeta Dolani		226.8	No Population										
72	Jaokata Pathar	R, Kw, Wb, D, V, Cd.	22.5	25	25	123	63	60	38	40	..	..	15	4
73	Borhola Gaon (Mikir Gaon)	R, P, S, Wb, Hos, V, Cd,	1,002.9	189	189	960	520	440	..	..	..	..	133	25
74	Jakhala Bandha	R. Cso, S, Wb, Hos, Cd.	330.7	128	128	597	373	224	..	..	..	..	225	83
75	Sarubhagia	R, M, Pw, Wb, D, V, Cd.	423.9	321	321	1,134	577	557	282	277	3	13	314	160
76	Keribakari	R, P, S, Wb, D, V, Cd.	682.3	82	82	392	225	167	..	..	..	..	135	62
77	Garu Bandha	R, P, S, Wb, D, V, Cd.	354.9	275	275	1,466	826	640	4	1	..	..	395	146
78	Rangalu Gaon	R, Kw, Wb, D, Cd.	413.9	57	57	317	160	157	..	..	..	..	65	30
79	Sikani Pathar	R, P, Pw, Wb, D, V, Cd.	803.1	182	182	976	496	480	46	55	..	..	104	61
80	Chaguri	R, Kw, Wb, Hos, V. Cd.	1,006.0	11	11	76	37	39	..	..	..	..	4	..
81	Rangalu	R, P, S, Wb, Hos, V, Cd.	510.6	50	50	229	131	98	..	..	..	..	44	9
82	Natun Danga	R, Riv, Wb, Hos, V, Cd.	328.3	65	65	332	174	158	..	..	..	..	34	3
83	Amguri Chang including Amguri Gaon	R, P, S, Wb, V, Cd.	585.1	118	118	532	273	259	..	..	195	198	75	23
84	Phulguri Chang	R, P, Kw, Wb, D, V, Cd.	933.3	66	66	426	221	205	..	..	221	205	7	..
85	Dewchur No. 2	R, Riv, Wb, D, V, Cd.	795.1	11	11	52	32	20	..	..	..	..	1	..
86	Dewchur No. 1	R, Riv, Wb, D, V, Cd.	1,434.7	16	16	84	49	35	..	..	..	..	12	3
87	Palkhowa	R, Riv, Wb, D, V, Cd.	1,690.6	45	45	230	141	89	..	..	7	3	28	3
88	Gatanga	R, P, Riv, Wb, D, V, Cd.	257.9	42	42	211	112	99	..	..	..	..	55	22
89	Kawaimari	R, Riv, Wb, D, V, Cd.	531.9	15	15	77	52	25	..	..	..	..	24	8
90	Naharu Basti	R, P, S, Wb, D, V, Cd.	43.8	35	35	179	99	80	5	2	17	14	41	11
91	Dewpani	R, P, S, Wb, D, V, Cd.	1,289.0	288	288	1,034	553	481	..	..	262	228	116	44
92	Bagh Mari	R, P, S, Wb, Hos, V. Cd.	340.6	99	99	497	275	222	..	..	..	..	72	17
93	Bagari	R, S, Wb, Hos, V, Cd.	361.4	74	74	361	199	162	11	7	..	..	53	8
94	Harmati Gaon	R, S, Wb, D, Cd.	261.6	63	63	317	163	154	33	28	23	13	15	8
95	Nijan Gaon	R, M. S, Wb, D, Cd.	306.9	80	80	404	227	177	..	..	7	..	97	25
96	Kuthari Gaon	R, Edbo, P, S, Wb, D, Cd.	759.9	90	90	452	249	203	18	10	68	66	121	25
97	Kuthari Nabasti	R, S. Wb, D, Cd.	96.5	22	22	110	57	53	..	..	25	19	7	2

KALIABOR (4)

Total workers (I—IX)		WORKERS I		II		III		IV		V		VI		VII		VIII		IX		X Non-workers		Sl. No.
M	F	M	F	M	F	M	F	M	F	M	F	M	F	M	F	M	F	M	F	M	F	
16	17	18	19	20	21	22	23	24	25	26	27	28	29	30	31	32	33	34	35	36	37	1
396	198	249	77	10	1	75	82	..	28	14	..	..	..	26	2	1	..	21	8	198	356	68
65	38	28	12	1	..	29	24	..	..	..	..	..	..	..	..	..	..	7	2	31	38	69
401	244	315	195	1	..	30	38	..	10	15	..	..	..	19	..	1	..	20	1	265	353	70
																						71
44	36	34	24	1	..	8	12	..	..	..	..	..	..	..	..	..	..	1	..	19	24	72
294	136	173	103	8	..	19	23	..	..	10	..	1	..	22	1	1	..	60	9	226	304	73
221	50	93	..	17	..	2	..	..	49	36	..	..	..	33	..	6	..	34	1	152	174	74
280	188	129	14	42	23	9	..	1	133	23	2	5	..	21	1	6	..	44	15	297	369	75
140	27	39	2	2	..	1	..	..	12	16	..	1	..	58	11	2	..	21	2	85	140	76
429	97	150	70	10	..	26	..	..	2	79	..	17	..	65	3	10	..	72	22	397	543	77
87	8	50	3	18	..	..	..	..	..	3	..	..	1	16	4	..	..	..	..	73	140	78
278	219	241	166	33	21	..	..	..	32	..	..	..	..	..	..	..	..	4	..	218	261	79
25	5	23	5	..	..	2	..	..	..	..	..	..	..	..	..	..	..	..	..	12	34	80
86	47	68	41	1	..	..	..	..	2	1	..	..	..	..	..	..	..	16	4	45	51	81
104	97	99	93	..	..	3	..	2	4	..	..	..	..	..	..	..	..	..	..	70	61	82
159	122	150	106	1	..	1	2	1	13	..	..	2	..	3	..	..	..	1	1	114	137	83
119	117	118	..	..	..	..	..	..	117	..	..	..	..	1	..	..	..	..	..	102	88	84
21	1	17	1	1	..	1	..	..	..	..	..	..	..	1	..	..	..	1	..	11	19	85
40	6	..	..	..	..	38	6	..	..	..	..	..	..	..	..	..	..	2	..	9	29	86
100	15	73	15	15	..	..	..	..	..	..	..	..	..	3	..	..	..	9	..	41	74	87
69	49	62	48	..	..	6	..	..	1	..	..	..	..	1	..	..	..	..	..	43	50	88
43	10	18	9	1	1	22	..	..	..	..	..	..	..	2	..	..	..	..	..	9	15	89
61	42	38	29	10	2	4	6	..	1	..	..	.	..	1	.	..	..	8	4	38	38	90
310	239	281	219	..	..	19	8	..	12	..	..	..	..	7	..	..	..	3	..	243	242	91
157	121	142	121	2	..	..	..	..	..	..	..	..	..	5	..	1	..	7	..	118	101	92
129	88	84	78	5	1	9	..	..	1	1	..	2	..	6	..	..	..	22	8	70	74	93
91	65	79	54	3	..	2	..	..	8	..	..	..	..	2	..	1	..	4	3	72	89	94
143	54	105	48	..	..	..	.	..	2	11	2	..	..	6	..	2	..	19	2	84	123	95
157	57	115	5	..	..	17	15	..	35	5	..	..	..	7	..	1	..	12	2	92	146	96
38	37	34	15	..	..	2	2	..	..	1	..	..	..	1	..	..	..	..	..	19	36	97

Number and Name of District—(7) NOWGONG

VILLAGE

Name of Police Station

Serial No.	Name of Village/Town/ Ward/Enumerator's Block	Amenities	Area in Acres	Occupied Residential Houses		Total Population			Scheduled Castes		Scheduled Tribes		Literate and Educated Persons	
				No. of Houses	No. of Households	P	M	F	M	F	M	F	M	F
1	2	3	4	5	6	7	8	9	10	11	12	13	14	15
	TEA ESTATES													
1	Sonari T.E.			113	113	567	280	287	..	..	..	..	58	17
2	Kaliabur T.E.			213	213	1,065	546	519	5	6	3	3	224	51
3	Misa T.E.			261	261	1,409	783	626	13	9	..	..	136	24
4	Kellyden Nizari T.E.			342	342	1,713	913	800	1	3	..	..	124	58
5	Hatigaon T.E.			339	339	1,686	863	823	9	10	..	..	49	11
6	Sagmotea T.E.			303	303	1,518	808	710	6	6	1	1	139	81
7	Seconee T.E.			361	361	1,806	972	834	14	14	..	..	140	23
8	Amguri T.E.			45	45	228	119	109	..	..	..	..	6	2
9	Bura Pahar T.E.	Edbo.		142	142	710	366	344	..	..	..	..	45	26
10	Kuthari T. E.			85	85	427	237	190	..	..	..	..	30	12
	FOREST VILLAGE													
1	Ghorakati Forest			10	10	61	40	21	..	..	27	16	10	1
	RAILWAY AREAS													
1	Jakhala Bandha St.			14	14	70	36	34	3	..	..	..	18	5
2	Silghat Town			61	61	305	164	141	27	..	..	..	67	36
3	Ganghut			5	5	25	17	8	..	..	2	1	4	2

KALIABOR (4)

Total workers (I—IX)		WORKERS I		II		III		IV		V		VI		VII		VIII		IX		X Non-workers		Sl. No.
M	F	M	F	M	F	M	F	M	F	M	F	M	F	M	F	M	F	M	F	M	F	
16	17	18	19	20	21	22	23	24	25	26	27	28	29	30	31	32	33	34	35	36	37	1
135	138	1	..	..	..	130	138	..	..	..	..	1	..	..	..	..	..	3	..	145	149	1
264	205	..	..	..	..	227	203	..	..	20	..	..	..	3	..	1	..	13	2	282	314	2
462	273	56	15	7	..	305	243	..	..	26	3	3	2	31	4	20	..	14	6	321	353	3
520	381	3	2	..	..	455	375	..	..	34	..	8	..	2	..	..	..	18	4	393	419	4
480	358	52	8	55	1	365	349	..	..	..	..	..	..	..	..	7	..	1	..	383	465	5
456	373	..	..	1	..	428	372	..	..	14	..	..	..	3	..	..	..	10	1	352	337	6
500	365	28	1	3	..	417	358	..	..	25	..	8	..	6	..	..	..	13	6	472	469	7
74	50	4	3	..	..	65	47	5	..	..	..	..	..	..	..	..	..	..	..	45	59	8
223	172	..	..	..	..	194	171	..	..	9	..	9	..	3	..	1	..	7	1	143	172	9
142	87	..	..	..	..	127	86	..	..	5	..	..	..	8	..	..	..	2	1	95	103	10
27	12	26	12	..	..	1	..	..	..	..	..	..	..	..	..	..	..	..	..	13	9	1
24	..	..	..	..	..	..	..	..	..	..	..	..	..	..	..	24	..	..	..	12	34	1
69	1	..	..	..	..	1	..	..	..	3	..	..	..	13	1	43	..	9	..	95	140	2
8	1	..	..	..	..	..	1	..	..	..	..	..	..	..	..	8	..	..	..	9	7	3

Name of Police Station

Serial No.	Name of Village/Town/Ward/Enumerator's Block	Amenities	Area in Acres	Occupied Residential Houses: No. of Houses	Occupied Residential Houses: No. of Households	Total Population: P	Total Population: M	Total Population: F	Scheduled Castes: M	Scheduled Castes: F	Scheduled Tribes: M	Scheduled Tribes: F	Literate and Educated Persons: M	Literate and Educated Persons: F
1	2	3	4	5	6	7	8	9	10	11	12	13	14	15
	Marigaon P.S.													
	Total		370.0 (Sq. miles)	23,870	23,870	123,764	65,605	58,159	11,342	9,971	15,034	13,853	25,584	7,642
1	Kajali Chaki	R, P, Pw, Wb, D.	271.2	59	59	297	167	130	51	29	..	..	59	16
2	Halibagara	R, S, Wb, D, Cd.	533.4	26	26	130	73	57	25	19	..	..	38	8
3	Mikirpam		171.8	No Population										
4	Gamariguri	R, P, S, Wb, D, Cd.	120.0	83	83	416	228	188	116	90	..	..	86	43
5	Sanaka		274.2	No Population										
6	Baraitari	R, P, Riv, Wb, D, Cd.	70.6	81	81	405	222	183	170	140	6	3	91	40
7	Kalsila		486.4	No Population										
8	Gobardhan Grant	R, Riv, Cd.	561.2	47	47	236	133	103	109	95	..	..	52	13
9	Ghoramarajan	R, P, Pw, Cd.	509.3	51	51	256	144	112	144	112	..	..	56	26
10	Dhekiabari	R, P, S, Cd.	217.2	17	17	88	50	38	12	9	30	27	23	10
11	Govali	R, P, S, Cd.	517.6	10	10	49	32	17	32	17	..	..	16	3
12	Buramayang	R, M, S, V, Cd.	244.8	50	50	250	131	119	8	..	..	..	66	15
13	Loonmati	R, M, S, D, V, Cd.	656.3	115	115	578	313	265	249	201	..	..	111	28
14	Hatimuria	R, M, D, V, Cd.	641.0	80	80	400	221	179	38	19	..	..	147	60
15	Kashasila	R, P, Tk, V, Cd.	311.9	30	30	150	80	70	..	..	..	..	8	..
16	Murkatapathar No. 1		697.7	Village Nos. 16, 17, 18, 19, 20 Tagged together and enumerated as one village only										
17	Murkatapathar No. 2		442.5											
18	Rajamayang	R, Edbo, P, S, Cd.	582.2	165	165	824	438	386	53	35	..	..	229	83
19	Chengmari Pathar		1,186.1											
20	Chengmari		366.1											
21	Dhipujijan		1,215.0											
22	Dhipujipathar		508.1											
23	Dnankhunda No. 1		662.6	Tagged with Village No. 27										
24	Dhankhunda No. 2		629.8											
25	Kamarpur Pahar		524.3											
26	Kajulipathar		461.2											
27	Sildubi	R, P, S, Cd.	919.9	127	127	639	354	285	..	..	..	..	101	32
28	Kamarpur	R, P, Pw, Cd.	898.8	71	71	357	201	156	..	..	..	..	128	29
29	Thengbhanga	R, P, S, Cd.	1,195.4	140	140	700	387	313	..	..	..	..	62	5
30	Pobitara P. G. R.	P, Riv, D.	3,309.4	29	29	147	88	59	..	..	..	..	23	7
31	Hatigarh P. G. R.		566.0	Merged with village No. 30										
32	Kukuary	R, M, S, Cd.	186.0	75	75	377	205	172	..	..	..	..	102	27
33	Kuranibori	R, Edbo, P, Pw, Cd.	857.0	345	345	1,728	911	817	..	..	..	..	282	191
34	Burabari	R, P, S, Wb, D, Cd.	561.7	185	185	923	490	433	29	2	1	1	88	16
35	Khalanibil	R, P, S, Cd.	725.1	143	143	713	382	331	320	273	..	..	142	24
36	Nakarahabi	R, S, Cd.	695.6	53	53	268	151	117	..	..	..	..	22	..
37	Diprang	R, P, S, Cd.	630.9	36	36	179	97	82	17	10	32	34	45	17
38	Bahodalani	R, P, S, Wb, D, Cd.	541.7	63	63	318	164	154	164	154	..	..	68	5
39	Garumaradolani	R, P, Tk, Wb, Cd.	881.0	238	238	673	345	328	170	148	..	..	41	4
40	Satkhaparidolani	R, P, S, Wb, V, Cd.	924.0	231	231	681	356	325	32	33	..	..	90	39
41	Barpak Jungle	R, Edbo, P, Pw, V, Cd.	627.2	194	194	734	397	337	397	337	..	..	147	51
42	Bardalani	R, H, Kw, Wb, V, Cd.	563.9	120	120	711	389	322	386	319	..	..	124	14
43	Bahapahar		424.3	50	50	237	138	99	..	..	..	..	50	17
44	Baha Parbat		424.3											
45	Barmayang Pahar		2,604.8											
46	Tanganbhangi		506.7	No Population										
47	Pakariamukh		1,004.7											
48	Katahguri		794.4											

MARIGAON (5)

Total workers (I—IX)		WORKERS I		II		III		IV		V		VI		VII		VIII		IX		X Non-workers		Sl. No.
M	F	M	F	M	F	M	F	M	F	M	F	M	F	M	F	M	F	M	F	M	F	
16	17	18	19	20	21	22	23	24	25	26	27	28	29	30	31	32	33	34	35	36	37	I
35,525	19,972	30,439	12,609	698	68	827	252	368	6,813	295	1	483	21	796	38	425	28	1,194	142	30,080	38,187	
91	49	88	1	..	..	..	..	..	47	..	..	..	..	..	..	..	..	3	1	76	81	1
39	12	34	..	..	..	1	..	..	12	..	..	..	..	..	..	1	..	3	..	34	45	2
																						3
125	65	124	2	..	..	..	..	..	63	..	..	..	..	..	..	..	..	1	..	103	123	4
																						5
107	22	105	3	..	..	..	1	1	18	..	..	..	..	..	..	..	..	1	..	115	161	6
																						7
91	1	74	..	1	..	6	1	3	..	2	..	..	..	3	..	..	..	2	..	42	102	8
99	..	95	..	..	..	..	..	..	..	1	..	..	..	..	..	..	..	3	..	45	112	9
32	18	27	..	..	..	5	..	..	17	..	..	..	..	..	..	..	..	..	1	18	20	10
21	..	21	..	..	..	..	..	..	..	..	..	..	..	..	..	..	..	..	..	11	17	11
77	26	68	..	..	..	2	..	1	26	..	..	2	..	..	..	..	..	4	..	54	93	12
157	102	142	..	..	..	4	..	1	100	1	..	..	..	..	..	..	1	9	1	156	163	13
109	83	92	1	..	..	..	..	..	80	..	..	..	..	8	..	..	..	9	2	112	96	14
50	..	45	..	..	..	5	..	..	..	..	..	..	..	..	..	..	..	..	..	30	70	15
																						16
																						17
219	119	202	..	2	..	10	..	..	119	..	..	..	..	..	..	..	..	5	..	219	267	18
																						19
																						20
																						21
																						22
																						23
																						24
																						25
																						26
225	155	166	146	..	..	46	..	4	8	..	..	4	..	5	..	..	..	1	1	129	130	27
129	77	91	77	..	..	16	..	5	..	..	..	7	..	..	..	..	..	10	..	72	79	28
217	9	159	6	14	1	36	..	5	1	3	..	..	..	..	..	..	..	..	1	170	304	29
58	2	..	..	15	..	43	2	..	..	..	..	..	..	..	..	..	..	..	..	30	57	30
																						31
123	4	123	4	..	..	..	..	..	..	..	..	..	..	..	..	..	..	..	..	82	168	32
485	5	449	5	33	..	..	..	3	..	..	..	..	..	..	..	..	..	..	..	426	812	33
304	7	168	2	61	..	42	2	1	2	..	..	..	..	16	..	..	..	16	1	186	426	34
182	..	182	..	..	..	..	..	..	..	..	..	..	..	..	..	..	..	..	..	200	331	35
78	..	78	..	..	..	..	..	..	..	..	..	..	..	..	..	..	..	..	..	73	117	36
56	31	54	29	..	..	..	..	..	2	..	..	..	..	..	..	..	..	2	..	41	51	37
94	..	88	..	6	..	..	..	..	..	..	..	..	..	..	..	..	..	..	..	70	154	38
211	..	206	..	..	..	..	..	..	..	..	..	..	..	..	..	2	..	3	..	134	328	39
178	..	177	..	..	..	..	..	..	..	..	..	..	..	..	..	..	..	1	..	178	325	40
254	189	227	186	13	..	1	..	9	3	2	..	..	..	1	..	1	..	..	..	143	148	41
222	90	213	90	..	..	..	..	..	..	2	..	..	..	3	..	..	..	4	..	167	232	42
82	9	58	..	..	..	12	2	..	7	..	..	12	..	..	..	..	..	..	..	56	90	43
																						44
																						45
																						46
																						47
																						48

Serial No.	Name of Village/Town/ Ward/Enumerator's Block	Amenities	Area in Acres	Occupied Residential Houses: No. of Houses	Occupied Residential Houses: No. of Households	Total Population: P	Total Population: M	Total Population: F	Scheduled Castes: M	Scheduled Castes: F	Scheduled Tribes: M	Scheduled Tribes: F	Literate and Educated Persons: M	Literate and Educated Persons: F
1	2	3	4	5	6	7	8	9	10	11	12	13	14	15
49	Teteliguri	R, H, S, Cd.	266.5	47	47	345	174	171	174	171	..	..	69	20
50	Hatibhangi	R, P, S, Cd.	711.6	50	50	398	196	202	1 6	202	..	..	48	21
51	Garubandha	R, P, S, Cd.	721.4	51	51	255	146	109	67	59	..	..	20	13
52	Pabhakati	R, P, S. Cd.	353.6	10	10	124	70	54	63	48	..	..	20	10
53	Baramari	R, P, S, Cd.	634.4	57	57	334	176	158	124	111	..	..	50	26
54	Baramaripam	R, Kw.	261.3	9	9	44	24	20	..	..	5	..	1	1
55	Phalihamarihabi	R, P, S, Cd.	778.4	99	99	211	113	98	..	..	..	..	8	2
56	Sandahkhaiti	R, P, S. Cd.	..	68	68	319	159	160	..	..	..	..	15	1
57	Pakariguri	R, S, Wb, Cd.	372.5	32	32	167	83	84	..	..	..	..	16	9
58	Phalihamari	R, P, S, Wb, Cd.	515.5	136	136	764	409	355	9	..	..	..	84	23
59	Kariguri	R, S, Cd.	374.0	22	22	196	96	100	..	..	..	..	16	8
60	Gagalmari	R, S, Cd.	414.9	41	41	371	178	193	..	..	..	..	34	4
61	Gagalmari No. 2	R, S, Cd.	558.6	46	46	466	252	214	..	..	..	..	41	6
62	Merarhabi	R, S, Cd.	316.7	34	34	260	143	117	..	..	..	..	17	7
63	Kacharigaon	R, P, S, Wb, Cd.	641.5	79	79	398	226	172	..	..	..	..	32	8
64	Bahakajari	R, M, S, Wb, Cd.	615.6	120	120	600	304	296	..	..	74	83	45	3
65	Khatarbori Mikirgaou	R S, Wb, Cd.	185.2	36	36	184	99	85	..	..	..	..	15	5
66	Garamari	R, P, S, Wb, Cd.	657.5	51	51	304	165	139	..	..	..	..	53	14
67	Barkurani	R, P, S, Wb, D, Cd.	880.8	180	180	901	468	433	38	37	..	..	120	52
68	Gagalmari No. 1	R, P, S, Wb, Cd.	813.9	131	131	655	329	326	..	..	..	..	89	39
69	Gagalmari Ashighar		541.0	112	112	561	300	261	..	..	..	..	91	22
70	Burgaon No. 2	R, P, S, Wb, Cd.	650.1	88	88	434	235	199	211	178	24	21	57	16
71	Garakhia Dhap	R, P, S, Wb, Cd.	454.3	106	106	592	320	272	320	272	..	..	103	45
72	Bhalukjari	R, P, S, Cd.	376.0	20	20	99	59	40	..	..	59	40	27	13
73	Barmaripathar		527.7		Merged with Village No. 71									
74	Siuhaguri	R, P, S, Wb, D, Cd.	483.9	108	108	533	296	237	..	..	..	..	41	12
75	Marisutitup	R, D, Cd.	547.1	33	33	318	177	141	..	..	..	..	23	7
76	Patkibari	R, S, Wb, Cd.	773.8	53	53	301	141	160	..	..	..	..	9	..
77	Marisutipam		451.8		No Population									
78	Kaurehagi	R, S, Wb, D, Cd.	966.5	41	41	267	147	120	..	..	63	69	20	1
79	Burgaon No. 1	R P, S, Wb, Cd.	663 0	116	116	581	314	267	194	157	..	..	149	1
80	Ashighar	R, S, Wb, D, Cd.	320 3	13	13	101	63	38	..	..	..	..	4	2
81	Lecharibori	R, P, S, Wb, D, Cd.	658.8	104	104	383	198	185	132	121	..	..	72	27
82	Bamunjari	R, P, S, Wb, D, Cd.	308.4	74	74	557	274	283	191	224	..	..	50	13
83	Naudanibori	R, Tk, Wb, D, Cd.	398.1	19	19	50	39	11	..	..	38	11	3	..
84	Chotagarjan	R, P, S, D, Cd.	725.4	245	245	620	329	291	17	29	55	52	54	3
85	Lecheriparpam P.G.R.		175.1		Merged with Village No 84									
86	Balimukh P.G.R.	R, Riv, D, Cd.	2,017.0	9	9	19	16	3	.	..	16	2	2	..
87	Kapouzari	R, Pw, Cd.	851.2	55	55	286	144	142	13	16	34	31	21	4
88	Belobori	R, Pw, Wb, Cd.	339.1	4	4	23	12	11	..	..	9	11	5	..
89	Sukotipota	R, P, Kw, Cd.	479.0	34	34	157	92	65	..	..	5	5	57	22
90	Gabhuratup		582.0	29	29	143	80	63	8	..	51	49	11	1
91	Gabhuratup N.C.		473.6		No Population									
92	Temiherua		188.3		No Population									
93	Bharaltup	R, Pw, Cd.	536.4	5	5	25	25	..	..	..	10	..	11	..
94	Batabari		679.1		Merged with Village No 99									
95	Katahjari	R, P, Kw, Wb, Cd.	676.4	30	30	133	89	44	10	..	65	44	38	..
96	Katahjari Pathar		619.5		Merged with Village No 98									
97	Khanagharia	R, Kw, Cd.	609.3	23	23	134	87	47	..	..	60	42	11	..
98	Bangal Para	R, Pw, Cd.	610.5	26	26	242	129	113	10	12	119	101	34	8
99	Karatipam	R, P, Kw, V, Cd.	569.8	75	75	46	249	217	61	63	..	..	73	15
100	Sa'khaparidalani	R, Kw, Cd.	435.5	52	52	263	158	105	18	13	108	78	48	10
101	Kacharijan	R, Riv, Cd.	588.2		Enumerated along with village No. 107									
1 2	Ga jan	R, P, S, Cd.	273.3											
103	Gagalmaripam	R, S, V, Cd.	510.6	17	17	87	48	39	..	..	48	39	20	6
104	Kahuahabi		577.7		No Population									
105	Lawkhowabori	R, Kw, Cd.	617.4	6	6	30	30	..	..	..	30	..	11	..

MARIGAON (5)

Total workers (I—IX)		WORKERS I		II		III		IV		V		VI		VII		VIII		IX		X Non-workers		Sl. No.
M	F	M	F	M	F	M	F	M	F	M	F	M	F	M	F	M	F	M	F	M	F	
16	17	18	19	20	21	22	23	24	25	26	27	28	29	30	31	32	33	34	35	36	37	1
91	6	87	1	..	4	1	..	..	..	..	..	..	..	..	..	..	..	3	1	83	165	49
101	14	96	14	3	..	..	..	..	..	..	..	..	..	..	..	..	..	2	..	95	188	50
93	1	87	..	..	1	2	..	..	..	..	..	..	..	..	..	..	..	4	..	53	108	51
35	..	31	..	1	..	1	..	..	..	..	..	..	..	..	..	1	..	1	..	35	54	52
89	12	88	12	..	..	..	..	..	..	..	..	..	..	..	..	..	..	1	..	87	146	53
17	..	17	..	..	..	..	..	..	..	..	..	..	..	..	..	..	..	..	..	7	20	54
66	3	58	3	8	..	..	..	..	..	..	..	..	..	..	..	..	..	..	..	47	95	55
111	4	86	4	25	..	..	..	..	..	..	..	..	..	..	..	..	..	..	..	48	156	56
39	3	39	3	..	..	..	..	..	..	..	..	..	..	..	..	..	..	..	..	44	81	57
233	3	216	3	12	..	..	..	1	..	1	..	..	..	..	..	..	..	3	..	176	352	58
50	..	46	..	4	..	..	..	..	..	..	..	..	..	..	..	..	..	..	..	46	107	59
103	2	75	1	27	1	..	..	..	..	..	..	..	..	..	..	..	..	1	..	75	191	60
130	..	115	..	14	..	..	..	..	..	..	..	..	..	..	..	..	..	1	..	122	214	61
73	4	57	2	10	2	..	..	..	..	..	..	..	..	6	..	..	..	..	..	70	113	62
109	40	109	40	..	..	..	..	..	..	..	..	..	..	..	..	..	..	..	..	117	132	63
160	76	160	76	..	..	..	..	..	..	..	..	..	..	..	..	..	..	..	..	144	220	64
50	..	50	..	..	..	..	..	..	..	..	..	..	..	..	..	..	..	..	..	49	85	65
84	..	81	..	..	..	..	..	3	..	..	..	..	..	..	..	..	..	..	..	81	139	66
234	..	230	..	2	..	..	..	..	..	..	..	..	..	2	..	..	..	..	..	234	433	67
166	8	164	8	..	..	..	..	..	..	..	..	..	..	..	..	..	..	2	..	163	318	68
168	1	168	1	..	..	..	..	..	..	..	..	..	..	..	..	..	..	..	..	132	260	69
104	..	100	..	..	..	..	..	..	..	..	..	..	..	4	..	..	..	..	..	131	199	70
165	4	150	4	..	..	..	..	..	..	5	..	..	..	4	..	..	..	6	..	155	258	71
20	1	20	1	..	..	..	..	..	..	..	..	..	..	..	..	..	..	..	..	39	39	72
																						73
149	7	128	7	21	..	..	..	..	..	..	..	..	..	..	..	..	..	..	..	147	230	74
89	2	83	1	6	1	..	..	..	..	..	..	..	..	..	..	..	..	..	..	88	139	75
80	..	70	..	10	..	..	..	..	..	..	..	..	..	..	..	..	..	..	..	61	160	76
																						77
75	..	73	..	2	..	..	..	..	..	..	..	..	..	..	..	..	..	..	..	72	120	78
158	7	152	7	3	..	..	..	..	..	..	..	..	..	1	..	..	..	2	..	156	260	79
40	1	26	..	14	1	..	..	..	..	..	..	..	..	..	..	..	..	..	..	23	37	80
107	4	101	4	..	..	2	..	..	..	..	..	..	..	2	..	..	..	2	..	91	181	81
135	..	134	..	..	..	..	..	..	..	..	..	..	..	1	..	..	..	..	..	139	283	82
33	8	33	8	..	..	..	..	..	..	..	..	..	..	..	..	..	..	..	..	6	3	83
177	22	177	22	..	..	..	..	..	..	..	..	..	..	..	..	..	..	..	..	152	269	84
																						85
15	2	15	2	..	..	..	..	..	..	..	..	..	..	..	..	..	..	..	..	1	1	86
93	74	93	74	..	..	..	..	..	..	..	..	..	..	..	..	..	..	..	..	51	68	87
8	7	8	..	..	..	..	..	..	7	..	..	..	..	..	..	..	..	..	..	4	4	88
43	28	43	..	..	..	..	..	..	28	..	..	..	..	1	..	..	..	..	..	49	37	89
55	20	55	..	..	..	..	..	..	20	..	..	..	..	..	..	..	..	..	..	25	43	90
																						91
																						92
25	..	25	..	..	..	..	..	..	..	..	..	..	..	..	..	..	..	..	..	..	..	93
																						94
54	23	54	3	..	..	..	..	..	20	..	..	..	..	..	..	..	..	..	..	35	21	95
																						96
61	22	61	11	..	..	..	..	..	11	..	..	..	..	..	..	..	..	..	..	26	25	97
61	46	61	5	..	..	..	..	..	41	..	..	..	..	..	..	..	..	..	..	68	67	98
139	95	139	78	..	..	..	..	..	17	..	..	..	..	..	..	..	..	..	..	110	122	99
114	61	102	61	..	..	11	..	..	..	..	..	..	..	..	..	..	..	1	..	44	44	100
																						101
																						102
23	..	23	..	..	..	..	..	..	..	..	..	..	..	..	..	..	..	..	..	25	39	103
																						104
30	..	30	..	..	..	..	..	..	..	..	..	..	..	..	..	..	..	..	..	..	..	105

Serial No.	Name of Village/Town/ Ward/Enumerator's Block	Amenities	Area in Acres	Occupied Residential Houses		Total Population			Scheduled Castes		Scheduled Tribes		Literate and Educated Persons	
				No. of Houses	No. of Households	P	M	F	M	F	M	F	M	F
1	2	3	4	5	6	7	8	9	10	11	12	13	14	15
106	Garaimari	R, Kw, Cd.	540.9	3	3	17	17	..	..	..	17	..	4	..
107	Bargaraimari	R, P, S, V, Cd.	323.8	385	385	886	454	432	..	..	255	266	107	29
108	Panikawri	R, Pw, Wb, Cd.	410.8	13	13	68	35	33	..	..	16	14	9	..
109	Sukatipotahabi		754.2		No Population									
110	Chotagamariguri		801.5		No Population									
111	Gamariguri	R, P, Pw, Cd.	831.9	55	55	275	134	141	..	..	129	135	60	12
112	Bebejiahabi	R, S, Wb, D, V, Cd.	706.0	219	219	394	225	169	49	54	53	43	99	42
113	Sarubari	R, P, S, Wb, D, V, Cd.	511.9	35	35	330	192	138	..	..	176	131	59	18
114	Bhalukaguri	R, P, S, D, Cd.	493.8	304	304	824	433	391	8	2	411	383	182	70
115	Rowmaribil	R, Pw, D, Cd.	717.3	26	26	82	50	32	..	..	37	20	27	2
116	Kalbari	R, P, S, D, Cd.	851.0	95	95	589	310	279	..	..	..	..	180	61
117	Dibika	R, P, Pw, D, Cd.	931.6	60	60	357	197	160	7	7	47	40	96	40
118	Nizghogua	R, M, S, D, V, Cd.	636.0	129	129	834	456	378	101	75	176	153	178	45
119	Bahakajari	R, P, S, Wb, D, V, Cd.	397.6	22	22	211	101	110	..	..	91	105	39	9
120	Morigaon	R, Cso, H, Pw, Wb, D, V, Cd.	309.0	50	50	436	219	217	82	77	111	113	84	31
121	Ghoguapathar		1,074.8		No Population									
122	Karsuabori	R, P, Tk, Wb, Cd.	964.6	52	52	412	215	197	46	37	8	2	94	22
123	Hariapar		603.1		No Population									
124	Hariabori	R, P, Pw, Wb, D, Cd.	433.0	27	27	132	68	64	..	..	48	45	27	5
125	Jhargaon	R, P, S, Wb, D, Cd.	886.6	150	150	744	379	365	129	117	8	17	176	63
126	Barampurgaon	R, P, S, Wb, D, Cd.	599.0	87	87	541	293	248	70	57	..	..	119	43
127	Majorbori		399.1		No Population									
128	Bilimaragaon	R, Kw, Wb, D, Cd.	802.1	14	14	78	45	33	3	3	..	..	9	..
129	Hatiuthagaon	R, P, S, Wb, D, Cd.	568.6	68	68	407	213	194	..	..	3	1	114	17
130	Manaha-Kacharigaon	R, Edbo, H, S, Wb, D, V, Cd.	605.1	139	139	692	402	290	3	..	..	..	255	77
131	Manaha	R, H, S, Wb, D, V, Cd.	858.5	173	173	1,145	623	522	..	..	97	80	431	109
132	Barukata	R, P, S, Wb, D, Cd.	538.1	75	75	709	383	326	..	..	271	252	187	41
133	Khalagaon	R, P, Pw, D, Cd.	572.1	68	68	424	209	215	12	12	24	26	102	39
134	Kowargaon	R, D, Cd.	482.9	16	16	175	81	94	..	..	70	81	36	11
135	Sarumanahabil		920.7		No Population									
136	Belaguri	R, P, Pw, Cd.	951.2	36	36	224	119	105	..	..	..	..	84	10
137	Barnalanipathar	R, Tk, Wb, Cd.	519.1	13	13	71	35	36	..	..	..	..	11	2
138	Barjari No. 1	R, M, S, D, Cd.	779.3	37	37	185	108	77	..	..	9	4	73	23
139	Barjari No. 2	R, Tk, Cd.	880.9	4	4	24	11	13	..	..	..	..	..	..
140	Khanajan	R, P, S, Cd.	565.0	314	314	610	355	255	..	..	..	..	149	55
141	Na-Bahatia	R, P, Riv, Wb, D, Cd.	401.4	34	34	225	118	107	3	..	..	..	64	21
142	Barkulaipathar	R, Wb, Cd.	296.7	9	9	45	26	19	..	..	..	..	..	..
143	Sarukulai	R, P, S, Wb, D, Cd.	313.1	29	29	144	81	63	8	2	..	..	38	21
144	Kowargaon		780.8	109	109	543	276	267	15	10	..	..	152	66
145	Satabori	R, P, Pw, Cd.	597.0	146	146	460	245	215	3	2	..	..	125	44
146	Dimaruguri	R, S, Wb, D, Cd.	559.5	25	25	123	62	61	25	15	..	..	30	10
147	Kumaipahar N.C.		1,320.2	29	29	145	83	62	3	5	80	57	35	6
148	Bhakatgaon	R, H, S, D, Cd.	496.2	216	216	985	588	397	138	102	32	..	441	117
149	Kacharigaon	R, P, Pw, V, Cd.	567.2	55	55	347	191	156	..	..	149	121	89	30
150	Kumai	R, P, S, D, V, Cd.	567.2	81	81	540	282	258	..	..	..	..	166	59
151	Dorangiagaon	R, P, S, D, V.	550.3	100	100	567	282	285	..	..	..	..	237	119
152	Jagi	R, M, S, D, Cd.	519.2	229	229	1,147	576	571	116	90	1	..	434	269
153	Kaliajari		244.5		No Population									
154	Simaluguri	R, Riv, Wb, D.	371.0											
155	Kanfala	R, P, S, Wb, D, V, Cd.	363.1	45	45	406	198	208	..	..	198	208	42	5
156	Lathabari	R, Kw, Wb, D, V, Cd.	369.8	Village No 154, 155, 156 and 157 Tagged together										

MARIGAON (5)

Total workers (I—IX)		WORKERS I		II		III		IV		V		VI		VII		VIII		IX		X Non-workers		Sl. No
M	F	M	F	M	F	M	F	M	F	M	F	M	F	M	F	M	F	M	F	M	F	
16	17	18	19	20	21	22	23	24	25	26	27	28	29	30	31	32	33	34	35	36	37	1
17	..	17	..	..	..	..	..	..	..	..	..	..	..	..	..	..	..	..	..	..	..	106
222	153	222	5	..	..	..	..	..	148	..	..	..	..	..	..	..	..	..	..	232	279	107
18	..	18	..	..	..	..	..	..	..	..	..	..	..	..	..	..	..	..	..	17	33	108
																						109
																						110
73	73	73	50	..	..	..	..	..	23	..	..	..	..	..	..	..	..	..	..	61	68	111
137	89	133	43	..	..	..	..	..	49	4	..	..	..	.	..	..	..	..	..	88	80	112
115	80	105	3	1	..	..	..	..	77	1	..	1	..	..	2	..	..	5	..	77	58	113
247	205	247	4	..	..	..	..	..	201	..	..	..	..	..	..	..	..	..	..	186	186	114
36	23	16	1	..	..	19	..	..	22	..	..	..	..	1	..	..	..	..	..	14	9	115
146	141	138	16	..	..	..	..	..	125	..	..	..	..	..	..	..	..	8	..	164	138	116
97	80	94	..	..	..	..	..	..	79	..	..	..	..	..	..	..	..	3	1	100	80	117
228	204	210	185	18	19	..	..	..	..	..	..	..	..	..	..	..	..	..	..	228	174	118
67	72	52	67	9	..	4	5	..	..	..	..	..	..	..	..	..	..	2	..	34	38	119
109	117	99	111	5	6	..	..	..	..	..	..	2	..	3	..	..	..	..	..	110	100	120
																						121
131	27	121	24	3	..	7	..	..	3		..	..	..	..	..	..	..	..	..	84	170	122
																						123
36	34	24	23	..	..	12	11	..	..	..	..	..	..	..	..	..	..	..	..	32	30	124
214	108	178	106	8	..	2	..	..	..	..	..	..	..	5	..	..	..	21	2	165	257	125
168	119	144	112	3	3	1	..	..	4	..	..	17	..	3	..	..	..	..	..	125	129	126
																						127
24	18	24	18	..	..	..	..	..	..	..	..	..	..	..	..	..	..	..	..	21	15	128
98	93	95	93	..	..	3	..	..	..	..	..	..	..	..	..	..	..	..	..	115	101	129
214	105	158	82	..	..	30	..	..	23	..	..	5	..	7	..	3	..	11	..	188	185	130
316	270	281	253	..	..	8	..	..	17	..	..	2	..	9	..	..	..	16	..	307	252	131
180	200	170	2	..	..	1	..	..	198	..	..	1	..	..	..	..	..	8	..	203	126	132
113	121	108	21	..	..	..	..	..	100	..	..	..	..	5	..	..	..	..	..	96	94	133
42	58	42	..	..	..	..	..	..	58	..	..	..	..	..	..	..	..	..	..	39	36	134
																						135
54	31	53	16	..	..	..	..	..	15	..	..	..	..	..	..	1	..	..	..	65	74	136
21	4	21	..	..	..	..	..	..	4	..	..	..	..	..	..	..	..	..	..	14	32	137
63	4	54	..	..	..	..	..	..	4	..	..	9	..	..	..	..	..	..	..	45	73	138
6	..	6	..	..	..	..	..	..	..	..	..	..	..	..	..	..	..	..	..	5	13	139
191	75	182	29	..	..	..	..	2	46	5	..	..	..	2	..	..	..	..	..	164	180	140
61	54	47	53	..	..	..	..	6	1	..	..	..	..	..	..	..	..	8	..	57	53	141
15	2	1	2	..	..	..	..	..	..	..	..	..	..	..	..	..	..	14	..	11	17	142
35	25	28	23	6	1	..	..	..	1	..	..	..	..	1	..	..	..	..	..	46	38	143
134	128	124	124	6	2	1	..	1	1	..	..	..	..	1	..	..	..	1	1	142	139	144
113	109	95	98	2	1	..	..	10	10	..	..	..	..	3	..	..	..	3	..	132	106	145
35	31	35	31	..	..	..	..	..	..	..	..	..	..	..	..	..	..	..	..	27	30	146
47	42	46	42	..	..	..	..	1	..	..	..	..	..	..	..	..	..	..	..	36	20	147
295	203	202	4	..	..	..	..	25	199	2	..	6	..	29	..	2	..	29	..	293	194	148
96	93	93	..	..	..	..	..	..	93	..	..	..	..	1	..	..	..	2	..	95	63	149
151	138	133	117	2	..	..	..	..	19	2	..	4	..	2	..	2	..	6	2	131	120	150
152	133	114	104	2	..	..	..	..	26	1	..	4	..	..	..	1	..	30	3	130	152	151
271	256	224	175	14	..	..	..	4	78	..	..	..	..	7	..	1	..	21	3	305	315	152
																						153
																						154
114	98	114	87	..	..	..	..	..	11	..	..	..	..	..	..	..	..	..	..	84	110	155
																						156

Serial No.	Name of Village/Town/ Ward/Enumerator's Block	Amenities	Area in Acres	Occupied Residential Houses: No. of Houses	Occupied Residential Houses: No. of Households	Total Population: P	Total Population: M	Total Population: F	Scheduled Castes: M	Scheduled Castes: F	Scheduled Tribes: M	Scheduled Tribes: F	Literate and Educated Persons: M	Literate and Educated Persons: F
1	2	3	4	5	6	7	8	9	10	11	12	13	14	15
157	Dombaha	R, Pw, Wb, D, V, Cd.	358.6											
158	Chamkata	R, S, Wb, D, V, Cd.	574.0	10	10	70	36	34	..	1	36	33	9	2
159	Black No. 27		252.6	Merged with Village 161										
160	Rolipathar	R, Pw, Wb, D, V, Cd.	512.7	10	10	58	36	22	4	3	26	17	..	..
161	Da-chikabori	R, P, S, Wb, D, V, Cd.	297.5	56	56	492	254	238	144	130	110	108	82	25
162	Hagoltoli	R, M, Pw, Wb, D, V, Cd.	254.3	6	6	63	28	35	..	..	28	35	3	..
163	Dighalbori	R, Edbo, P, Pw, Cd.	638.5	134	134	1,076	560	516	8	12	543	503	83	16
164	Bowalguri	R, Pw, Cd.	265.6	3	3	18	8	10	8	10	..	..	2	1
165	Bokharbori	R, P, Pw, D, V, Cd.	563.4	168	168	840	439	401	357	310	60	71	210	39
166	Dhekiphalabori	R, P, Pw, D, V, Cd.	690.3	36	36	181	100	81	3	1	94	80	38	9
167	Udari	R, Pw, Wb, D, V, Cd.	556.1	105	105	631	322	309	192	183	117	119	180	71
168	Malpota	R, Pw, Wb, D, V, Cd.	379.7	16	16	99	53	46	..	..	10	10	27	4
169	Block No. 29		195.6	No Population										
170	Barthal		391 4	No Population										
171	Chutiakhal	R, P, Pw, Wb, D, V, Cd.	448.2	66	66	417	218	199	2	..	..	..	121	44
172	Bhangamur	R, M, S, Wb, D, V, Cd.	354.2	81	81	403	211	192	47	53	89	82	119	44
173	Jarabari	R, P, Pw, Wb, V, Cd.	364.4	36	36	181	90	91	20	20	1	2	38	5
174	Saruduani		308.0	No Population										
175	Duanj	R, P, S, Wb, D, V, Cd.	261.2	71	71	353	186	167	3	2	103	98	87	32
176	Chakdharabari	R, P, S, Wb, D, V, Cd.	319.1	18	18	88	42	46	..	..	..	..	17	1
177	Kowar Gaon	R, P, S, Wb, D, Cd.	413.4	92	92	461	236	225	137	135	99	90	76	15
178	Bhairaguri	R, P, S, Wb, D, V, Cd.	344.0	52	52	260	131	129	4	10	113	111	53	17
179	Katal Amara Bari	R, Kw, Cd.	407.3	3	3	15	8	7	..	..	..	..	..	..
180	Pakamura	R, P, Kw, Wb, D, Cd.	429.2	4	4	20	8	12	..	..	..	..	..	..
181	Barmani Pur	R, Pw, Wb, D, Cd.	315.7	44	44	219	110	109	4	5	106	104	28	5
182	Monipur No 1	R, P, Pw, Wb, D, Cd.	395.0	207	207	1,033	562	471	66	60	485	399	128	35
183	Monipur No 2	R, M, Pw, Wb, D, Cd.	307.6	112	112	560	295	265	95	79	157	154	71	9
184	Ahatguri Natua Gaon	R, P, S, Wb, D, Cd.	520.2	300	300	1,500	777	723	204	148	..	..	389	96
185	Bahakajari Pathar	R, P, S, Wb, D, Cd.	415.6	26	26	156	84	72	1	..	3	3	45	14
186	Barunguri	R, P, Pw, Wb, D, Cd.	823.8	25	25	216	112	104	..	..	106	97	30	..
187	Oujari Pathar		392.4	No Population										
188	Nowgaon	R, Pw, Wb, D, Cd.	512.7	29	29	248	128	120	2	..	91	83	49	10
189	Ghoramara Pathar	R, Pw, Wb, Hos, V, Cd.	282.6	5	5	27	14	13	..	..	..	..	14	..
190	Rajagaon	R, M, S, Wb, Hos, Cd.	586.5	145	145	1,190	635	555	..	..	15	15	396	171
191	Gachbori		386.1	179	179	1,163	666	497	12	4	36	28	378	91
192	Ulubari	R, S, Wb, D, Cd.	272.9	39	39	196	106	90	..	..	10	6	51	6
193	Oujari Gaon	R, P, Tk, Wb, D, Cd.	417.1	88	88	441	239	202	78	63	136	113	127	12
194	Basanaghat	R, Tk, Wb, D, Cd.	465.8	5	5	25	11	14	..	..	1	3	8	11
195	Parajari	R, Pw, Wb, D, Cd.	972.3	17	17	150	77	73	..	..	76	73	18	3
196	Patidaiya	R, P, S, Wb, D, V, Cd.	1,440.5	131	131	890	483	407	3	1	311	297	148	15
197	Rupaibari	R, P, Pw, D, V, Cd.	424.7	4	4	41	22	19	..	..	22	19	6	3
198	Garmari	R, Pw, Wb, D, V, Cd.	960.3	42	42	228	120	108	..	..	..	..	56	16
199	Charabari	R, Pw, Wb, D, V, Dd.	785.8	13	13	20	20	..	..	..	..	..	11	..
200	Khatorbari	R, P, Pw, Wb, D, V, Cd.	1,026.7	90	90	674	365	309	21	1	237	208	154	7
201	Bhurbanda	R, M, S, Wb, V, Cd.	754.3	148	148	805	417	388	21	9	96	110	175	43

MARIGAON (5)

Total workers (I—IX)		WORKERS I		II		III		IV		V		VI		VII		VIII		IX		X Non-workers		Sl. No.
M	F	M	F	M	F	M	F	M	F	M	F	M	F	M	F	M	F	M	F	M	F	
16	17	18	19	20	21	22	23	24	25	26	27	28	29	30	31	32	33	34	35	36	37	1
																						157
22	19	22	19	..	..	..	..	..	..	..	..	..	..	..	..	..	..	..	..	14	15	158
																						159
21	7	21	7	..	..	..	..	..	..	..	..	..	..	..	..	..	..	..	..	15	15	160
136	105	135	98	..	..	..	..	..	7	..	..	..	..	1	..	..	..	..	..	118	133	161
18	17	18	11	..	..	..	..	..	6	..	..	..	..	..	..	..	..	..	..	10	18	162
306	275	294	273	11	..	..	..	..	2	..	..	..	..	..	..	..	..	1	..	254	241	163
4	5	4	5	..	..	..	..	..	..	..	..	..	..	..	..	..	..	..	..	4	5	164
224	164	206	10	4	..	7	1	1	153	..	..	..	..	2	..	2	..	2	..	215	237	165
51	37	44	15	3	..	1	..	..	22	..	..	..	..	..	..	..	..	3	..	49	44	166
170	162	159	94	5	..	..	..	1	68	..	..	..	..	3	..	..	..	2	..	152	147	167
21	29	20	21	..	..	..	..	..	8	..	..	..	..	1	..	..	..	..	..	32	17	168
																						169
																						170
106	102	95	20	3	..	..	..	..	82	..	..	..	..	3	..	..	..	5	..	112	97	171
96	95	95	22	..	..	..	..	1	73	..	..	..	..	..	..	..	..	..	..	115	97	172
43	37	41	3	..	..	..	..	1	34	..	..	..	..	..	..	..	..	1	..	47	54	173
																						174
81	70	81	22	..	..	..	..	..	48	..	..	..	..	..	..	..	..	..	..	105	97	175
29	17	27	..	..	..	1	..	..	17	..	..	..	..	1	..	..	..	..	..	13	29	176
130	129	130	2	..	..	..	..	..	127	..	..	..	..	..	..	..	..	..	..	106	96	177
72	74	70	..	..	..	..	..	..	74	..	..	..	..	..	..	1	..	1	..	59	55	178
5	..	5	..	..	..	..	..	..	..	..	..	..	..	..	..	..	..	..	..	3	7	179
5	4	5	4	..	..	..	..	..	..	..	..	..	..	..	..	..	..	..	..	3	8	180
56	59	55	..	..	..	..	..	..	59	..	..	..	..	1	..	..	..	..	..	54	50	181
321	279	321	9	..	..	..	..	..	270	..	..	..	..	..	..	..	..	..	..	241	192	182
150	125	146	11	..	..	..	..	1	114	..	..	..	..	3	..	..	..	..	..	145	140	183
382	355	352	271	7	1	7	..	2	82	..	..	1	..	7	..	1	..	5	1	395	368	184
43	39	39	6	1	..	1	..	1	33	..	..	..	..	..	..	..	..	1	..	41	33	185
53	54	50	19	..	..	2	..	..	35	..	..	..	.	..	..	..	..	1	..	59	50	186
																						187
67	66	58	51	..	..	4	..	2	15	1	..	..	..	..	..	..	..	2	..	61	54	188
7	5	6	4	..	..	..	..	..	1	..	..	1	..	..	..	..	..	..	..	7	8	189
350	119	226	83	..	..	1	..	16	30	3	..	16	..	44	..	2	..	42	6	285	436	190
353	175	168	157	6	..	1	..	87	16	4	..	8	..	36	..	4	..	39	2	313	322	191
58	56	56	50	..	..	..	..	..	6	..	..	..	..	..	..	..	..	2	..	48	34	192
132	82	83	76	..	..	..	..	1	6	..	..	1	..	37	..	..	..	10	..	107	120	193
4	8	4	5	..	..	..	..	..	3	..	..	..	..	..	..	..	..	..	..	7	6	194
35	34	35	33	..	..	..	..	..	1	..	..	..	..	..	..	..	..	..	..	42	39	195
260	195	245	194	9	..	..	..	..	1	1	..	..	..	2	..	..	..	3	..	223	212	196
16	11	15	11	..	..	..	..	..	..	..	..	..	..	..	..	..	..	1	..	6	8	197
61	55	56	41	..	..	..	..	..	13	1	..	..	..	..	..	..	..	4	1	59	53	198
20	..	19	..	..	..	1	..	..	..	..	..	..	..	..	..	..	..	..	..	..	..	199
190	77	164	57	..	..	22	1	..	19	..	..	..	..	1	..	..	..	3	..	175	232	200
250	175	167	156	..	..	4	..	27	15	5	..	1	..	10	..	1	..	35	4	167	213	201

Serial No.	Name of Village/Town/ Ward/Enumerator's Block	Amenities	Area in Acres	Occupied Residential Houses		Total Population			Scheduled Castes		Scheduled Tribes		Literate and Educated Persons	
				No.of Houses	No.of Households	P	M	F	M	F	M	F	M	F
1	2	3	4	5	6	7	8	9	10	11	12	13	14	15
202	Chattanguri	R, P, Pw, Wb, D, V, Cd.	888.9	224	224	1,440	723	717	301	306	81	81	337	65
203	Barangabari	R, P, Pw, Db, D, V, Cd.	1,044.7	541	541	2,706	1,372	1,334	11	8	79	65	687	166
204	Ouguri	R, Edbo, Pw, Wb, D, V, Cd.	623.2	412	412	2,063	982	1,081	103	95	423	517	334	75
205	Katahguri	R, S, Wb, D, V, Cd.	569.3	206	206	1,030	524	506	53	65	210	191	215	51
206	Sidhabari	R, P, S, Db, Hos, V, Cd.	791.8	243	243	1,214	620	594	43	51	474	420	129	19
207	Naokata	R, P, S, Db, Hos, V, Cd.	646.7	117	117	586	308	278	..	..	128	120	113	53
208	Kachamari Pathar	R, Pw, Wb, Hos, V, Cd.	987.5	9	9	48	25	23	..	..	..	..	7	4
209	Sapkati	R, P, S, Wb, Hos, V, Cd.	1,030.6	236	236	1,184	639	545	..	..	50	38	335	104
210	Doloichuba	R, P, S, Wb, Hos, V, Cd.	587.1	185	185	924	450	474	..	..	..	..	289	122
211	Niz Dandua	R, Edbo, P, S, Wb, D, Cd.	831.5	536	536	2,679	1,369	1,310	..	..	139	133	506	193
212	Lachanbari	R, Pw, Wb, D, Cd.	570.8	27	27	137	62	75	..	..	..	..	18	14
213	Banpara	R, M, S, Wb, D, Cd.	1,197.3	356	356	1,782	916	866	169	161	286	280	285	52
214	Bagharapahar N.C.	R, Kw, Wb, D, Cd.	482.4	11	11	55	37	18	..	..	1	..	23	1
215	Baghara	R, P, S, Wb, D, Cd.	552.3	87	87	437	228	209	119	119	..	..	123	45
216	Singimari	R, Tk, Wb, D, Cd.	504.3	4	4	20	20	..	1	..	10	..	6	..
217	Marakollong No. 1	R, P, Kw, Db, D, Cd.	382.3	20	20	100	52	48	..	..	5	2	23	2
218	Marakollong No. 2	R, P, Tk, Wb, D, Cd.	594.8	1	1	5	3	2	..	..	..	..	1	..
219	Rainapathar		505.9			No Population								
220	Buragaon	R, P, S, D,V, Cd.	781.3	164	164	1,391	710	681	161	164	413	402	302	123
221	Pachatia Morigaon	R, P, S, D, V, Cd.	851.2	527	527	2,637	1,412	1,225	353	344	..	..	499	151
222	Borigaon	R, P, S, D, V, Cd.	551.7	225	225	1,158	638	520	..	..	..	..	244	74
223	Salmari Mikirgaon	R, H, Db, D, V, Cd.	427.0	113	113	859	437	422	..	..	189	188	88	25
224	Solmora		612.3	12	12	79	42	37	..	..	42	37	3	..
225	Lokakuchi		517.9	57	57	325	152	173	..	..	..	..	44	12
226	Solmari No. 2	R, P, S, Wb, D, V, Cd.	728.0	147	147	804	424	380	4	2	..	..	135	26
227	Solmari No. 1	R, Tk, Wb, D, Cd.	356.2	7	7	33	20	13	..	..	..	..	..	..
228	Danduabilortup		466.8			No Population								
229	Maidhalipathar		406.5											
230	Tengaguri	R, Pw, Wb, D.	493.5	12	12	59	30	29	3	3	27	26	6	..
231	Hekenamara		592.0			No Population								
232	Charaihagi	R, H, S, Wb, Cd.	420.4	24	24	152	83	69	23	21	53	46	25	1
233	Ganamara No. 1	R, P, S, Wb, D, Cd.	565.9	41	41	194	104	90	94	82	..	..	41	6
234	Ganamara No. 2	R, P, S, Wb, D, Cd.	426.1	38	38	188	95	93	4	3	25	25	38	7
235	Bakarichapari	R, P, S, Wb, D, Cd.	520.4	88	88	219	115	104	..	..	..	..	24	2
236	Kalbari	R, P, S, Wb, D, Cd.	627.3	86	86	486	235	251	..	..	101	119	103	13
237	Silsako		382.4	51	51	273	143	130	46	41	..	..	106	20
238	Sukhnagog		176.6	42	42	218	114	104	..	..	59	56	49	4
239	Tetilipahar N.C.	R, P, Pw, D, V, Cd.	1,108.2	6	6	47	24	23	..	..	4	2	4	2
240	Tetelia	R, P, S, D, V, Cd.	248.2	45	45	281	139	142	9	10	10	20	63	15
241	Bardalpathar	R, S, Wb, D, V, Cd.	729.3	9	9	38	20	18	..	..	..	..	4	..
242	Jurgaon	R, P, S, Wb, D, V, Cd.	644.6	22	22	139	68	71	..	..	9	8	39	16
243	Hatiholonga	R, P, Kw, Wb, D, V, Cd.	473.6	6	6	18	11	7	..	..	..	..	4	..
244	Karaibari	R, S, Wb, D, V, Cd.	299.4	12	12	85	41	44	..	..	..	..	16	..
245	Meruagaon	R, P, S, Wb, D, V, Cd.	457.7	32	32	166	81	85	..	..	81	85	22	3
246	Jerengabari	R, P, Pw, Wb, D, V, Cd.	602.1	33	33	166	83	83	..	..	51	53	20	4

MARIGAON (5)

Total workers (I—IX)		WORKERS I		II		III		IV		V		VI		VII		VIII		IX		X Non-workers		Sl. No.
M	F	M	F	M	F	M	F	M	F	M	F	M	F	M	F	M	F	M	F	M	F	
16	17	18	19	20	21	22	23	24	25	26	27	28	29	30	31	32	33	34	35	36	37	1
396	366	395	331	..	..	..	..	..	35	..	..	..	..	..	..	1	..	..	..	327	351	202
656	626	608	452	..	..	..	..	3	172	1	..	2	..	7	..	5	..	30	2	716	708	203
488	559	462	532	11	..	..	..	..	26	..	..	5	..	2	..	..	..	8	1	494	522	204
269	265	236	258	4	..	4	..	7	7	1	..	..	..	5	..	..	..	12	..	255	241	205
352	347	350	347	..	..	..	..	..	..	..	..	..	..	..	..	..	..	2	..	268	247	206
141	139	133	..	..	..	..	..	..	139	..	..	..	..	2	..	..	..	6	..	167	139	207
13	13	13	..	..	..	..	..	..	13	..	..	..	..	..	..	..	..	..	..	12	10	208
302	232	276	62	..	..	..	..	6	169	..	..	..	..	1	..	1	..	18	1	337	313	209
227	154	208	1	..	..	..	..	4	153	..	..	..	..	..	..	..	..	15	..	223	320	210
679	333	629	243	1	..	..	..	..	88	..	..	1	..	10	..	3	..	35	2	690	977	211
28	31	26	25	..	..	..	..	..	6	..	..	..	..	..	..	..	..	2	..	34	44	212
461	325	352	69	14	5	..	..	36	250	5	..	1	..	29	1	4	..	20	..	455	541	213
36	13	..	..	..	..	..	..	..	..	..	..	36	13	..	..	..	..	..	..	1	5	214
119	100	113	100	..	..	1	..	1	..	1	..	1	..	..	..	..	..	2	..	109	109	215
20	..	20	..	..	..	..	..	..	..	..	..	..	..	..	..	..	..	..	..	..	..	216
28	26	28	26	..	..	..	..	..	..	..	..	..	..	..	..	..	..	..	..	24	22	217
..	..	..	..	..	..	..	..	..	..	..	..	..	..	..	..	..	..	..	..	3	2	218
																						219
395	203	308	179	..	..	..	..	3	15	10	..	6	..	28	3	2	..	38	6	315	478	220
765	104	623	97	..	..	..	..	1	..	32	..	10	..	54	..	9	..	36	7	647	1,121	221
350	187	341	50	2	..	..	..	..	136	1	..	1	..	3	..	..	..	2	1	288	333	222
257	244	257	220	..	..	..	..	..	24	..	..	..	..	..	..	..	..	..	..	180	178	223
25	22	25	22	..	..	..	..	..	..	..	..	..	..	..	..	..	..	..	..	17	15	224
93	74	93	74	..	..	..	..	..	..	..	..	..	..	..	..	..	..	..	..	59	99	225
229	208	215	181	..	..	..	..	7	26	1	..	..	..	1	..	2	..	3	1	195	172	226
7	1	7	1	..	..	..	..	..	..	..	..	..	..	..	..	..	..	..	..	13	12	227
																						228
																						229
15	17	15	17	..	..	..	..	..	..	..	..	..	..	..	..	..	..	..	..	15	12	230
																						231
48	43	44	42	..	..	..	..	..	..	2	..	..	..	..	..	..	..	2	1	35	26	232
54	47	51	45	..	..	1	..	1	2	..	..	..	..	1	..	..	..	..	..	50	43	233
51	44	47	24	..	..	..	..	..	20	..	..	2	..	2	..	..	..	..	..	44	49	234
62	10	59	3	..	..	..	..	3	7	..	..	..	..	..	..	..	..	..	..	53	94	235
124	120	123	114	..	..	1	..	..	6	..	..	..	..	..	..	..	..	..	..	111	131	236
69	66	68	64	..	..	..	..	..	2	..	..	..	..	..	..	..	..	1	..	74	64	237
65	57	51	48	..	..	13	9	..	..	..	..	..	..	..	..	..	..	1	..	49	47	238
14	9	12	..	..	..	..	..	..	9	..	..	1	..	..	..	..	..	1	..	10	14	239
77	77	73	..	..	..	..	..	..	77	..	..	..	..	1	..	..	..	3	..	62	65	240
10	9	10	..	..	..	..	..	..	9	..	..	..	..	..	..	..	..	..	..	10	9	241
42	37	41	..	..	..	..	..	..	37	..	..	..	..	..	..	..	..	1	..	26	34	242
11	3	11	..	..	..	..	..	..	3	..	..	..	..	..	..	..	..	..	..	..	4	243
24	23	24	..	..	..	..	..	..	23	..	..	.	..	..	..	..	..	..	..	17	21	244
44	44	43	..	..	..	..	..	..	44	..	..	..	..	..	..	..	..	1	..	37	41	245
45	44	42	..	..	..	..	..	..	44	..	..	..	..	1	..	2	..	..	..	33	39	246

Serial No.	Name of Village/Town/ Ward/Enumerator's Block	Amenities	Area in Acres	Occupied Residential Houses		Total Population			Scheduled Castes		Scheduled Tribes		Literate and Educated Persons	
				No. of Houses	No. of Households	P	M	F	M	F	M	F	M	F
1	2	3	4	5	6	7	8	9	10	11	12	13	14	15
247	Azarbari	R, Edbo, S, D, Cd.	398.0	24	24	130	74	56	5	6	..	..	33	12
248	Oabari	R, P, S, Wb, D, Cd.	475.9	48	48	307	158	149	19	8	33	22	83	27
249	Damal	R, P, S, Wb, D, Cd.	658.3	58	58	462	234	228	..	..	173	186	170	38
250	Athubhanga		652.5	No Population										
251	Karaiguri	R, P, S, Wb, D, V, Cd.	578.6	29	29	242	119	123	2	2	117	121	49	9
252	Dhutipadumpukhuri	R, S, Wb, D, Cd.	270.4	17	17	139	67	72	..	..	67	72	29	3
253	Mikirbori	R, P, S, Wb, D, Cd.	616.1	42	42	224	116	108	1	..	114	103	44	11
254	Chamuadiksang	R, Tk, Wb, D, Cd.	535.1	9	9	24	15	9	..	..	9	4	8	..
255	Sonaboripathar		495.0	No Population										
256	Sonaborigaon	R, P, S, Wb, D, V, Cd.	696.9	58	58	422	233	189	..	..	96	83	105	6
257	Barboripathar	R, P, Pw, Wb, D.	616.6	40	40	347	175	172	..	..	159	162	74	24
258	Mantabori	R, P, Pw, D, Cd.	512.8	42	42	291	153	138	45	47	39	39	74	15
259	Dongabori	R, S, Wb, D, Cd.	477.1	61	61	413	204	209	43	34	72	84	91	51
260	Bangalbori	R, S, Wb, D, Cd.	461.4	32	32	205	104	101	..	..	66	66	61	27
261	Natunbangalbori	R, P, S, Wb, D, Cd.	833.5	67	67	351	202	149	3	2	..	..	96	28
262	Baghjap	R, P, S, Wb, D, V, Cd.	479.8	120	120	474	274	200	..	..	5	3	138	43
263	Jonbil	R, Pw, Wb, Hos, V, Cd.	540.5	21	21	84	51	33	..	..	22	6	7	..
264	Khutradal	R, Tk, Wb, D, Cd.	451.7	40	40	200	99	101	..	..	..	..	33	12
265	Bangalbori Jungle	R, Pw, Wb, D, Cd.	380.3	87	87	364	193	171	10	9	..	..	34	1
266	Dangabori Jungle	R, Pw, D, Cd.	516.2	148	148	492	257	235	110	83	..	..	44	8
267	Guripathar		655.4	No Population										
268	Kuyadal	R, Pw, Wb, D, Cd.	796.5	18	18	98	55	43	8	..	..	..	16	4
269	Ch komako	R, P, Kw, Wb, D, Cd.	482.2	175	175	487	260	227	66	67	..	..	41	9
270	Kakar Jalah	R, Kw, Db, D, Cd.	280.9	48	48	268	137	131	..	..	..	..	27	6
271	Che imari	R, P, Pw, Wb, D, Cd.	381.5	64	64	404	210	194	13	13	..	..	23	13
272	Bangthaigaon	R, P, S, Wb, D, Cd.	619.1	54	54	367	201	166	..	..	171	149	80	39
273	Kharbil Jungle		450.2	Merged with village No 272										
274	Dayang	R, P, S, Wb, D, Cd.	446.1	52	52	270	138	132	..	..	..	..	85	35
275	Paliguri	R, P, Pw, Wb, D,	595.1	51	51	299	158	141	30	32	46	41	74	23
276	Pachim Nagaon	R, Rly, M, Kw, Wb, Hos, Cd.	620.1	127	127	825	417	408	..	..	290	273	130	29
277	Nakholagaon	R, Rly, So, M, S, Db, Hos, V, Cd.	820.6	396	396	2,229	1,276	953	100	92	493	316	575	207
278	Nakholapahar		101.7	No Population										
279	Nakholagrant	R, Rly, P, Pw, Db, Hos, V, Cd.	611.1	386	386	2,053	1,206	847	71	52	..	..	513	165
280	Ghunusahabi	R, P, Kw, D.	387.0	25	25	98	56	42	30	21	2	..	24	6
281	Tegheria	R, P, Pw, Db, D, V, Cd.	963.1	75	75	426	220	206	1	..	38	31	89	34
282	Bangfar	R, P, S, Wb, D, Cd.	876.7	65	65	373	179	194	..	..	179	194	60	13
283	Hatiamukhgaon	R, P, S, D, Cd.	799.7	84	84	451	239	212	22	13	81	86	130	43
284	Hatiamukh Jungle	R, Riv, D, Cd.	533.3	2	2	13	7	6	..	..	..	..	5	2
285	Thakurdova	R, Rly, P, Pw, Cd.	314.5	22	22	106	64	42	64	42	..	..	32	10
286	Udmari Jungle	R, Rly, S, Cd.	570.5	70	70	316	176	140	6	7	56	47	35	19
287	Deosal	R, Rly, P, S, Db, D, Cd.	442.9	108	108	544	274	270	..	..	202	208	81	18
288	Bihita	R, Rly, Riv, Cd.	519.5	1	1	7	3	4	..	..	..	..	..	..
289	Naldhara P.G.R	R, Riv, Db, D, Cd.	787.8	4	4	17	12	5	..	..	..	..	..	..
290	Sindhisar	R, Kw, Db, Hos, Cd.	713.2	70	70	205	116	89	17	5	3	3	47	9
291	Rawmari	R, Kw, Db, D, Cd.	176.9	58	58	251	138	113	..	..	65	63	33	7
292	Bamungaon	R, P, S, Wb, Hos, V, Cd.	430.5	91	91	488	294	194	1	..	5	1	158	58
293	Garangkuchi	R, Kw, Wb, D, V, Cd.	208.5	11	11	59	31	28	..	..	4	8	8	1

MARIGAON (5)

Total workers (I—IX)		WORKERS I		II		III		IV		V		VI		VII		VIII		IX		X Non-workers		Sl. No.
M	F	M	F	M	F	M	F	M	F	M	F	M	F	M	F	M	F	M	F	M	F	
16	17	18	19	20	21	22	23	24	25	26	27	28	29	30	31	32	33	34	35	36	37	1
37	27	35	2	..	..	..	..	..	25	1	..	..	..	..	..	..	..	1	..	37	29	247
85	77	74	74	2	..	2	..	..	3	1	..	..	..	..	..	2	..	4	..	73	72	248
122	113	116	89	2	2	..	..	..	22	..	..	1	..	..	..	1	..	2	..	112	115	249
																						250
59	55	57	45	..	..	..	..	1	10	..	..	..	..	..	..	1	..	..	..	60	68	251
34	43	30	32	..	..	..	..	..	11	..	..	..	..	..	..	4	..	..	..	33	29	252
71	52	66	42	..	..	..	..	..	10	..	..	..	..	..	..	2	..	3	..	45	56	253
13	4	13	4	..	..	..	..	..	..	..	..	..	..	..	..	..	..	..	..	2	5	254
																						255
130	116	128	109	..	..	..	..	..	7	..	..	..	..	..	..	1	..	1	..	103	73	256
97	92	94	92	..	..	..	..	..	..	..	..	..	..	..	..	1	..	2	..	78	80	257
86	80	84	72	..	..	..	..	..	8	..	..	..	..	..	..	1	..	1	..	67	58	258
108	71	102	65	2	..	..	..	1	5	..	..	..	..	1	..	..	..	2	1	96	138	259
43	50	43	48	..	..	..	..	..	2	..	..	..	..	..	..	..	..	..	..	61	51	260
107	60	106	37	..	..	..	..	..	23	..	..	..	..	..	..	..	..	1	..	95	89	261
195	92	103	78	11	..	1	..	..	8	5	..	57	..	5	3	2	..	11	3	79	108	262
40	5	37	5	3	..	..	..	..	..	..	..	..	..	..	..	..	..	..	..	11	28	263
56	5	52	4	2	..	1	..	..	..	..	..	..	..	1	1	..	..	..	..	43	96	264
114	..	102	..	9	..	2	..	..	..	..	..	..	..	1	..	..	..	..	..	79	171	265
150	1	134	1	10	..	..	..	1	..	..	..	..	..	4	..	1	..	..	..	107	234	266
																						267
37	18	33	9	1	..	..	..	..	9	2	..	..	..	1	..	..	..	..	..	18	25	268
142	7	117	7	13	..	..	..	..	..	..	..	12	..	..	..	..	..	..	..	118	220	269
78	2	65	2	10	..	..	..	..	..	2	..	..	..	..	..	..	..	1	..	59	129	270
130	1	91	..	35	..	1	..	..	1	1	..	1	..	1	..	..	..	..	..	80	193	271
79	89	76	50	..	..	..	..	..	39	..	..	..	..	..	..	..	..	3	..	122	77	272
																						273
67	59	65	52	..	..	..	..	..	7	..	..	..	..	..	..	..	..	2	..	71	73	274
84	31	74	31	5	..	..	..	..	..	3	..	..	..	1	..	..	..	1	..	74	110	275
230	172	210	31	..	..	..	..	..	138	..	..	..	..	9	2	1	..	10	1	187	236	276
771	335	360	186	25	2	16	1	20	128	35	1	12	1	166	14	44	1	93	1	505	618	277
																						278
796	84	286	7	7	..	10	1	16	26	108	..	122	5	82	4	69	25	96	16	410	763	279
38	4	12	1	2	..	1	..	3	..	..	..	..	..	..	..	1	..	19	3	18	38	280
138	69	114	66	7	..	..	..	..	..	..	..	..	..	..	..	1	..	16	3	82	137	281
67	70	67	..	..	..	..	..	..	70	..	..	..	..	..	..	..	..	..	..	112	124	282
85	81	82	..	..	..	..	..	..	81	..	..	..	..	..	..	..	..	3	..	154	131	283
3	2	2	..	..	..	..	..	..	2	..	..	..	..	..	..	..	..	1	..	4	4	284
19	26	19	..	..	..	..	..	..	26	..	..	..	..	..	..	..	..	..	..	45	16	285
91	34	89	..	..	..	..	..	..	34	..	..	..	..	2	..	..	..	..	..	85	106	286
139	54	134	4	2	..	1	..	..	50	..	..	..	..	1	..	..	..	1	..	135	216	287
..	..	..	..	..	..	..	..	..	..	..	..	..	..	..	..	..	..	..	..	3	4	288
9	..	..	..	..	..	6	..	..	..	..	..	..	..	3	..	..	..	..	..	3	5	889
68	8	46	..	7	..	..	..	..	..	..	..	..	..	..	..	2	..	13	8	48	81	290
67	1	58	..	5	..	..	..	..	..	..	..	..	..	..	..	..	..	4	1	71	112	291
167	12	92	8	3	3	64	..	..	..	..		8	..	..	..	..	..	..	1	127	182	292
12	12	12	3	..	..	..	..	..	9	..	..	..	..	..	..	..	..	..	..	19	16	293

Name of Police Station

Serial No.	Name of Village/Town/Ward/Enumerator's Block	Amenities	Area in Acres	Occupied Residential Houses: No. of Houses	Occupied Residential Houses: No. of Households	Total Population: P	Total Population: M	Total Population: F	Scheduled Castes: M	Scheduled Castes: F	Scheduled Tribes: M	Scheduled Tribes: F	Literate and Educated Persons: M	Literate and Educated Persons: F
1	2	3	4	5	6	7	8	9	10	11	12	13	14	15
294	Gayelia	R, Kw, Wb, D, V, Cd.	366.2	22	22	135	74	61	..	..	74	61	10	1
295	Kamarkuchi	R, P, S, Wb, D, V, Cd.	434.3	21	21	109	59	50	..	..	59	50	8	1
296	Pakalihabi	R, Tk, Wb, D, V, Cd.	444.4	33	33	209	99	110	..	..	99	110	2	..
297	Kuthari	R, P, Kw, Wb, D, V, Cd.	1,262.8	30	30	176	95	81	..	..	..	..	67	6
298	Sonaikuchi	R, P, Pw, Cd.	207.4	17	17	84	46	38	..	..	46	38	11	4
299	Kamarkuchi N.C.	R, Kw, Wb, D, V, Cd.	367.4	29	29	85	46	39	..	..	46	39	11	..
300	Naramari Gariagaon		526.3		No Population									
301	Naramari	R, P, S, Wb, D, V, Cd.	702.1	75	75	391	196	195	..	..	7	11	62	11
302	Belaguri	R, Kw, Wb, D, Cd.	952.6	10	10	68	35	33	..	..	24	20	4	..
303	Patrabori	R, P, S, Db, D, Cd.	643.0	81	81	360	192	168	..	..	..	..	119	27
304	Dihukisamaka	R, S, Wb, D, V, Cd.	577.1	11	11	15	6	9	..	..	6	9	1	2
305	Thekheraguri	R, S, Wb, D, V, Cd.	475.1	48	48	273	129	144	46	56	81	90	60	23
306	Morikolong	R, P, S, Wb, D, V, Cd.	706.3	86	86	395	201	194	132	131	22	20	110	28
307	Rupaibori	R, Rly, S, Wb, D, Cd.	1,031.9	220	220	1,397	724	673	77	79	79	88	324	143
308	Mikir Gaon	R, Rly, H, S, Wb, D, Cd.	912.4	183	183	928	485	443	..	..	6	..	182	45
309	Telahi Bhakat Gaon	R, M, S, Wb, D, V, Cd.	644.7	284	284	1,649	823	826	107	102	..	..	492	209
310	Bangal Dhara	R, Rly, Edbo, P, S, Wb, D, Cd.	1,088.4	172	172	1,512	825	687	147	123	267	241	427	126
311	Bihubori	R, Rly, P, S, Wb, D, Cd.	913.4	182	182	1,222	623	599	72	88	358	361	295	85
312	Bangal Patty Dharamtul	R, P, S, Wb, D, Cd.	518.7	48	48	259	138	121	120	106	..	..	59	10
313	North Dharamtul	R, M, S, Wb, D, Cd.	547.7	49	49	351	190	161	5	3	103	95	96	22
314	Dakhin Dharamtul	R, S, Db, Cd.	471.8	203	203	930	498	432	471	421	3	..	185	50
315	Silbheta		465.5		No Population									
316	Muladhari		131.8	52	52	228	121	107	..	..	..	..	13	5
317	Basundhari Jalah	R, P, Tk, D, V, Cd.	923.0	50	50	259	134	125	..	..	..	..	9	..
318	Mati Parbat	R, S, Cd.	375.0	20	20	100	53	47	..	..	..	..	3	..
319	Block No 8 P. G. R.	R, Tk, Cd.	298.3		Merged with Village No 317									
320	Sarumati Parbat P. G. R.		324.7		No Population									
321	Barjalal P. G. R.		560.0											
322	Barkhal	R, P, Kw, Wb, Hos, Cd.	401.7	25	25	120	64	56	..	..	35	29	4	1
323	Palahguri	R, P, S, Wb, D, V, Cd.	598.0	38	38	305	151	154	..	..	99	93	21	10
324	Barati		388.5		No Population									
325	Marabari Ulukuchi	R, Pw, D, Cd.	525.6	52	52	288	158	130	46	41	84	62	47	5
326	Amguri N. C.	R, Kw, D, V, Cd.		23	23	177	102	75	56	42	33	22	22	7
327	Nelly N. C.	R, Pw, Wb, D, V, Cd.		56	56	227	117	110	..	..	..	..	56	29
328	Barpayak Bangali Gaon	R, M, S, Wb, D V, Cd.	82.8	59	59	252	139	113	42	33	5	2	80	45
329	Barpayak	R, Edbo, M, Pw, Wb, D, V, Cd.	653.9	131	131	764	417	347	100	82	172	152	130	47
330	Dahatlhabi		409.3		No Population									
331	Bhagdovababi	P, Tk, Wb, D, Cd.	420.5	27	27	82	52	30	..	..	..	..	5	3
332	Dahatimokaria	R, Pw, Wb, D, Cd.	631.9	85	85	414	208	206	..	..	208	206	46	23
333	Mokaria	R, Kw, Wb, D, V, Cd.	71.8	9	9	58	29	29	..	..	..	..	16	7
334	Banpara Darapani	R, P, Pw, Wb, D, V, Cd.	209.3	65	65	544	299	245	..	..	240	200	117	41
335	Niz Khola	R, P, Pw, Wb, D, V, Cd.	407.2	55	55	366	207	159	..	..	205	153	65	10
336	Bhogdovabil	R, Kw, Wb, D, V, Cd.	368.6	12	12	59	30	29	..	..	..	..	5	7

MARIGAON (5)

Total workers (I—IX)		WORKERS I		II		III		IV		V		VI		VII		VIII		IX		X Non-workers		Sl. No.
M	F	M	F	M	F	M	F	M	F	M	F	M	F	M	F	M	F	M	F	M	F	
16	17	18	19	20	21	22	23	24	25	26	27	28	29	30	31	32	33	34	35	36	37	1
39	38	39	8	..	..	..	..	..	30	..	..	..	..	..	..	..	..	..	..	35	35	294
24	30	24	..	..	..	..	..	..	30	..	..	..	..	..	..	..	..	..	..	35	20	295
37	59	37	3	..	..	..	..	..	56	..	..	..	..	..	..	..	..	..	..	62	51	296
44	44	44	..	..	..	..	..	..	44	..	..	..	..	..	..	..	..	..	..	51	37	297
28	20	28	..	..	..	..	..	..	20	..	..	..	..	..	..	..	..	..	..	18	18	298
16	21	16	..	..	..	..	..	..	21	..	..	..	..	..	..	..	..	..	..	30	18	299
																						300
114	41	111	39	..	..	..	..	..	2	1	..	2	..	..	..	..	..	..	..	82	154	301
16	14	16	14	..	..	..	..	..	..	..	..	..	..	..	..	..	..	..	..	19	19	302
107	67	103	30	3	..	..	..	..	37	..	..	..	..	1	..	..	..	..	..	85	101	303
5	5	5	5	..	..	..	..	..	..	..	..	..	..	..	..	..	..	..	..	1	4	304
74	69	71	10	2	..	..	..	..	59	..	..	..	..	..	..	..	..	1	..	55	75	305
112	98	112	96	..	..	..	..	..	2	..	..	..	..	..	..	..	..	..	..	89	96	306
347	301	322	276	..	..	..	..	2	25	..	..	4	..	4	..	2	..	13	..	377	372	307
252	82	219	63	8	..	..	..	..	12	..	..	..	..	7	..	..	..	18	7	233	361	308
419	254	388	150	4	..	5	..	..	102	..	..	2	..	3	..	..	..	17	2	404	572	309
448	417	395	387	2	..	..	..	..	18	..	..	6	..	5	9	9	..	31	3	377	270	310
330	297	266	267	4	1	..	..	8	25	3	..	3	..	7	..	22	..	17	4	293	302	311
74	64	67	51	1	..	..	..	..	13	..	..	..	..	3	..	..	..	3	..	64	57	312
118	91	98	89	..	..	..	..	2	2	..	..	3	..	2	..	4	..	9	..	72	70	313
292	178	224	169	27	8	8	..	2	1	20	..	..	..	10	..	..	..	1	..	206	254	314
																						315
79	1	79	1	..	..	..	..	..	..	..	..	..	..	..	..	..	..	..	..	42	106	316
93	35	93	35	..	..	..	..	..	..	..	..	..	..	..	..	..	..	..	..	41	90	317
32	6	32	6	..	..	..	..	..	..	..	..	..	..	..	..	..	..	..	..	21	41	318
																						319
																						320
																						321
36	26	36	22	..	..	..	..	..	4	..	..	..	..	..	..	..	..	..	..	28	30	322
76	59	76	31	..	..	..	..	..	28	..	..	..	..	..	..	..	..	..	..	75	95	323
																						324
90	69	87	69	..	..	..	..	..	..	1	..	..	..	..	..	..	..	2	..	68	61	325
52	43	48	41	..	..	..	..	..	2	..	..	..	..	3	..	..	..	1	..	50	32	326
82	2	81	2	..	..	..	..	1	..	..	..	..	..	..	..	..	..	..	..	35	108	327
84	14	29	7	..	..	5	..	2	..	6	..	2	..	13	..	..	..	27	7	55	99	328
225	128	148	80	9	3	..	..	..	22	..	..	15	1	10	..	..	..	43	22	192	219	329
																						330
26	6	23	6	3	..	..	..	..	..	..	..	..	..	..	..	..	..	..	..	26	24	331
113	117	113	97	..	..	..	..	..	20	..	..	..	..	..	..	..	..	..	..	95	89	332
16	13	14	13	..	..	..	..	1	..	..	..	..	..	..	..	..	..	1	..	13	16	333
180	147	173	128	..	..	1	..	..	19	..	..	3	..	1	..	..	..	2	..	119	98	334
99	93	97	75	..	..	..	..	1	18	..	..	..	..	1	..	..	..	..	..	108	66	335
22	13	22	13	..	..	..	..	..	..	..	..	..	..	..	..	..	..	..	..	8	16	336

Serial No.	Name of Village/Town/Ward/Enumerator's Block	Amenities	Area in Acres	Occupied Residential Houses: No. of Houses	Occupied Residential Houses: No. of Households	Total Population: P	Total Population: M	Total Population: F	Scheduled Castes: M	Scheduled Castes: F	Scheduled Tribes: M	Scheduled Tribes: F	Literate and Educated Persons: M	Literate and Educated Persons: F
1	2	3	4	5	6	7	8	9	10	11	12	13	14	15
337	Khola Pathar	R, S, Db, D, V, Cd.	475.8	18	18	112	60	52	..	..	29	21	29	8
338	Alichinga	R, P, S, Db, Hos, V, Cd.	690.8	78	78	438	243	195	114	100	..	..	115	45
339	Hatkhola	R, S, Db, D, V, Cd.	836.4	70	70	340	176	164	169	159	..	..	112	31
340	Domgaon	R, Pw, Wb, D, V, Cd.	497.3	7	7	25	16	9	16	9	..	..	3	..
341	Bhalukaguri	R, P, S, Wb, D, V, Cd.	481.7	50	50	297	158	139	158	139	..	..	47	14
342	Doroladubi	R, S, Wb, D, V, Cd.	669.4	13	13	79	38	41	..	..	38	41	11	..
343	Chipiri		762.3	No Population										
344	Ahatguri	R, Edbo, M, S, Wb, D, Cd.	572.4	203	203	1,171	621	550	473	435	..	..	196	21
345	Marakalang	R, P, Pw, Wb, D, V, Cd.	747.8	1	1	7	3	4	3	4	..	..	1	..
346	Thekera	R, S, Wb, D, Cd.	574.4	8	8	44	24	20	..	..	24	20	10	1
347	Ahatguri Pam		198.5	No Population										
348	Charul Pam		354.4											
349	Barbari	R, Tk, Wb, D, V, Cd.	1,141.9	38	38	118	61	57	61	57	..	..	8	..
350	Khowapar		138.8	No Population										
351	Dapanibori	R, P, Kw, Wb, Hos, Cd.	532.9	56	56	295	156	139	10	13	13	5	105	11
352	Baragog	R, S, Wb, D, V, Cd.	59.6	18	18	111	63	48	..	..	..	..	57	1
	TEA ESTATE													
1	Killing Valley			187	187	525	283	242	3	2	..	..	133	13
2	Nellei			46	46	300	157	143	..	..	..	..	9	6
3	Ouguri			36	36	182	93	89	5	2	..	..	20	8
	RAILWAY COLONY													
1	Chaparmukh			38	38	48	27	21	..	..	..	..	12	4
2	Ajuri			1	1	7	7	..	..	..	..	..	6	..
3	Dharamtul			12	12	60	31	29	4	3	..	..	6	4
4	Jagi Road Station			134	134	526	314	212	84	57	..	..	146	61
5	Jagi Road			14	14	70	53	17	22	12	..	..	2	..
6	Chaparmukh			22	22	25	19	6	..	..	..	..	7	..
	FOREST VILLAGE													
1	Sindhikhar			23	23	115	67	48	..	..	66	48	..	..
2	Oujari			22	22	122	58	64	..	..	..	..	2	..
3	Silchang			15	15	77	41	36	..	..	41	36	3	..
4	Ghegra			35	35	174	81	93	..	..	81	93	18	8
5	Amsai			18	18	88	47	41	..	..	47	41	3	..
6	Bargaon			10	10	51	27	24	..	..	..	..	2	..
7	Hatigarh			7	7	36	20	16	..	..	1	..	2	..
8	Sibakunda			11	11	54	23	31	..	..	..	..	..	..

MARIGAON (5)

Total workers (I—IX)		WORKERS I		II		III		IV		V		VI		VII		VIII		IX		X Non-workers		Sl. No.
M	F	M	F	M	F	M	F	M	F	M	F	M	F	M	F	M	F	M	F	M	F	
16	17	18	19	20	21	22	23	24	25	26	27	28	29	30	31	32	33	34	35	36	37	1
35	38	34	38	..	..	1	..	..	..	..	..	..	..	..	..	..	..	..	..	25	14	337
144	79	143	79	..	..	..	..	..	..	..	..	..	..	..	..	..	..	1	..	99	116	338
107	90	98	88	..	..	..	..	5	1	..	..	..	..	1	..	..	..	3	1	69	74	339
10	1	10	1	..	..	..	..	..	..	..	..	..	..	..	..	..	..	..	..	6	8	340
84	47	82	4	..	..	..	..	..	43	..	..	..	..	2	..	..	..	..	..	74	92	341
19	17	18	17	..	..	..	..	..	..	..	..	..	..	..	..	..	..	1	..	19	24	342
																						343
332	157	324	92	4	..	..	..	..	65	..	..	..	..	..	..	1	..	3	..	289	393	344
2	2	2	1	..	..	..	..	..	1	..	..	..	..	..	..	..	..	..	..	1	2	345
11	9	11	9	..	..	..	..	..	..	..	..	..	..	..	..	..	..	..	..	13	11	346
																						347
																						348
47	3	45	2	..	..	..	..	2	1	..	..	..	..	..	..	..	..	..	..	14	54	349
																						350
98	77	96	72	..	..	..	..	..	5	..	..	..	..	..	..	..	..	2	..	58	62	351
38	21	25	4	..	..	13	16	..	1	..	..	..	..	..	..	..	..	..	..	25	27	352
180	111	14	3	..	..	156	107	1	..	2	..	..	..	..	1	2	..	5	..	103	131	1
95	64	9	6	..	..	84	58	..	..	..	..	..	..	1	..	1	..	..	..	62	79	2
47	36	6	2	..	..	38	34	..	..	..	..	..	..	2	..	..	..	1	..	46	53	3
12	..	..	..	..	..	..	..	..	..	..	..	..	..	..	..	12	..	..	..	15	21	1
7	..	..	..	..	..	..	..	..	..	..	..	..	..	..	..	7	..	..	..	..	..	2
12	..	..	..	..	..	..	..	..	..	..	..	..	..	..	..	12	..	..	..	19	29	3
181	2	..	..	..	..	4	..	..	..	2	..	22	..	6	..	145	1	2	1	133	210	4
47	1	..	..	..	..	..	..	..	..	1	..	38	1	..	..	6	..	2	..	6	16	5
13	..	..	..	..	..	..	..	..	..	..	..	..	..	..	..	13	..	..	..	6	6	6
49	35	49	35	..	..	..	..	..	..	..	..	..	..	..	..	..	..	..	..	18	13	1
32	7	32	1	..	..	..	..	..	6	..	..	..	..	..	..	..	..	..	..	26	57	2
28	10	28	..	..	..	..	..	..	10	..	..	..	..	..	..	..	..	..	..	13	26	3
46	40	44	..	1	..	..	..	..	40	..	..	..	..	..	..	..	..	1	..	35	53	4
33	6	33	..	..	..	..	..	..	6	..	..	..	..	..	..	..	..	..	..	14	35	5
11	2	11	..	..	..	..	..	..	2	..	..	..	..	..	..	..	..	..	..	16	22	6
15	..	14	..	..	..	1	..	..	..	..	..	..	..	..	..	..	..	..	..	5	16	7
14	..	14	..	..	..	..	..	..	..	..	..	..	..	..	..	..	..	..	..	9	31	8

Serial No.	Name of Village/Town/ Ward/Enumerator's Block	Amenities	Area in Acres	Occupied Residential Houses: No. of Houses	Occupied Residential Houses: No. of Households	Total Population: P	Total Population: M	Total Population: F	Scheduled Castes: M	Scheduled Castes: F	Scheduled Tribes: M	Scheduled Tribes: F	Literate and Educated Persons: M	Literate and Educated Persons: F
1	2	3	4	5	6	7	8	9	10	11	12	13	14	15
	Raha P.S.	Total	178.2 (Sq. miles)	18,326	18,326	101,805	53,481	48,324	7,507	7,202	8,518	8,384	23,399	9,344
1	Mikir Gaon	R, M, S, Wb, D, Cd.	1,075.2	210	210	1,108	574	534	4	3	165	160	139	37
2	Patuakata	R, P, S, Wb, D, V, Cd.	902.4	91	91	607	319	288	65	52	15	12	103	37
3	Kolmowbari	R, P, S, Wb, D, Cd.	480.0	193	193	868	473	395	..	..	..	..	173	33
4	Thengsali	R, P, Pw, Wb, D, V, Cd.	832.0	213	213	1,257	676	581	..	..	..	..	237	45
5	Tarajan	R, P, S, Wb, D, Cd.	601.6	42	42	97	43	54	..	..	..	..	1	..
6	Garmari	R, P, S, Wb, D, Cd.	627.2	111	111	654	368	286	..	..	45	26	17	1
7	Barchakabaha	R, P, S, Db, D, V, Cd.	512.0	138	138	926	482	444	..	..	41	43	106	14
8	Majar Bari	R, P, S, Db, D, V, Cd.	512.0	102	102	730	393	337	..	..	..	..	172	49
9	Baramara Pathar	R, P, Pw, Wb, D, V, Cd.	454.4	24	24	168	96	72	..	..	..	..	38	10
10	Jaluguti	R, H, S, Wb, D, V.	435.2	346	346	1,842	1,008	834	..	..	60	61	480	130
11	Tokona Bari	R, P, S, Wb, Hos, Cd.	518.4	251	251	1,306	750	556	207	158	60	45	388	158
12	Rohdhala	R, P, S, Wb, D, Cd.	544.0	123	123	770	398	372	..	..	..	..	148	57
13	Kachadhara Satgaon	R, P, Pw, Wb, D, V, Cd.	473.6	88	88	427	204	223	196	220	..	..	132	54
14	Barbhagia	R, P, Pw, Wb, D, V, Cd.	454.4	242	242	1,692	894	798	140	113	..	..	493	202
15	Charaibahi	R, P, Pw, Wb, D, V, Cd.	1,331.2	599	599	3,725	1,953	1,772	136	120	235	238	879	292
16	Kahibari	R, P, Pw, Wb, D, V, Cd.	1,094.4	198	198	1,482	752	730	..	..	235	238	324	86
17	Bhomoranguri	R, P, S, Wb, D, V, Cd.	883.2	106	106	741	369	372	..	..	175	180	124	28
18	Maj Gaon	R, Edbo, Pw, Wb, D, V, Cd.	640.0	27	27	184	103	81	..	..	31	26	49	9
18(a)	Gharabak Pathar			No Population										
19	Tarabari Gaon	R, P, Tk, Wb, D, V, Cd.	582.4	98	98	136	67	69	..	..	67	69	..	..
20	Tarabari Tup	R, P, S, Wb, D, V, Cd.	678.4	52	52	225	121	104	..	..	111	95	24	2
21	Nabhanga	R, S, Wb, D, V, Cd.	588.0	41	41	163	90	73	6	1	..	..	25	3
22	Kachadhara	R, P, S, Wb, D, V, Cd.	556.8	18	18	100	53	47	..	..	2	3	18	7
23	Jarabari	R, P, S, Wb, Hos, V, Cd.	684.8	245	245	1,522	782	740	222	196	129	128	401	118
24	Alikuchi	R, P, Pw, Wb, D, V, Cd.	723.2	207	207	1,330	733	597	123	116	170	174	363	90
25	Niz-Barapujia	R, Edbo, P, Wb, Hos, Cd.	..	683	683	4,257	2,155	2,102	203	185	826	819	924	281
26	Matharbari	R, P, S, Wb, Hos, V, Cd.	960.0	107	107	505	254	251	1	..	5	1	162	88
27	Besapati	R, P, S, Cd.	652.8	10	10	42	22	20	..	..	19	20	7	..
28	Manipur Tup	R, P, S, Cd.	908.8	164	164	722	383	339	..	..	61	44	114	25
29	Bhakatgaon	Edbo.	915.2	125	125	666	348	318	..	..	51	38	45	4
30	Khanajan		723.2	13	13	70	37	33	..	..	7	9	12	2
31	Balipara		1,408.0	43	43	295	141	154	..	..	90	109	53	29

RAHA (6)

Total workers (I—IX)		WORKERS I		II		III		IV		V		VI		VII		VIII		IX		X Non-workers		Sl. No.
M	F	M	F	M	F	M	F	M	F	M	F	M	F	M	F	M	F	M	F	M	F	
16	17	18	19	20	21	22	23	24	25	26	27	28	29	30	31	32	33	34	35	36	37	1
28,145	17,275	22,920	11,668	811	146	481	285	61	4,837	580	82	130	2	1,0:8	4	593	6	1,551	245	25,336	31,049	
283	230	274	135	4	..	..	..	..	95	2	..	..	..	..	..	1	..	2	..	291	304	1
214	92	146	80	16	2	..	..	..	9	12	..	..	..	17	..	..	..	23	1	105	196	2
223	39	209	..	10	..	..	..	..	39	..	..	..	..	3	..	..	..	1	..	250	356	3
347	45	274	1	52	6	..	..	1	38	2	..	1	..	6	..	..	..	11	..	329	536	4
37	..	37	..	..	..	..	..	..	..	..	..	..	..	..	..	..	..	..	..	6	54	5
254	4	252	4	..	..	..	..	..	..	..	..	..	..	..	..	..	..	2	..	114	282	6
220	90	195	..	3	..	..	..	..	90	2	..	14	..	1	..	..	..	5	..	262	354	7
201	144	190	35	2	..	..	..	..	109	..	..	..	..	2	..	1	..	6	..	192	193	8
46	15	42	..	..	..	..	..	..	15	..	..	..	..	..	..	..	..	4	..	50	57	9
549	44	303	4	12	..	..	..	..	40	45	..	5	..	120	..	3	..	61	..	459	790	10
437	264	267	11	..	..	18	..	6	235	38	5	10	..	59	1	2	..	37	12	313	292	11
232	74	196	7	9	..	1	..	1	66	12	..	..	..	2	..	1	..	10	1	166	298	12
128	83	83	29	..	..	..	..	1	54	2	..	..	..	39	..	..	..	3	..	76	140	13
440	399	385	48	..	..	..	..	21	346	9	..	1	..	6	..	..	..	18	5	454	399	14
944	732	830	132	7	..	..	..	7	591	11	..	..	..	16	..	..	..	73	9	1,009	1,040	15
397	434	380	215	..	..	..	..	..	219	..	..	..	..	1	..	4	..	12	..	355	296	16
194	167	137	60	57	3	..	..	..	102	..	..	..	..	..	..	..	..	..	2	175	205	17
65	25	63	21	1	..	..	..	..	4	..	..	..	..	..	..	..	..	1	..	38	56	18
46	46	46	38	..	..	..	..	..	8	..	..	..	..	..	..	..	..	..	..	21	23	18(a) 19
75	59	75	55	..	..	..	..	..	4	..	..	..	..	..	..	..	..	..	..	46	45	20
53	44	51	44	1	..	..	..	..	..	1	..	..	..	..	..	..	..	..	..	37	29	21
29	22	28	21	1	..	..	..	..	1	..	..	..	..	..	..	..	..	..	..	24	25	22
370	295	340	146	2	..	8	..	1	142	1	7	..	..	7	..	..	..	11	..	412	445	23
405	208	394	168	..	..	..	..	1	40	3	..	..	..	1	..	..	..	6	..	328	389	24
1,112	896	1,007	884	6	..	..	..	..	8	17	1	.	..	12	..	8	..	62	3	1,043	1,206	25
122	141	107	137	2	..	..	..	..	4	1	..	8	..	2	..	..	..	2	..	132	110	26
16	10	16	3	..	..	..	..	..	7	..	..	..	..	..	..	..	..	..	..	6	10	27
243	53	225	53	6	..	..	..	..	..	2	..	..	..	1	..	..	..	9	..	140	286	28
198	52	188	25	10	..	..	..	..	27	..	..	..	..	..	..	..	..	..	..	150	266	29
25	16	25	12	..	1	..	..	..	1	..	..	..	2	..	..	..	..	..	..	12	17	30
82	44	70	44	2	..	..	..	..	..	5	..	1	..	..	..	1	..	3	..	59	110	31

Serial No.	Name of Village/Town/Ward/Enumerator's Block	Amenities	Area in Acres	Occupied Residential Houses: No. of Houses	Occupied Residential Houses: No. of Households	Total Population: P	Total Population: M	Total Population: F	Scheduled Castes: M	Scheduled Castes: F	Scheduled Tribes: M	Scheduled Tribes: F	Literate and Educated Persons: M	Literate and Educated Persons: F
1	2	3	4	5	6	7	8	9	10	11	12	13	14	15
32	Molaukata	R, Edbo, P, S, Wb, D, Cd.	601.6	59	59	333	190	143	1	..	73	56	94	60
33	Khahigar	R, M, S, Cd.	633.6	110	110	430	214	216	23	28	160	157	58	17
34	Bagariguri	R, M, S, Cd.	416.0	121	121	491	273	218	8	4	137	133	155	51
35	Kahargaon	R, M, Pw, Wb, Hos, V, Cd.	902.4	104	104	423	241	182	13	9	69	63	93	29
36	Dighaliati	R, Rly, M, S, Wb, Hos, V, Cd.	544.0	185	185	1,010	559	451	..	..	..	..	167	83
37	Garmari	R, P, S, Wb, Hos, V, Cd.	595.2	90	90	524	283	241	50	63	7	..	159	95
38	Chaparmukh Gaon	R, Rly, P, S, Hos, V, Cd.	614.4	93	93	584	326	258	72	70	..	..	244	139
39	Chaparmukh Town	R, Rly, Cso, M, S, Db, Hos, V, Cd.	179.2	211	211	1,146	684	462	27	25	1	..	349	161
40	Kachua Gaon	R, Rly, P, S, Db, Hos, V, Cd.	960.0	210	210	1,347	664	683	320	332	102	108	405	245
41	Bamunijan	R, Rly, P, S, Db, Hos, V, Cd.	595.2	93	93	582	294	288	..	..	136	125	113	65
42	Laophula Bari	R, Rly, S, Wb, Hos, V, Cd.	1,068.8	81	81	619	317	302	4	4	179	163	133	63
43	Kamgaon	R, Rly, P, S, Hos, V, Cd.	902.4	48	48	252	129	123	..	..	25	26	55	16
44	Chaubori	R, Rly, P, S, Cd.	576.0	37	37	239	123	116	..	..	31	31	49	16
45	Sariahtali Mikirgaon	R, P, Riv, Cd.	742.4	17	17	80	40	40	..	..	..	..	18	4
46	Khalihamari	R, S, Wb, Hos, V, Cd.	793.6	76	76	397	228	169	..	..	11	10	121	23
47	Dhowa Doloni	R, Kw, Wb, D, Cd.	697.6	9	9	34	15	19	..	..	3	3	5	..
48	Balisara Doloni	R, Pw, Wb, D, Cd.	614.4	42	42	188	102	86	..	..	53	43	15	..
49	Balisara Mikirgaon	R, Pw, Wb, D, V, Cd.	780.8	46	46	235	121	114	..	..	9	12	16	6
49 (a)	Pub Bula	R, S, Wb, D, V, Cd.	697.6	6	6	17	17	..	..	..	15	..	10	..
49 (b)	Pachim Bula	R, Pw, Wb, D, V, Cd.	531.2	15	15	62	37	25	..	..	2	1	7	2
50	Niz Saharigaon	R, P, S, Wb, D, Cd.	480.0	44	44	257	147	110	..	..	65	43	52	20
31	Amsai Gaon	R, M, S, Wb, D, Cd.	614.4	111	111	509	292	217	7	7	28	25	112	39
52	Basundhrithan Gaon	R, Riv, Db, Cd.	236.8	160	160	856	451	405	12	4	191	183	122	37
53	Dalani Pukhuri	R, Kw, Wb, D, Cd.	480.0	35	35	189	102	87	..	..	48	41	19	5
54	Buraraja Gaon	R, P, Pw, Wb, D, Cd.	825.6	89	89	423	216	207	..	..	183	177	40	11
55	Balikuchi (Hatbar)	R, P, Kw, V, Cd.	1,126.4	39	39	117	69	48	..	..	12	5	17	..
55 (a)	Balikuchi Grant	R, Kw, Wb, D, V.	396.8	169	169	675	360	315	..	..	61	41	150	62
56	Sirmala Bil	R, P, Kw, V, Cd.	531.2	76	76	405	208	197	..	..	36	28	93	46
57	Silbheta	R, P, S, Db, Cd.	678.4	101	101	418	217	201	73	76	..	..	102	34
58	Bandura Doba	R, P, S, Cd.	601.6	133	133	288	144	144	11	11	..	..	74	16
58 (a)	Dalimbari	R, P, Pw, Wb, D, V, Cd.	556.8	95	95	407	212	195	..	..	..	..	34	5
59	Gandhi ari	R, P, S, Db, Hos, V, Cd.	755.1	129	129	963	489	474	24	25	53	53	212	65
60	Kahiguri	R, P, Pw, Wb, Hos, V, Cd.	787.2	113	113	773	385	388	..	..	253	260	134	42
61	Katahguri	R, P, S, Wb, D.	652.8	32	32	268	145	123	..	..	79	71	91	42
62	Ramjongari	R, P, S, Wb, D, Cd.	460.8	48	48	454	230	224	5	3	158	161	143	67
63	Rupahitali	R, P, S, Wb, D, Cd.	620.8	53	53	393	192	201	..	..	122	129	100	40
64	Topakuchi	R, P, S, Wb, D, V, Cd.	576.0	186	186	1,223	596	627	1	1	336	354	297	137
65	Raha Gaon	R, P, Pw, Db, D, V, Cd.	204.8	177	177	1,058	529	529	309	302	149	152	307	178
66	Raha Town	R, Cso, P, S, Db, D, V, Cd.	268.8	560	560	2,672	1,577	1,095	302	294	291	293	796	370
67	Haria Mukh	R, P, S, Wb, D V, Cd.	736.0	621	621	2,557	1,293	1,264	769	758	45	37	839	445
68	Khaigarh	R, P, S, Wb, D, V, Cd.	614.4	186	186	1,145	562	583	230	238	27	32	356	167
69	Sara Gaon	R, Rly, P, S, Wb, D, Cd.	614.4	229	229	1,528	801	727	35	29	237	228	440	153

RAHA (6)

Total workers (I—IX)		WORKERS I		II		III		IV		V		VI		VII		VIII		IX		X Non-workers		Sl. No.
M	F	M	F	M	F	M	F	M	F	M	F	M	F	M	F	M	F	M	F	M	F	
16	17	18	19	20	21	22	23	24	25	26	27	28	29	30	31	32	33	34	35	36	37	1
91	30	71	29	9	..	..	..	..	..	..	..	..	..	..	..	2	..	9	1	99	113	32
133	61	127	61	4	..	..	..	..	..	..	..	..	..	..	..	..	..	2	..	81	155	33
145	3	136	3	7	..	..	..	..	..	..	..	..	..	..	..	..	..	2	..	128	215	34
148	80	117	70	6	..	7	..	..	5	..	1	..	..	2	..	1	..	15	4	93	102	35
283	9	170	7	18	..	2	..	..	1	11	..	2	..	47	..	23	1	10	..	276	442	36
155	101	62	..	25	..	1	..	1	90	4	..	1	..	11	1	8	..	43	10	128	140	37
153	45	80	44	..	..	..	..	..	..	7	..	8	..	10	..	17	..	31	1	173	213	38
379	8	8	..	6	..	18	..	..	2	68	..	7	..	135	1	46	..	91	5	305	454	39
307	187	253	183	8	2	4	..	..	2	4	..	..	..	8	..	9	..	21	..	357	496	40
168	145	159	145	4	..	..	..	..	..	..	..	..	..	2	..	..	..	3	..	126	143	41
160	..	160	..	..	..	..	..	..	..	..	..	..	..	..	..	..	..	..	..	157	302	42
66	..	63	..	1	..	..	..	..	..	..	..	..	..	..	..	1	..	1	..	63	123	43
64	62	62	60	..	1	1	..	..	..	..	..	..	..	..	..	..	..	1	1	59	54	44
27	8	13	6	..	..	11	2	..	..	1	..	..	..	2	..	..	..	..	..	13	32	45
108	81	102	81	..	..	..	..	..	..	1	..	..	..	4	..	..	..	1	..	120	88	46
11	10	5	5	1	..	5	5	..	..	..	..	..	..	..	..	..	..	..	..	4	9	47
65	49	56	49	9	..	..	..	..	..	..	..	1	..	..	..	..	..	..	..	36	37	48
66	69	47	48	15	20	2	1	..	..	..	..	..	..	..	..	..	..	2	..	55	45	49
16	..	15	..	1	..	..	..	..	..	..	..	..	..	..	..	..	..	..	..	1	..	49(a)
20	16	17	5	3	1	..	..	..	10	..	..	..	..	..	..	..	..	..	..	17	9	49(b)
83	50	69	41	11	2	..	..	..	7	..	..	..	..	..	..	..	..	3	..	64	60	50
150	56	85	53	8	2	16	..	..	1	6	..	4	..	8	..	1	..	22	..	142	161	51
255	140	227	114	6	2	13	24	..	..	1	..	1	..	4	..	..	..	3	..	196	265	52
58	57	56	56	2	1	..	..	..	..	..	..	..	..	..	..	..	..	..	..	44	30	53
120	119	99	94	15	15	3	7	..	3	..	..	..	..	2	..	..	..	1	..	96	88	54
48	26	32	26	1	..	..	..	..	..	..	..	...	..	14	..	..	..	1	..	21	22	55
202	178	175	159	22	18	1	..	..	..	2	..	..	..	..	..	..	..	2	1	158	137	55(a)
112	99	94	87	5	11	13	..	..	1	..	..	..	..	..	..	..	..	..	..	96	98	56
122	84	91	78	12	3	11	2	..	1	..	..	..	..	1	..	1	..	6	..	95	117	57
77	62	77	61	..	..	..	..	..	1	..	..	..	..	..	..	..	..	..	..	67	82	58
136	..	136	..	..	..	..	..	..	..	..	..	..	..	..	..	..	..	..	..	76	195	58(a)
262	264	259	35	..	..	..	..	1	229	1	..	..	..	..	..	..	..	1	..	227	210	59
195	85	180	2	..	..	..	..	..	82	1	..	..	..	1	..	2	..	11	1	190	303	60
67	72	67	72	..	..	..	..	..	..	..	..	..	..	..	..	..	..	..	..	78	51	61
123	128	122	128	..	..	..	..	..	..	..	..	..	..	..	..	..	..	1	..	107	96	62
110	110	110	110	..	..	..	..	..	..	..	..	..	..	..	..	..	..	..	..	82	91	63
352	305	313	28	7	..	6	..	..	272	5	..	3	..	3	..	4	..	11	5	244	322	64
270	237	177	228	25	..	..	..	3	..	9	..	1	..	8	..	5	..	42	9	259	292	65
1,016	375	232	184	7	..	5	..	..	68	164	..	22	..	239	1	52	..	295	122	561	720	66
621	496	472	12	12	..	5	..	6	418	17	59	3	..	53	..	16	..	37	7	672	768	67
268	176	226	173	4	1	..	..	..	1	4	..	2	..	5	..	7	1	20	..	294	407	68
391	395	377	388	..	..	..	..	..	7	2	..	2	..	1	..	..	..	9	..	410	332	69

Serial No.	Name of Village/Town/ Ward/Enumerator's Block	Amenities	Area in Acres	Occupied Residential Houses		Total Population			Scheduled Castes		Scheduled Tribes		Literate and Educated persons	
				No. of Houses	No. of Households	P	M	F	M	F	M	F	M	F
1	2	3	4	5	6	7	8	9	10	11	12	13	14	15
70	Dighaldari	R, Edbo, M, S, Wb, Cd.	979.2	322	322	1,969	1,036	933	..	..	37	35	654	195
71	Dewbali	R, P, S, Wb, D, V, Cd.	601.6	235	235	1,275	638	637	77	293	..	..	355	119
72	Ghumati	R, P, S, Wb, D, Cd.	940.8	83	83	527	288	239	..	..	59	63	129	42
73	Bhakatgaon	R, M, S, Wb, D, Cd.	864.0	200	200	1,292	697	595	..	..	112	103	402	170
74	Kachanbari		614.4	No Population										
75	Chotamanipur	R, P, S, Wb, D, V, Cd.	371.2	4	4	22	9	13	..	..	..	..	..	..
76	Barmanipur	R, P, S, Wb, D, V, Cd.	620.8	200	200	1,343	745	598	..	..	179	162	191	80
77	Barholong		640.0	14	14	116	60	56	..	..	49	51	21	12
78	Pub Barigaon	P, S, Wb, D, Cd.	544.0	40	40	249	123	126	10	13	..	..	51	39
79	Molaukamora	R, P, S, Wb, D, Cd.	563.2	190	190	1,211	619	592	3	..	..	..	231	125
80	Paghali	R, Pw, Wb, D, V, Cd.	550.4	492	492	1,910	982	928	300	263	138	143	358	76
81	Bamunbari	R, P, S, Wb, Hos, V.	876.8	404	404	1,064	551	513	..	..	75	77	335	129
82	Sonaruguri	R, P, Pw, Wb, D, V, Cd.	646.4	122	122	926	467	459	..	..	170	182	237	112
83	Polashguri	R, P, S, Wb, D, V, Cd.	428.8	87	87	497	258	239	11	9	2	2	149	62
84	Kapahera	R, Edbo, P, S, Wb, D, V, Cd.	697.6	174	174	1,108	553	555	..	..	36	34	296	158
85	Niz Mikirgaon	R, P, S, Wb, D, Cd.	633.6	186	186	1,038	549	489	13	5	165	183	276	123
86	Latharbari	R, S, Wb, D, Cd.	582.4	70	70	458	232	226	..	..	183	186	105	21
87	Kujarbari	R, M, S, Wb, D, V, Cd.	499.2	168	168	1,086	583	503	..	..	71	59	348	177
88	Pachim Salmora	R, P, S, Wb, D, Cd.	1,209.6	122	122	880	449	431	88	81	203	242	210	65
89	Pub-Salmora	R, Rly, Edbo, M, S, Wb, Hos, V, Cd.	531.2	205	205	1,230	607	623	116	146	109	116	312	176
90	Phulaguri	R, Rly, Edbo, P, S, Wb, D, V, Cd.	601.6	115	115	746	385	361	23	21	50	40	221	106
91	Garamursatra	R, Rly, H, S, Wb, D, V, Cd.	652.8	158	158	854	451	403	97	100	..	..	220	86
92	Uttar Petbora	R, P, S, Wb, D, V, Cd.	889.6	181	181	1,210	604	606	172	170	..	..	313	142
93	Niz Jogial	R, P, S, D, V, Cd.	806.4	241	241	1,265	645	620	231	210	..	..	330	162
94	Bhatikuri	R, P, S, Wb, D, Cd.	908.8	484	484	2,009	1,048	961	500	257	10	17	717	430
95	Ghahigaon	R, P, S, Wb, D, Cd.	435.2	97	97	853	433	420	253	256	..	..	269	140
96	Niz Baligaon	R, P, S, Db, Hos, V, Cd.	851.2	194	194	1,022	529	493	49	50	..	..	237	96
97	Dakhin Petbora	R, P, S, Wb, Hos, V, Cd.	518.4	263	263	1,140	585	555	239	256	..	..	368	156
98	Dhemaji	R, P, S, Wb, Hos, Cd.	729.6	111	111	691	331	360	15	13	63	67	119	61
99	Jakarua Gaon	R, P, S, Wb, D, V, Cd.	819.2	35	35	191	103	88	11	9	..	..	42	12
100	Pahupurikhaiti	R, P, Tk, Wb, D, V, Cd.	595.2	46	46	297	149	148	..	..	..	..	55	19
101	Hagaltali Bil		857.6	2	2	13	6	7	..	..	..	..	1	..
102	Bhomoraguri	R, S, Db, D, V, Cd.	672.0	26	26	198	104	94	..	..	..	..	60	34
103	Tubuki Bardova	R, Tk, D, V, Cd,	864.0	2	2	17	12	5	12	5	..	..	3	..
104	Barua Bali	R, S, Wb, D, V, Cd.	704.0	21	21	146	80	66	71	58	..	..	52	26
105	Takalatup	R, P, S, Wb, D, V, Cd.	408.6	31	31	204	114	90	59	52	..	..	61	25
106	Nelli Par	R, P, Riv, Wb, D, V, Cd.	601.9	49	49	236	124	112	79	73	..	..	35	19

RAHA (6)

Total workers (I—IX)		WORKERS I		II		III		IV		V		VI		VII		VIII		IX		X Non-workers		Sl. No.
M	F	M	F	M	F	M	F	M	F	M	F	M	F	M	F	M	F	M	F	M	F	
16	17	18	19	20	21	22	23	24	25	26	27	28	29	30	31	32	33	34	35	36	37	1
476	430	416	331	..	..	..	..	..	99	10	..	6	..	..	..	10	..	34	..	560	503	70
316	289	262	256	29	32	..	..	..	1	1	..	..	..	5	..	1	..	18	..	322	348	71
141	137	138	129	1	..	..	..	..	8	2	..	..	..	..	..	..	..	..	..	147	102	72
335	280	297	10	2	..	..	..	..	268	3	..	1	..	4	..	4	..	24	2	362	315	73
																						74
4	..	4	..	..	..	..	..	..	..	..	..	..	..	..	..	..	..	..	..	5	13	75
372	..	310	..	19	..	..	..	..	..	10	..	2	..	11	..	..	..	20	..	373	598	76
30	27	28	..	..	..	..	..	..	27	..	..	..	..	..	..	..	..	2	..	30	29	77
55	62	54	..	..	..	..	..	..	61	..	..	..	..	..	..	..	..	1	1	68	64	78
293	185	215	119	2	..	3	..	..	66	4	..	1	..	5	..	..	..	33	..	326	407	79
533	191	481	26	19	3	..	..	3	160	4	..	2	..	3	..	1	..	20	2	449	737	80
258	224	234	128	..	..	..	..	..	96	4	..	..	..	1	..	..	..	19	..	293	289	81
216	252	204	249	1	..	..	..	..	..	2	1	..	..	..	..	..	..	9	2	251	207	82
124	118	114	117	2	..	..	..	..	..	..	..	..	..	..	..	..	..	8	1	134	121	83
272	230	248	216	1	..	..	..	1	11	3	..	..	..	5	..	4	..	10	3	281	325	84
292	237	219	232	..	..	..	..	..	..	13	..	3	..	22	..	2	..	33	5	257	252	85
114	129	105	129	3	..	..	..	..	..	..	..	..	..	..	..	..	..	6	..	118	97	86
240	215	214	207	4	..	..	..	..	8	5	..	..	..	..	..	1	..	16	..	343	288	87
226	213	224	211	1	2	..	..	..	..	..	..	..	..	..	..	..	..	1	..	223	218	88
272	268	251	263	..	1	..	..	..	1	3	..	..	..	2	..	..	..	16	3	335	355	89
212	193	192	193	3	..	..	..	..	..	1	..	..	..	6	..	5	..	5	..	173	168	90
254	197	192	179	4	1	10	..	..	12	3	..	1	..	18	..	5	..	21	5	197	206	91
311	315	279	296	22	..	..	..	..	19	2	..	1	..	2	..	..	..	5	..	293	291	92
305	309	280	303	1	..	2	..	..	4	..	..	..	..	5	..	1	1	16	1	340	311	93
497	473	406	336	23	4	..	..	..	129	14	..	5	..	3	..	5	..	41	4	551	488	94
206	208	171	181	3	..	..	..	..	25	3	..	2	..	2	..	3	..	22	2	227	212	95
278	272	252	262	13	..	..	..	..	10	4	..	..	..	5	..	1	..	3	..	251	221	96
311	325	298	304	..	..	..	..	..	21	..	..	1	..	1	..	..	..	11	..	274	230	97
152	204	149	200	2	1	..	..	..	3	..	..	..	..	..	..	..	..	1	..	179	156	98
56	51	49	47	7	1	..	..	..	2	..	..	..	..	..	..	..	..	..	1	47	37	99
67	79	64	79	1	..	..	..	..	..	..	..	..	..	..	..	..	..	2	..	82	69	100
4	6	2	5	2	..	..	..	..	1	..	..	..	..	..	..	..	..	..	..	2	1	101
50	46	41	30	7	..	..	..	..	16	1	..	..	..	..	..	1	..	..	..	54	48	102
6	5	6	5	..	..	..	..	..	..	..	..	..	..	..	..	..	..	..	..	6	..	103
33	25	27	18	1	..	..	..	..	7	..	..	..	..	..	..	2	..	3	..	47	41	104
60	28	47	26	4	..	3	..	..	2	..	..	..	..	..	..	..	..	6	..	54	62	105
82	1	76	1	4	..	..	..	..	..	..	..	..	..	..	..	..	..	2	..	42	111	106

Serial No.	Name of Village/Town/ Ward/Enumerator's Block	Amenities	Area in Acres	Occupied Residential Houses: No. of Houses	Occupied Residential Houses: No. of Households	Total Population: P	Total Population: M	Total Population: F	Scheduled Castes: M	Scheduled Castes: F	Scheduled Tribes: M	Scheduled Tribes: F	Literate and Educated Persons: M	Literate and Educated Persons: F
1	2	3	4	5	6	7	8	9	10	11	12	13	14	15
107	Chewguri	R, P, S, Wb, D, V, Cd.	905.8	158	158	778	415	363	..	..	..	..	72	50
108	Darika Fakali	R, Tk, Cd.	628.0	No Population										
109	Magur Gaon	R, P, S, Cd.	481.2	64	64	381	202	179	116	105	..	..	93	33
110	Darangi Gaon	R, S, Cd.	521.8	49	49	289	147	142	1	4	138	133	41	8
111	Kakati Gaon	R, Rly, S, Wb, D, Cd.	671.2	158	158	939	486	453	..	..	..	..	74	8
112	Guimari	R, Rly, P, S, D, Cd.	654.7	96	96	587	310	277	179	166	44	50	194	73
113	Padumani Bil	R, Tk, Wb, D.	499.3	14	14	50	25	25	..	..	..	..	4	1
114	Dhananjoi Doba		300.7	No Population										
115	Dabula Bil	R, P, Riv, D, V, Cd.	548.3	13	13	50	49	1	3	..	..	..	13	..
116	Pub Guimari	R, M, S, Wb, D, V, Cd.	487.4	100	100	421	217	204	..	..	..	..	116	57
117	Dangari Bil		921.8											
118	Baruntali		773.7	No Population										
119	Dighali Pathar		898.7											
120	Uttar Narikali		418.3											
121	Niz Narikali	R, Edbo, M, S, Hos, V, Cd.	801.5	130	130	494	258	236	62	64	..	..	141	79
121(a)	Dighali Bil			No Population										
122	Kuariati	R, Rly, M, S, Wb, D, V, Cd.	620.7	83	83	505	259	246	..	..	..	..	125	64
123	Bahakabari	R, Rly, M, S, Wb, D, V, Cd.	415.4	77	77	429	212	217	175	186	..	..	71	16
124	Bagalajan	R, M, S, Wb, D, V, Cd.	513.6	134	134	784	380	404	192	223	..	..	215	97
125	Dhemaji Gaon	R, P, Pw, Wb, D, V, Cd.	473.4	41	41	262	141	121	..	..	..	..	95	33
126	Niz Jara Bari	R, P, S, Wb, D, V, Cd.	1,278.1	191	191	1,053	576	477	211	201	225	227	141	32
127	Amtola Gaon	R, P, S, Wb, D, V, Cd.	509.8	82	82	518	271	247	82	69	..	..	133	42
128	Nal-doba	R, S, Cd.	362.7	10	10	58	30	28	..	..	..	..	5	1
129	Dharmukh Bil	R, S, D, Cd.	463.4	36	36	192	120	72	..	..	..	..	30	4
130	Sangajan Gaon	R, P, S, Wb, D, Cd.	1,155.6	59	59	337	187	150	..	..	..	..	45	14
131	Bej Batamari	R, P, Riv, D, V, Cd.	504.6	31	31	148	86	62	..	..	..	..	6	1
132	Salmara Gaon	R, P, S, D, V, Cd.	769.7	99	99	593	297	296	..	..	..	..	34	8
133	Jur Doba		319.6	32	32	194	106	88	..	..	..	..	4	2
134	Charai Juria Bil	R, P, S, V, Cd.	777.4	65	65	335	184	151	..	..	..	..	20	2
135	Dighali Doba Gaon	R, Tk, Wb, V, Cd.	475.5	24	24	150	83	67	..	..	..	..	12	3
136	Khapari Jarani	R, Tk, Wb, D, V, Cd.	645.8	39	39	178	95	83	..	..	..	..	13	..
137	Barunguri N. C.	R, Riv, Wb, V, Cd.	842.0	115	115	441	229	212	226	209	..	..	26	..
138	Dublong Ati	R, P, Riv, Wb, D, V, Cd.	425.4	50	50	239	125	114	..	..	..	..	14	9
139	Bundura Ati	R, Pw, Wb, D, V, Cd.	444.2	37	37	147	90	57	..	..	..	..	17	..
140	Laopani	R, M, S, Wb, Hos, V, Cd.	515.8	115	115	619	313	306	36	30	192	176	62	26
141	Saru Ameri	R, P, S, Wb, D, V, Cd.	28.9	15	15	78	39	39	..	..	12	10	1	1
142	Morteng Gaon	R, Kw, Wb, D, V, Cd.	434.9	25	25	118	63	55	..	..	31	26	..	..
143	Morteng Pathar		28.9	No Population										
144	Kamar Gaon	R, P, S, Wb, D, V, Cd.	580.5	45	45	233	114	119	..	..	105	112	20	11
145	Bali Juri	R, P, S, Wb, D, V, Cd.	815.1	89	89	482	254	228	..	..	..	..	44	2
146	Hatigarh N. C.	R, Kw, V, Cd.	665.6	34	34	165	90	75	2	2	..	..	21	1
147	Faliamari N. C.	R, P, Kw, Wb, D, V, Cd.	833.0	18	18	71	36	35	..	..	..	..	2	..
148	Misamari N. C.	R, Kw, Wb, D, Cd.	998.2	75	75	298	159	139	..	..	..	..	6	1
149	Puthimari	R, P, S, D, V, Cd.	1,110.5	187	187	979	527	452	62	57	..	..	126	38
150	Marisuti Gaon	R, Tk, D, Cd.	400.0	4	4	12	5	7	..	..	..	..	..	..

RAHA (6)

Total workers (I—IX)		WORKERS I		II		III		IV		V		VI		VII		VIII		IX		X Non-workers		Sl. No.
M	F	M	F	M	F	M	F	M	F	M	F	M	F	M	F	M	F	M	F	M	F	
16	17	18	19	20	21	22	23	24	25	26	27	28	29	30	31	32	33	34	35	36	37	1
220	..	219	..	..	..	..	..	..	..	..	..	..	..	..	..	..	..	1	..	195	363	107
																						108
102	53	102	51	..	..	..	..	..	2	..	..	..	..	..	..	..	..	..	..	100	126	109
78	84	78	3	..	..	..	..	..	81	..	..	..	..	..	..	..	..	..	..	69	58	110
248	1	219	..	26	..	..	..	..	1	1	..	..	..	..	..	1	..	1	..	238	452	111
135	152	121	132	..	..	4	..	..	19	2	1	1	..	..	..	5	..	2	..	175	125	112
12	1	12	1	..	..	..	..	..	..	..	..	..	..	..	..	..	..	..	..	13	24	113
																						114
49	..	21	..	3	..	..	..	..	..	..	..	..	..	25	..	..	..	..	..	..	1	115
92	102	84	94	..	..	..	..	..	8	..	..	..	..	3	..	1	..	4	..	125	102	116
																						117
																						118
																						119
																						120
109	105	88	81	1	1	..	..	1	22	1	..	1	..	2	..	1	..	14	1	149	131	121
																						121(a)
112	124	94	108	9	2	..	..	..	14	1	..	..	..	..	..	..	..	8	..	147	122	122
102	110	78	87	4	1	..	..	..	15	2	7	2	..	..	..	12	..	4	..	110	107	123
193	209	183	188	..	3	1	..	2	18	..	..	2	..	..	..	1	..	4	..	187	195	124
80	55	62	6	6	..	..	..	..	49	..	..	..	..	..	..	..	..	12	..	61	66	125
285	252	259	201	..	..	..	..	..	51	..	..	..	..	21	..	..	..	5	..	291	225	126
127	133	125	129	..	..	..	..	..	4	1	..	..	..	..	..	..	..	1	..	144	114	127
12	..	12	..	..	..	..	..	..	..	..	..	..	..	..	..	..	..	..	..	18	28	128
64	..	64	..	..	..	..	..	..	..	..	..	..	..	..	..	..	..	..	..	56	72	129
95	..	95	..	..	..	..	..	..	..	..	..	..	..	..	..	..	..	..	..	92	150	130
38	1	37	1	1	..	..	..	..	..	..	..	..	..	..	..	..	..	..	..	48	61	131
161	5	160	4	1	..	..	..	..	..	..	..	..	..	..	..	..	..	..	1	136	291	132
68	..	67	..	1	..	..	..	..	..	..	..	..	..	..	..	..	..	..	..	38	88	133
111	..	110	..	..	..	..	..	..	..	..	..	..	..	..	..	..	..	1	..	73	151	134
42	..	42	..	..	..	..	..	..	..	..	..	..	..	..	..	..	..	..	..	41	67	135
60	..	60	..	..	..	..	..	..	..	..	..	..	..	..	..	..	..	..	..	35	83	136
161	..	161	..	..	..	..	..	..	..	..	..	..	..	..	..	..	..	..	..	68	212	137
73	1	68	..	5	..	..	..	..	..	..	..	..	..	..	..	..	..	..	1	52	113	138
54	..	54	..	..	..	..	..	..	..	..	..	..	..	..	..	..	..	..	..	36	57	139
182	9	172	8	..	..	..	..	..	..	..	..	..	..	..	..	..	..	10	1	131	297	140
24	12	22	12	2	..	..	..	..	..	..	..	..	..	..	..	..	..	..	..	15	27	141
36	21	36	21	..	..	..	..	..	..	..	..	..	..	..	..	..	..	..	..	27	34	142
																						143
65	8	62	7	..	..	..	..	..	..	..	..	..	..	..	..	..	..	3	1	49	111	144
138	6	133	6	3	..	..	..	..	..	..	..	..	..	..	..	..	..	2	..	116	222	145
52	4	52	4	..	..	..	..	..	..	..	..	..	..	..	..	..	..	..	..	38	71	146
23	..	23	..	..	..	..	..	..	..	..	..	..	..	..	..	..	..	..	..	13	35	147
92	..	92	..	..	..	..	..	..	..	..	..	..	..	..	..	..	..	..	..	67	139	148
290	8	262	3	23	1	..	..	3	1	..	..	..	..	..	..	..	..	2	3	237	444	149
4	..	4	..	..	..	..	..	..	..	..	..	..	..	..	..	..	..	..	..	1	7	150

Serial No.	Name of Village/Town/ Ward/Enumerator's Block	Amenities	Area in Acres	Occupied Residential Houses		Total Population			Scheduled Castes		Scheduled Tribes		Literate and Educated Persons	
				No. of Houses	No. of Households	P	M	F	M	F	M	F	M	F
1	2	3	4	5	6	7	8	9	10	11	12	13	14	15
151	Simalugri	R, P, S, Wb, D, V, Cd.	977.8	83	83	482	262	220	35	26	1	..	106	44
152	Garubandha Ati	R, P, S, Wb, D, Cd.	406.7	197	197	905	481	424	39	28	..	..	43	15
153	Jokkata Gaon	R, P, S, Wb, D, Cd.	224.2	46	46	218	107	111	..	..	53	51	11	3
154	Pramila Ati	R, P, S, Wb, D, Cd.	200.1	75	75	330	186	144	33	23	11	10	74	19
155	Mori Kolong N. C.	R, Tk, Wb, D, Cd.	328.8	8	8	30	16	14	..	..	..	..	8	2
	TEA ESTATE													
1	Balikuchi Garden		..	..	..	201	95	106	..	..	..	..	27	29
2	Amgai Garden		..	..	..	500	279	221	..	..	..	..	35	2
	RAILWAY COLONY													
1	Raha		..	..	..	24	14	10	3	4	..	..	6	2
2	Chaparmukh		..	..	..	1,011	584	427	21	17	8	5	333	168
3	Phulaguri		..	..	..	16	13	3	1	1	..	..	10	1

RAHA (6)

WORKERS																						
Total workers (I—IX)		I		II		III		IV		V		VI		VII		VIII		IX		X Non-workers		Sl. No.
M	F	M	F	M	F	M	F	M	F	M	F	M	F	M	F	M	F	M	F	M	F	
16	17	18	19	20	21	22	23	24	25	26	27	28	29	30	31	32	33	34	35	36	37	1
146	33	114	32	27	..	..	..	..	..	..	..	..	..	..	..	..	..	5	1	116	187	151
340	1	315	1	25	..	..	..	..	..	..	..	..	..	..	..	..	..	..	..	141	423	152
69	34	33	29	32	2	..	..	1	..	..	..	..	..	..	..	1	..	2	3	38	77	153
110	29	102	29	5	..	..	..	..	..	2	..	..	..	1	1	..	..	..	..	76	115	154
10	5	10	5	..	..	..	..	..	..	..	..	..	..	..	..	..	..	..	..	6	9	155
58	50	..	..	..	..	55	50	..	..	1	..	..	..	2	..	..	..	..	..	37	56	1
252	194	..	..	..	..	251	194	..	..	1	..	..	..	..	..	..	..	..	..	27	27	2
6	..	..	..	..	..	..	..	..	..	..	..	..	..	..	..	6	..	..	..	8	10	1
311	4	..	..	..	..	1	..	..	..	3	..	2	..	9	..	293	3	3	1	273	423	2
10	..	..	..	..	..	..	..	..	..	..	..	..	..	..	..	10	..	..	..	3	3	3

Serial No.	Name of Village/Town/ Ward/Enumerator's Block	Amenities	Area in Acres	Occupied Residential Houses: No. of Houses	Occupied Residential Houses: No. of Households	Total Population: P	Total Population: M	Total Population: F	Scheduled Castes: M	Scheduled Castes: F	Scheduled Tribes: M	Scheduled Tribes: F	Literate and Educated Persons: M	Literate and Educated Persons: F
1	2	3	4	5	6	7	8	9	10	11	12	13	14	15
	Nowgong P.S.	Total	143.0 (Sq. miles)	29,841	30,099	160,633	87,340	73,293	7,133	6,460	4,153	2,730	47,076	26,708
		Rural	140.7 (Sq. miles)	23,775	23,775	122,033	64,045	57,988	6,249	5,833	4,057	2,676	31,992	19,703
		Urban	2.3 (Sq. miles)	6,066	6,324	38,600	23,295	15,305	884	627	96	54	15,084	7,005
1	Hatijujua Pathar	R, P, S, Db, Hos, Cd.	764.7	350	350	1,749	915	834	..	..	..	..	138	42
2	Gendhua Pathar	R, S, Hos, Cd.	583.8	94	94	468	253	215	..	..	51	47	74	12
3	Kaidongia	R, M, S, Wb, Hos, Cd.	757.7	571	571	2,853	1,473	1,380	80	88	425	275	841	475
4	Aibheti	R, Edbo M, S, Wb, Hos, Cd.	948.9	241	241	1,709	894	815	1	2	..	..	507	207
5	Kurchung Satra	R, P, S, Wb, D.	561.8	138	138	905	482	423	..	..	..	..	220	112
6	Samkalia Pathar	R, P, S, Wb, D, V.	474.0	54	54	326	168	158	..	..	..	..	104	44
7	Bhogbari Satra	R, P, S, Wb, D.	560.1	61	61	389	203	186	15	15	..	..	101	39
8	Majgaon	R, P, S, Wb, D, V, Cd.	661.7	158	158	977	496	481	76	76	191	192	220	62
9	Dalongial Gaon	R, P, S, Wb, D, V. Cd.	474.4	94	94	660	357	303	..	..	..	..	240	123
10	Phulani Ati	R, P, S, Wb, D, V.	903.7	104	104	778	408	370	..	..	..	..	280	137
11	Niz Hatichong	R, Edbo, H, S, Wb. D, Cd.	457.0	201	201	1,229	644	585	87	87	..	..	370	168
12	Mazjajari	R, M, S, Wb, D, V.	791.8	410	410	2,742	1,461	1,281	6	..	195	126	806	302
13	Bagariguri Gaon	R, M, S, D, V.	575.6	211	211	1,317	710	607	321	296	..	..	196	102
14	Kakamari Gaon	R, P, S, Wb, D, V, Cd.	844.4	219	219	1,492	767	725	136	114	207	154	305	236
15	Bhalukmari	R, P, S, Wb, D, V.	847.8	194	194	1,297	676	621	25	17	..	..	383	156
16	Gosaibari	R, P, S, Wb, D, V, Cd.	688.8	280	280	1,589	854	735	52	37	107	47	527	209
17	Kujidahnamati	R, M, S, D.	870.3	376	376	2,589	1,372	1,217	482	426	..	..	912	791
18	Samni Gaon	R, S, D, V.	534.1	207	207	1,240	671	569	74	25	..	..	420	316
19	Gedarbori	R, S, Wb D.	529.3	200	200	1,227	649	578	..	..	24	16	462	312
20	Jamuguri	R, P, S, Wb, D, V.	635.5	238	238	1,687	892	795	..	..	..	..	537	415
21	Naramari	R, P, S, Hos, V.	671.5	279	279	1,393	730	663	..	..	..	..	99	49
22	Herapati	R, M, S, Wb, Hos, V.	647.0	221	221	1,108	559	549	..	..	..	..	120	82
23	Kenduguri	R, P, S, Wb, Hos, V.	639.5	240	240	1,216	614	602	..	..	..	..	180	115
24	Rupohi	R, P, S. Hos, V.	655.1	229	229	1,145	591	554	..	..	..	..	118	56
25	Rowmari	R, P, S, Hos, V.	793.0	180	180	901	453	448	..	..	1	2	107	81
26	Lao Gaon	R, P, S, D.	585.4	233	233	1,400	709	691	..	..	..	..	140	80
27	Itapa a	R, P, S, Wb, D, V.	693.4	132	132	742	380	362	..	..	62	57	116	103
28	Katimari Pathar	R, P S, Wb, D, V.	542.5	109	109	646	339	307	32	34	..	..	50	25
29	Rangagarahuz	R, P, S, Db, D, V.	389.0	285	285	1,425	757	668	259	252	..	..	392	252

NOWGONG (7)

Total workers (I—IX)		WORKERS I		II		III		IV		V		VI		VII		VIII		IX		X Non-workers		Sl. No.
M	F	M	F	M	F	M	F	M	F	M	F	M	F	M	F	M	F	M	F	M	F	
16	17	18	19	20	21	22	23	24	25	26	27	28	29	30	31	32	33	34	35	36	37	1
43,616	18,779	26,215	14,470	1,013	141	255	256	459	3,233	2,114	36	479	2	4,156	35	1,591	5	7,334	601	43,724	54,514	
31,338	17,948	25,737	14,390	987	141	189	253	96	2,962	498	18	2 0	1	695	7	453	..	2,423	176	32,707	40,040	
12,278	831	478	80	26	..	66	3	363	271	1,616	18	219	1	3,461	28	1,138	5	4,911	425	11,017	14,474	
446	14	370	14	75	..	..	..	..	..	..	..	..	..	..	..	..	..	1	..	469	820	1
110	16	99	2	5	..	1	..	..	14	3	..	..	..	..	..	..	..	2	..	143	199	2
763	652	683	433	..	..	..	..	..	214	1	..	3	..	3	..	3	..	70	5	710	728	3
407	133	367	133	..	..	1	..	..	..	..	..	3	..	3	..	1	..	32	..	487	682	4
225	124	212	7	4	..	..	..	..	116	..	..	..	..	..	..	..	..	9	1	257	299	5
60	64	55	..	..	..	..	..	..	64	..	..	1	..	..	..	..	..	4	..	108	94	6
87	69	73	54	1	..	..	..	..	15	1	..	4	..	..	..	..	..	8	..	116	117	7
244	225	221	225	..	..	..	..	..	..	..	..	1	..	3	..	1	..	18	..	252	256	8
150	21	132	..	1	..	..	..	..	21	..	..	..	..	1	..	1	..	15	..	207	282	9
187	121	166	2	1	..	1	..	..	117	..	..	..	..	1	..	..	..	18	2	221	249	10
297	267	255	247	..	..	..	..	..	12	7	6	..	..	3	..	7	..	25	2	347	318	11
707	295	523	172	17	..	..	..	..	123	40	..	2	..	28	..	7	..	90	..	754	986	12
391	3	376	2	..	..	1	..	..	..	..	..	..	..	4	..	2	..	8	1	319	604	13
349	191	336	115	..	..	..	..	..	75	1	..	2	..	1	..	..	..	9	1	418	534	14
330	195	303	47	8	1	..	..	..	147	5	..	2	..	1	..	..	..	11	..	346	426	15
432	259	339	7	6	..	2	..	1	250	3	..	..	..	18	..	7	..	56	2	422	476	16
699	666	626	557	1	..	2	..	..	102	..	..	9	..	2	..	3	..	56	7	673	551	17
358	286	265	226	1	..	..	..	1	54	..	..	34	1	2	..	..	..	55	5	313	283	18
293	252	245	83	7	..	..	..	..	169	1	..	1	..	4	..	1	..	34	..	356	326	19
319	393	342	340	..	..	2	..	..	50	3	..	..	..	..	..	1	..	51	3	493	402	20
415	24	364	21	51	3	..	..	..	..	..	..	..	..	..	..	..	..	..	..	315	639	21
313	38	276	38	29	..	..	..	..	..	..	..	..	..	6	..	..	..	2	..	246	511	22
342	319	339	318	2	..	..	..	..	..	..	1	..	..	..	..	..	..	1	..	272	283	23
345	22	341	22	2	..	..	..	..	..	..	..	..	..	..	..	..	..	2	..	246	532	24
240	17	190	10	48	1	..	..	..	6	..	..	..	..	1	..	..	..	1	..	213	431	25
385	3	327	2	39	1	..	..	..	..	..	..	1	..	..	..	2	..	16	..	324	688	26
198	..	195	..	..	..	..	..	..	..	..	..	..	..	..	..	..	..	3	..	182	362	27
178	2	166	2	12	..	..	..	..	..	..	..	..	..	..	..	..	..	..	..	161	305	28
371	260	339	260	2	..	..	..	..	..	6	..	1	..	4	..	6	..	13	..	386	408	29

Serial No.	Name of Village/Town/ Ward/Enumerator's Block	Amenities	Area in Acres	Occupied Residential Houses: No. of Houses	Occupied Residential Houses: No. of Households	Total Population: P	Total Population: M	Total Population: F	Scheduled Castes: M	Scheduled Castes: F	Scheduled Tribes: M	Scheduled Tribes: F	Literate and Educated Persons: M	Literate and Educated Persons: F
1	2	3	4	5	6	7	8	9	10	11	12	13	14	15
30	Katimari Grant	R, P, S, Db, D, V.	531.5	95	95	475	249	226	..	..	..	..	23	2
31	Silongani	R, P, S, Wb, D, V.	638.5	211	211	1,054	544	510	..	..	2	..	113	37
32	Bhakatgaon	R, P, S, Db, D, V.	632.2	277	277	1,388	736	652	..	..	6	6	130	37
33	Tokowbari	R, P, S, Db, Hos, V.	650.6	77	77	383	205	178	68	57	49	38	115	37
34	Simaluguri	R, P, S, Db, Hos, V.	755.6	105	105	525	277	248	..	..	.	..	101	37
35	Kawaimari	R, P, S, Db, Hos, V.	546.0	170	170	849	452	397	..	..	110	96	260	154
36	Barbheti	R, P, S, Hos, V.	608.3	391	391	1,974	1,067	907	..	..	..	..	597	419
37	Khutikatia	R, P, S, Wb, Hos, V.	417.2	900	900	1,206	633	573	20	20	..	..	395	263
38	Cenchowa	R, P, S, Db, Hos, V, Cd.	509.6	234	234	1,187	639	548	225	291	..	..	384	202
39	Phakali Pathar	R, P, Kw, Hos, V.	397.7	4	4	19	10	9	..	..	..	..	4	1
40	Niz-Kachmari	R, P, S, Hos, V.	565.6	260	260	1,304	673	631	14	14	176	118	327	256
41	Bamungaon	R, P, S, Hos, V.	580.0	69	69	349	194	155	21	21	68	66	105	90
42	Mahekhosa	R, Pw, Hos, V.	358.5	13	13	65	34	31	..	..	12	9	11	8
43	Auguri	R, Riv, Hos.	493.0	4	4	18	9	9	..	..	..	..	4	1
44	Pukhri Par	R, P, S, Hos.	582.8	55	55	271	150	121	113	86	..	..	94	69
45	Bangthai	R, P, S, Wb, D, V.	561.3	116	116	578	296	282	4	5	83	72	196	123
56	Jamuguri	R, M, S, Wb, D, V.	433.0	55	55	275	143	132	11	7	48	52	110	88
47	Dimow	R, Rly, P, S, Wb, D, V.	847.9	185	185	927	444	483	84	86	169	85	246	192
48	Takalai Bebejia	R, Edbo, Rly, H, S,Db.	578.8	372	372	1,861	956	905	229	235	217	86	555	494
49	Garikuri Bebejia	R, M, S, D.	297.8	19	19	92	40	52	13	23	..	..	22	12
50	Birah Bebejia	R, Rly, H, S, Db, Hos, V.	496.1	177	177	881	456	425	89	82	..	..	267	112
51	Kumargaon	R, S.	310.4	155	155	776	389	387	..	..	..	..	236	195
52	Elengisatra	R, S.	366.8	135	135	652	318	334	..	..	..	..	178	122
53	Majarati	R, P, S, Hos.	614.5	184	184	922	482	440	..	..	21	17	271	170
54	Jeliagaon	R, P, S, Hos, Cd.	851.9	167	167	832	449	383	..	..	..	..	308	264
55	Difalu	R, H, S, Wb, Hos.	786.1	277	277	1,387	706	681	..	..	..	..	324	295
56	Palahoni	R, P, S, Hos.	811.8	189	189	941	515	426	..	..	..	..	280	262
57	Teliapahukata	R, P, S, V.	1,068.6	382	382	1,909	1,035	874	24	20	..	..	475	405
58	Nartamgaon	R, S, V.	219.8	55	55	256	150	106	3	2	..	..	71	62
59	Dimaruguri	R, Rly, P, S, V.	600.2	721	721	3,607	1,884	1,723	330	343	..	..	760	476
60	Kachalu Ukhowa	R, Rly, P, S, V.	329.0	267	267	1,33[illegible]	728	607	..	..	..	..	379	248
61	Chota Haibargaon	R, Edbo, P, S, Db, Hos.	256.0	345	345	1,726	923	803	..	..	..	..	518	404
62	Bengena Ati	R, P, S, Db, Hos.	514.8	236	236	1,178	624	554	65	59	..	..	191	110
63	Sialekhowa	R, M, S, Hos	491.9	146	146	729	409	320	..	..	..	..	245	152
64	Morikalong	R, Edbo, M, S, Db, Hos.	479.1	174	174	868	439	429	138	151	..	..	365	210
65	Mahral	R, P, S, Wb, Hos.	347.7	48	48	238	135	103	..	..	..	..	52	37
66	Nam Pathori	R, H, S, Hos,	364.3	26	26	129	63	66	..	..	..	..	36	20
67	Maz Pathari	R, Edbo, P, S, Hos.	630.5	309	309	1,548	811	737	..	..	..	..	531	415
68	Bhotai Gaon	R, M, S, Db, Hos, V.	653.0	285	285	1,422	771	651	..	..	..	..	546	403
69	Niz Pathari	R, P, S, Wb, D.	429.9	92	92	459	250	209	..	..	..	..	85	27
70	Anniatisatra	R, P, S, Hos.	191.7	76	76	378	207	171	27	15	..	..	125	54
71	Na-Bebejia	R, S, Hos.	814.9	88	88	438	237	201	14	12	..	..	140	61
72	Jaroni	R, H, S, Hos.	367.8	158	158	793	391	402	5	4	..	..	213	182
73	Kumartup	R, Kw, Wb.	269.5	2	2	10	4	6	..	..	..	..	2	1
74	Kotoyoni	R, P, S, Hos.	465.4	165	165	824	443	381	89	76	..	..	189	183
75	Marongial	R, H, S, Hos.	571.8	220	220	1,102	616	486	..	..	..	..	206	186
76	Hatipara	R, P, S.	521.6	213	213	1,064	560	504	17	15	..	..	244	134
77	Dewdhar	R, S.	967.5	212	212	1.060	565	495	125	113	..	..	349	268
78	Barpathari Sutargaon	R, P, S, D.	698.6	96	96	478	246	232	..	..	2	..	160	86
79	Ujaragaon	R, S, Hos.	421.2	277	277	1,3[illegible]3	710	673	..	..	..	..	528	337
80	Pakhimaria	R, P, S, Db, Hos, V.	370.5	269	269	1,346	686	660	..	..	..	..	337	216
81	Bhelaigaon	R, M, S, D, V.	724.4	99	99	492	234	258	..	..	..	..	115	56
82	Nonai Namkuri	R, M, S, D, V.	749.5	91	91	456	248	208	2	..	..	..	130	33

NOWGONG (7)

Total workers (I—IX)		WORKERS I		II		III		IV		V		VI		VII		VIII		IX		X Non-workers		Sl. No.
M	F	M	F	M	F	M	F	M	F	M	F	M	F	M	F	M	F	M	F	M	F	
16	17	18	19	20	21	22	23	24	25	26	27	28	29	30	31	32	33	34	35	36	37	1
138	56	109	56	22	..	..	..	..	..	1	..	2	..	4	..	..	..	..	..	111	170	30
289	19	244	18	38	..	..	..	..	..	1	..	..	..	3	..	..	..	3	1	255	491	31
408	12	329	9	72	3	..	..	..	..	1	..	..	..	5	..	1	..	..	..	328	640	32
109	20	81	1	1	..	..	1	22	18	..	..	..	..	2	..	..	..	3	..	96	158	33
147	10	118	7	24	3	..	..	..	..	1	..	..	..	2	..	..	..	2	..	130	238	34
258	27	233	23	7	..	..	..	..	4	..	..	..	..	..	..	8	..	10	..	194	370	35
516	8	365	6	74	1	..	..	..	..	3	..	2	..	24	..	6	..	42	1	551	899	36
270	92	151	89	8	1	..	..	..	..	7	..	6	..	22	..	10	..	66	2	363	481	37
278	4	207	1	20	2	..	..	..	..	1	..	1	..	1	..	1	..	47	1	361	544	38
5	6	5	6	..	..	..	..	..	..	..	..	..	..	..	..	..	..	..	..	5	3	39
331	172	312	160	6	..	..	..	..	12	..	..	..	..	..	..	..	..	13	..	342	459	40
86	76	83	3	1	..	..	1	..	72	..	..	1	..	..	..	..	..	1	..	108	79	41
15	15	15	1	..	..	..	..	..	14	..	..	..	..	..	..	..	..	..	..	19	16	42
4	3	2	3	..	..	..	..	..	..	..	..	..	..	..	..	..	..	2	..	5	6	43
70	64	65	..	..	..	..	..	..	64	..	..	..	..	..	..	..	..	5	..	80	57	44
143	122	113	6	..	..	..	..	..	116	2	..	..	..	2	..	3	..	23	..	153	160	45
63	46	60	..	..	..	..	..	..	45	..	..	1	..	..	..	..	..	2	..	80	86	46
190	155	161	59	..	..	..	..	..	96	..	..	3	..	1	..	..	..	25	..	254	328	47
444	255	322	195	22	5	..	..	..	49	13	..	6	..	14	1	21	..	46	5	512	650	48
25	3	23	3	1	..	..	..	..	..	1	..	..	..	..	..	..	..	..	..	15	49	49
206	14	140	8	15	..	..	..	..	..	..	..	2	..	..	..	..	..	49	6	250	411	50
185	180	146	176	4	1	..	..	..	1	2	1	2	..	1	..	16	..	14	1	204	207	51
156	30	138	21	7	..	..	..	..	..	..	..	..	..	..	..	..	..	11	9	162	304	52
223	50	163	50	8	..	1	..	..	..	11	..	..	..	13	..	4	..	23	..	259	390	53
217	202	204	190	..	..	..	..	..	12	2	..	1	..	1	..	1	..	8	..	232	181	54
362	97	304	97	..	..	..	..	..	..	..	..	2	..	3	..	6	..	47	..	344	584	55
221	137	182	133	..	..	..	..	..	..	..	..	4	..	1	..	1	..	33	4	294	289	56
536	152	472	146	4	1	1	..	..	..	..	..	1	..	3	..	5	..	50	6	499	722	57
65	32	39	1	..	..	..	..	..	30	3	..	..	..	15	..	3	..	5	1	85	74	58
886	354	398	216	6	..	7	..	2	118	66	1	9	..	165	2	25	..	208	17	998	1,369	59
350	7	56	4	..	..	1	..	..	..	74	..	9	..	96	..	28	..	86	3	378	600	60
436	38	131	1	..	..	1	..	62	29	38	..	37	..	110	..	15	..	42	8	487	765	61
331	225	317	222	..	..	..	..	1	2	2	..	..	..	..	..	1	..	10	1	293	329	62
190	107	142	106	..	..	..	..	..	..	2	..	3	..	1	..	2	..	40	1	219	213	63
194	142	178	139	1	1	..	..	..	..	5	..	2	..	..	..	1	..	7	2	245	287	64
73	53	59	53	..	..	..	..	..	..	..	..	9	..	1	..	..	..	4	..	62	50	65
31	27	24	27	..	..	..	..	..	..	..	..	..	..	..	..	2	..	5	..	32	39	66
335	236	239	234	7	..	1	..	..	..	3	..	4	..	8	..	4	..	69	2	476	501	67
337	203	238	189	5	2	2	..	..	..	1	..	2	..	3	..	3	..	83	12	434	448	68
108	90	97	90	..	..	..	..	..	..	1	..	..	..	1	..	..	..	9	..	142	119	69
79	67	73	66	..	..	..	..	..	..	..	..	1	..	..	..	..	..	5	1	128	104	70
104	105	95	102	..	..	1	..	..	3	..	..	..	..	..	..	2	..	6	..	133	96	71
172	131	144	128	..	..	1	..	..	..	5	..	..	..	2	..	4	..	16	3	219	271	72
1	1	1	1	..	..	..	..	..	..	..	..	..	..	..	..	..	..	..	..	3	5	73
210	85	194	76	5	3	..	..	1	6	..	..	2	..	1	..	1	..	6	..	233	296	74
288	84	247	83	..	..	..	..	..	..	12	..	..	..	9	..	4	..	16	1	328	402	75
252	201	234	200	..	..	..	..	..	..	1	..	..	..	..	..	1	..	16	1	308	303	76
264	243	198	236	3	2	..	..	..	3	..	..	3	..	3	1	3	..	54	1	301	252	77
83	81	71	68	5	1	..	..	..	9	..	..	1	..	..	..	..	..	6	3	163	151	78
349	312	308	311	..	..	1	..	..	1	2	..	..	..	1	..	1	..	36	..	361	361	79
359	326	324	283	4	..	1	..	..	43	1	..	1	..	..	..	7	..	21	..	327	334	80
121	109	87	92	20	14	1	..	1	3	..	..	2	..	..	..	1	..	9	..	113	149	81
118	98	93	93	14	4	..	..	..	1	..	..	4	..	..	..	1	..	6	..	130	110	82

Serial No.	Name of Village/Town/ Ward/Enumerator's Block	Amenities	Area in Acres	Occupied Residential Houses: No. of Houses	Occupied Residential Houses: No. of Households	Total Population: P	Total Population: M	Total Population: F	Scheduled Castes: M	Scheduled Castes: F	Scheduled Tribes: M	Scheduled Tribes: F	Literate and Educated Persons: M	Literate and Educated Persons: F
1	2	3	4	5	6	7	8	9	10	11	12	13	14	15
83	Jalahgaon	R, P, S, V.	765.0	236	236	1,181	620	561	137	140	..	..	342	222
84	Rauthali	R, Edbo, P, S, Hos, V.	91.1	226	226	1,128	591	537	364	341	..	..	297	230
85	Mohmaria	R, M, S, Wb, Hos.	400.0	145	145	725	367	358	297	297	..	..	233	204
86	Barjaha	R S, Db, D.	771.4	179	179	895	471	424	3	1	..	..	324	275
87	Dakhinpat	R, P, S, D, V.	277.0	243	243	1,213	632	581	189	138	..	..	341	294
88	Afulali Barfakali	R, P, S, Db, V.	826.4	9	9	42	20	22	3	4	..	..	15	7
89	Alapia Bebejia	R, P, S.	508.8	98	98	472	249	223	161	150	..	..	101	22
90	Dewrigaon	R, P, S.	425.4	252	252	1,262	672	590	282	257	..	..	434	358
91	Hatigarh	R, S, V.	255.1	222	222	1,107	548	559	132	104	..	..	303	278
92	Kachuaigaon	R, P, S, V.	379.2	23	23	115	61	54	..	..	..	..	28	7
93	Singgaon	R, M, S, V.	520.4	258	258	1,188	612	576	21	20	64	27	359	256
94	Mahguri Jalah	R, P, S.	673.4	48	48	241	131	110	11	2	68	68	56	11
95	Borkala	R, P, Pw, V.	872.5	36	36	181	95	86	..	..	95	86	39	4
96	Buragosaithan	R, P, S.	4[illegible]9.5	52	52	258	155	103	108	25	2	..	83	14
97	Kurabahi	R M, S.	521.4	199	199	995	505	490	111	126	..	..	257	194
98	Loumati Jalah	R, P, S.	401.3	13	13	67	31	36	31	36	..	..	13	4
99	Rougalu Mukh	R, S.	351.3	44	44	220	113	107	113	107	..	..	42	25
100	Karayani	R, M, S, Db, D, V, Cd.	772.2	213	213	1,067	560	507	18	17	..	..	365	279
101	Godharia	R, H, S, Wb, D, V, Cd.	703.9	51	51	256	139	117	..	..	..	..	93	61
102	Marangial Gaon	R, P, S, V, Cd.	437.6	151	151	793	421	372	22	17	..	..	259	128
103	Nartamgaon	R, Rly, P, S, Wb, Hos, Cd.	685.1	124	124	622	317	305	..	..	..	..	218	135
104	Niz-Gomotha	R, Rly, P, S, Cd.	626.6	121	121	602	305	297	..	..	..	..	225	134
10[illegible]	U ia Gaon	Edbo.	521.0	225	225	1,276	664	612	192	176	..	..	447	240
106	Maj Potani	R, P, S, Wb, Hos, V, Cd.	677.2	109	109	497	264	233	9	10	..	..	190	98
107	Potani Gomotha	R, P, S, Wb, Hos, V, Cd.	470.5	19	19	99	56	43	3	..	..	..	34	10
108	Kolajugi	R, S, Hos, Cd.	489.7	73	73	363	206	157	..	..	..	..	139	61
109	Bejarchuk	R, P, S, Wb, D, V, Cd.	435.0	129	129	645	349	296	24	21	..	..	232	95
110	Nedhar Gaon	R, P, S, Wb, D, V, Cd.	364.4	66	66	329	171	158	53	45	..	..	107	44
111	Kumar Gaon	R, P, S, Wb, Hos, V, Cd.	959.9	169	169	943	488	455	..	..	..	..	258	115
112	Singia Gaon	R, M, S, D, Cd.	456.5	221	221	1,108	563	545	237	254	226	201	356	186
113	Kotani Gaon	R, M, S, Cd.	579.7	372	372	1,987	1,063	924	22	19	..	..	430	164
114	Potanigaon	R, P, S, Wb, Cd.	638.8	232	232	1,156	609	547	..	..	..	..	477	240
115	Dewri Gaon	R, P, S, Wb, D, Cd.	141.2	66	66	330	172	158	..	..	..	..	101	61
116	Bad'al Gaon	R, P, S, Wb, D, Cd.	369.9	86	86	432	222	210	..	..	..	..	149	74
117	Sutargaon	R, H, S, Wb, D, V, Cd.	560.9	274	274	1,471	768	703	3	..	..	..	429	308
118	Bihari Gaon	R, S, Wb, D, V, Cd.	512.5	119	119	591	288	303	44	42	..	..	182	127
119	Chutia Gaon	R, P, S, Wb, D, Cd.	599.4	106	106	531	265	266	..	..	..	..	186	95
120	Ghogar Jalah	R, P, S, Wb, D, Cd.	565.1	4	4	17	17	..	..	..	..	..	11	..
121	Barhampur		273.8	Merged with village No. 119										
122	Panigaon Potanimukh	R, P, S, Wb, D, Cd.	305.1	147	147	738	355	383	50	57	..	..	245	165
123	Kamar Gaon	R, M, S, Cd.	442.3	49	49	244	131	113	7	10	109	75	67	16
124	Darangia Gaon	R, P, S, Wb, Cd.	628.1	106	106	530	274	256	..	..	..	..	119	52
125	Na-Gosaikhat	R, P, S, Db, V, Cd.	298.8	129	129	649	341	308	3	1	..	..	197	77
126	Nam-Gomotha	R, P, S, Wb, D, Cd.	504.7	112	112	556	276	280	..	..	..	..	140	47
127	Mikirpar Uriagaon	R, P, S, Wb, D, V, Cd.	241.6	55	55	275	139	136	..	..	..	..	70	29
128	Kurua Bahi	R, P, S, D, Cd.	424.8	105	105	774	390	384	85	90	..	..	189	68
129	Chakari Gaon	R, P, S, Wb, D, Cd.	840.9	94	94	469	234	235	93	85	..	..	103	34
130	Chengmara	R, P, S, Wb, D, V, Cd.	661.9	52	52	258	133	125	1	..	..	..	98	86

NOWGONG (7)

Total workers (I—IX)		WORKERS I		II		III		IV		V		VI		VII		VIII		IX		X Non-workers		Sl. No.
M	F	M	F	M	F	M	F	M	F	M	F	M	F	M	F	M	F	M	F	M	F	
16	17	18	19	20	21	22	23	24	25	26	27	28	29	30	31	32	33	34	35	36	37	1
335	296	292	285	6	1	1	..	..	10	1	..	6	..	2	..	2	..	25	..	285	265	83
270	223	213	206	8	5	..	..	..	11	29	..	..	..	3	..	2	..	15	1	321	314	84
184	174	164	165	..	..	..	..	1	8	3	..	1	..	1	..	2	..	12	1	183	184	85
179	119	149	115	..	..	..	..	..	1	4	1	..	..	..	..	..	..	26	2	292	305	86
298	225	243	217	2	..	2	..	1	5	9	..	6	..	2	..	2	..	31	3	334	356	87
9	9	8	8	..	..	..	..	..	1	..	..	..	..	..	..	..	..	1	..	11	13	88
126	92	123	91	..	..	..	..	..	1	1	..	..	..	..	..	..	..	2	..	123	131	89
326	284	284	268	12	..	..	..	..	16	..	..	2	..	..	..	..	..	28	..	346	306	90
268	273	249	247	2	..	..	..	..	24	1	..	..	..	1	..	2	..	13	2	280	286	91
29	22	26	20	3	..	..	..	..	2	..	..	..	..	..	..	..	..	..	..	32	32	92
287	279	247	257	10	..	..	..	..	22	9	..	..	..	4	..	8	..	9	..	325	297	93
71	62	65	59	3	2	..	..	..	1	..	..	..	..	..	..	1	..	2	..	60	48	94
58	52	54	49	2	2	..	..	..	1	..	..	..	..	..	..	..	..	2	..	37	34	95
85	54	78	53	3	1	..	..	..	..	2	..	..	..	..	..	..	..	2	..	70	49	96
233	260	226	244	..	..	..	..	..	16	..	..	..	..	..	..	..	..	7	..	272	230	97
18	18	17	18	..	..	..	..	..	..	..	..	..	..	..	..	1	..	..	..	13	18	98
61	55	61	55	..	..	..	..	..	..	..	..	..	..	..	..	..	..	..	..	52	52	99
246	198	207	194	..	..	..	..	..	..	3	..	2	..	..	..	4	..	30	4	314	309	100
53	33	41	33	3	..	..	..	..	..	..	..	..	..	..	..	..	..	9	..	86	84	101
198	174	184	169	1	2	..	..	1	..	..	..	..	..	..	..	..	..	12	3	223	198	102
167	114	151	113	..	..	1	..	..	..	..	..	..	..	..	..	1	..	14	1	150	191	103
141	142	120	113	6	6	..	..	..	22	..	..	2	..	..	..	3	..	10	1	164	155	104
307	168	244	112	4	2	4	..	1	54	23	..	1	..	7	..	4	..	19	..	357	444	105
131	115	103	105	2	4	2	..	..	1	1	..	4	..	..	..	1	..	18	5	133	118	106
28	24	21	20	1	2	..	..	..	..	3	..	..	..	..	..	1	..	2	2	28	19	107
122	63	65	58	..	..	13	..	..	..	..	..	5	..	2	2	5	..	32	3	84	94	108
168	119	149	21	..	..	..	..	..	98	3	..	2	..	5	..	2	..	7	..	181	177	109
82	48	82	9	..	39	..	..	..	..	..	..	..	..	..	..	..	..	..	..	89	110	110
212	153	183	145	10	..	..	..	..	7	..	..	..	..	..	..	1	..	18	1	276	302	111
277	223	220	212	3	..	..	..	..	..	16	..	..	..	..	..	2	..	36	11	286	322	112
502	124	418	106	2	..	..	..	..	17	26	1	25	..	..	..	4	..	27	..	561	800	113
352	285	328	279	3	..	..	..	..	5	4	..	4	..	3	1	1	..	9	..	257	262	114
82	87	66	87	6	..	..	..	..	..	4	..	..	..	1	..	..	..	5	..	90	71	115
106	110	88	96	2	..	..	..	..	14	2	..	1	..	3	..	..	..	10	..	116	100	116
375	299	263	258	32	4	3	..	..	29	13	7	7	..	19	..	3	..	35	1	393	404	117
119	119	115	116	4	..	..	..	..	3	..	..	..	..	..	..	..	..	..	..	169	184	118
132	138	127	137	..	..	..	..	..	1	..	..	..	..	2	.	..	..	3	..	133	128	119
6	..	6	..	..	..	..	..	..	..	..	..	..	..	..	..	..	..	..	..	11	..	120
																						121
170	192	163	174	1	1	1	..	..	17	1	..	..	..	1	..	..	..	3	..	185	191	122
65	60	56	58	3	2	..	..	..	..	..	..	4	..	..	..	..	..	2	..	66	53	123
151	119	129	112	17	3	..	..	..	4	..	..	..	..	..	..	4	..	1	..	123	137	124
152	137	132	119	1	..	..	..	1	17	3	..	..	..	8	..	1	..	6	1	189	171	125
125	147	120	139	..	..	..	..	..	8	..	..	1	..	..	..	1	..	3	..	151	133	126
64	71	64	71	..	..	..	..	..	..	..	..	..	..	..	..	..	..	..	..	75	65	127
176	157	171	129	5	..	..	..	..	28	..	..	..	..	..	..	..	..	..	..	214	227	128
118	116	116	110	2	..	..	..	..	6	..	..	..	..	..	..	..	..	..	..	116	119	129
68	34	42	..	26	..	..	1	..	33	..	..	..	..	..	..	..	..	..	..	65	91	130

Serial No.	Name of Village/Town/Ward/Enumerator's Block	Amenities	Area in Acres	Occupied Residential Houses: No. of Houses	Occupied Residential Houses: No. of Households	Total Population: P	Total Population: M	Total Population: F	Scheduled Castes: M	Scheduled Castes: F	Scheduled Tribes: M	Scheduled Tribes: F	Literate and Educated Persons: M	Literate and Educated Persons: F
1	2	3	4	5	6	7	8	9	10	11	12	13	14	15
130(a)	Uria Grant		..	148	148	743	430	313	..	..	..	..	92	34
131	Dakhin Gamari		575.9	108	108	740	381	359	3	4	213	113	117	31
132	Lalung Par	R, S, Wb, D, Cd.	397.7	44	44	218	119	99	..	..	104	37	41	6
133	Karhalarkhat	R, Pw, D, Cd.	320.5	3	3	17	7	10	..	..	..	..	1	..
134	Kuarichuk	R, S, V, Cd.	281.5	113	113	565	297	268	7	9	55	31	83	25
135	Nibukhali	R, S, D, V, Cd.	88.7	23	23	126	66	60	..	..	66	30	12	..
136	Barkachari	R, S, V, Cd.	468.3	38	38	242	132	110	..	..	132	60	31	5
137	Tilajuri	R, P, S, Wb, Cd.	648.3	104	104	518	287	231	..	..	253	158	31	6
138	No. 1 Jalandhua Grant		517.9	Merged With Barkandali T. E. No. 2										
139	Barkandali	R, P, S, Wb, Cd.	397.0	120	120	602	323	279	..	..	172	62	135	21
140	Bali Gaon	R, P, Wb, D, Cd.	326.6	5	5	26	15	11	..	..	15	11	2	..
141	Barkondoli Mikirpar	R, P, S, Wb, D, V, Cd.	929.3	88	88	440	231	209	..	..	199	103	51	10
142	Sutar Gaon	R, P, S, Wb, D, Cd.	409.9	86	86	427	223	204	..	..	..	..	22	5
143	No. 2 Jalandhu Grant	R, P, S, Wb, D, Cd.	509.2	77	77	382	207	175	..	..	47	38	29	3
	TEA ESTATE													
1	Barampur T.E.	R, P, Pw, Wb, Hos, V, Cd.		20	20	99	50	49	13	13	..	..	1	..
2	Barkahdali T.E.			232	232	1,158	612	546	2	1	10	15	102	20
3	Khatoon T.E.			98	98	492	271	221	..	..	..	..	41	3
4	Rangalow T.E.			25	25	123	68	55	..	..	..	..	19	6
	RAILWAY													
1	Nowgong Station (Rly Colony)			62	62	309	183	126	..	..	..	..	96	48
2	Haibargaon Rly.			35	35	177	101	76	3	2	..	..	64	30
3	Senchoa Rly.			16	16	79	49	30	6	5	..	..	17	5
4	Railway Colony I			5	5	6	6	..	3	..	..	..	5	..
5	Railway „ II			6	6	28	22	6	7	1	1	..	4	..
	Nowgong Town		2.34 (Sq. miles)	6,066	6,324	38,600	23,295	15,305	884	627	96	54	15,084	7,005
	Ward No. I		..	933	953	5,861	3,606	2,255	54	33	16	..	2,188	799
	Block No. 1		..	140	140	1,148	737	411	23	14	8	..	499	198
	Block No. 2		..	248	256	1,155	744	411	31	19	8	..	531	94
	Block No. 3		..	103	103	969	619	350	..	..	..	..	384	149
	Block No. 4		..	206	206	1,399	825	574	..	..	..	..	545	283
	Block No. 5		..	236	248	1,190	681	509	..	..	..	..	229	75
	Ward No. II		..	790	826	5,499	3,308	2,191	235	170	29	14	1,916	858
	Block No. 1		..	146	155	777	513	264	13	3	..	..	335	122
	Block No. 2		..	210	224	1,558	914	644	98	49	..	..	391	201
	Block No. 3		..	175	178	1,098	663	435	114	114	10	9	462	182
	Block No. 4		..	202	212	1,610	928	682	10	2	19	5	586	285
	Block No. 5		..	57	57	456	290	166	..	2	..	..	142	68

NOWGONG (7)

Total workers (I—IX)		WORKERS I		II		III		IV		V		VI		VII		VIII		IX		X Non-workers		Sl. No.
M	F	M	F	M	F	M	F	M	F	M	F	M	F	M	F	M	F	M	F	M	F	
16	17	18	19	20	21	22	23	24	25	26	27	28	29	30	31	32	33	34	35	36	37	1
234	176	208	160	26	..	..	16	..	..	..	..	..	..	..	..	..	..	..	..	196	137	130(a)
204	158	175	138	29	..	..	..	..	20	..	..	..	..	..	..	..	..	..	..	177	201	131
67	62	67	22	..	..	..	..	..	40	..	..	..	..	..	..	..	..	..	..	52	37	132
6	8	6	..	..	..	..	..	..	8	..	..	..	..	..	..	..	..	..	..	1	2	133
166	137	163	129	..	..	..	..	..	8	..	..	..	..	3	..	..	..	..	..	131	131	134
38	28	38	..	..	..	..	..	..	28	..	..	..	..	..	..	..	..	..	..	28	32	135
64	58	64	12	..	..	..	..	..	46	..	..	..	..	..	..	..	..	..	..	68	52	136
176	108	170	108	4	..	..	..	..	..	..	..	..	..	..	..	..	..	2	..	111	123	137
																						138
191	162	168	150	12	..	..	..	..	12	4	..	..	..	7	..	..	..	..	..	132	117	139
9	..	9	..	..	..	..	..	..	..	..	..	..	..	..	..	..	..	..	..	6	11	140
106	61	103	61	3	..	..	..	..	..	..	..	..	..	..	..	..	..	..	..	125	148	141
127	16	127	16	..	..	..	..	..	..	..	..	..	..	..	..	..	..	..	..	96	188	142
124	99	124	99	..	..	..	..	..	..	..	..	..	..	..	..	..	..	..	..	83	76	143
29	24	21	..	..	..	8	17	..	..	..	..	..	..	..	..	..	..	..	7	21	25	1
345	250	209	3	8	15	112	230	..	..	..	..	..	..	3	..	..	..	13	2	267	296	2
135	9	127	6	4	..	4	3	..	..	..	..	..	..	..	..	..	..	..	..	136	212	3
37	8	26	8	..	..	9	..	..	..	..	..	..	..	..	..	..	..	2	..	31	47	4
98	1	..	..	..	..	..	..	..	..	..	..	..	..	15	..	72	..	11	1	85	125	1
48	1	..	..	..	..	..	..	..	..	..	..	..	..	..	..	42	..	6	1	53	75	2
31	..	..	..	..	..	..	..	..	..	..	..	..	..	..	..	31	..	..	..	18	30	3
5	..	..	..	..	..	..	..	..	..	..	..	..	..	..	..	5	..	..	..	1	..	4
14	1	..	..	..	..	..	..	..	..	..	..	..	..	..	..	11	..	3	1	8	5	5
12,278	831	478	80	26	:	66	3	363	271	1,616	18	219	1	3,461	28	1,138	5	4,911	425	11,017	14,474	
2,057	130	105	..	23	..	10	..	145	71	291	12	38	..	655	5	155	..	635	42	1,549	2,125	
331	44	55	..	15	..	2	..	11	34	50	..	10	..	30	..	29	..	129	10	406	367	
439	28	12	..	4	..	1	..	35	27	50	..	4	..	166	..	43	..	124	1	305	383	
408	6	1	..	1	..	..	..	3	..	50	1	..	..	196	2	4	..	153	3	211	344	
461	17	2	..	..	..	5	..	..	1	124	11	8	..	143	2	48	..	126	3	364	557	
418	35	35	..	3	..	2	..	96	9	17	..	16	..	115	1	31	..	103	25	263	474	
1,702	96	82	..	1	..	5	..	47	60	224	..	32	..	496	..	172	..	643	36	1,606	2,095	
340	3	5	..	..	..	..	..	..	..	31	..	2	..	98	..	31	..	173	3	173	261	
512	23	5	..	1	..	1	..	25	7	51	..	19	..	178	..	60	..	172	16	402	621	
315	49	19	..	..	..	..	..	2	47	28	..	3	..	66	..	37	..	160	2	348	386	
367	21	44	..	..	..	4	..	15	6	41	..	6	..	115	..	35	..	107	15	561	661	
168	..	9	..	..	..	..	..	5	..	73	..	2	..	39	..	9	..	31	..	122	166	

Number and Name of District—(7) NOWGONG

VILLAGE

Name of Police Station

Serial No.	Name of Village/Town/ Ward/Enumerator's Block	Amenities	Area in Acres	Occupied Residential Houses: No. of Houses	Occupied Residential Houses: No. of Households	Total Population: P	Total Population: M	Total Population: F	Scheduled Castes: M	Scheduled Castes: F	Scheduled Tribes: M	Scheduled Tribes: F	Literate and Educated Persons: M	Literate and Educated Persons: F
1	2	3	4	5	6	7	8	9	10	11	12	13	14	15
	Ward No. III			644	671	4,055	2,406	1,649	40	26	18	18	1,622	887
	Block No. 1			145	149	927	585	342	34	22	..	..	322	126
	Block No. 2			140	142	794	443	351	3	4	18	18	325	188
	Block No. 3			135	136	678	405	273	3	..	..	..	331	208
	Block No. 4			224	244	1,656	973	683	..	..	..	..	644	365
	Ward No. IV			1,107	1,203	7,215	4,295	2,920	239	193	4	2	3,109	1,767
	Block No. 1			224	238	1,404	895	509	..	..	..	..	674	345
	Block No. 2			167	169	1,130	660	470	27	22	..	..	455	322
	Block No. 3			110	116	551	342	209	4	2	..	..	253	127
	Block No. 4			278	352	2,038	1,124	914	157	135	..	..	713	435
	Block No. 5			169	169	1,003	592	411	40	23	1	..	456	266
	Block No. 6			159	159	1,089	682	407	11	11	3	2	558	272
	Ward No. V			991	1,018	5,992	3,644	2,348	167	99	3	1	2,349	975
	Block No. 1			202	212	1,110	651	459	78	59	..	..	430	173
	Block No. 2			97	97	543	293	250	3	1	..	..	152	107
	Block No. 3			123	127	624	353	271	..	..	..	..	206	91
	Block No. 4			90	93	533	297	236	..	..	..	..	181	103
	Block No. 5			168	170	906	558	348	30	6	..	..	275	88
	Block No. 6			98	98	641	403	238	36	23	3	1	287	145
	Block No. 7			114	122	1,088	754	334	..	..	..	..	592	162
	Block No. 8			99	99	547	335	212	20	10	..	..	226	106
	Ward No. VI			777	800	4,794	3,197	1,597	149	106	24	18	2,167	907
	Block No. 1			150	151	939	633	306	..	..	..	..	490	176
	Block No. 2			180	190	1,143	768	375	21	10	..	..	556	216
	Block No. 3			190	190	1,055	835	220	39	11	24	18	459	120
	Block No. 4			224	236	1,489	873	616	85	83	..	..	618	382
	Block No. 5			33	33	168	88	80	4	2	..	..	44	13
	Ward No. VII			824	853	5,184	2,839	2,345	..	..	2	1	1,733	812
	Block No. 1			109	109	269	154	115	..	..	..	..	114	62
	Block No. 2			46	46	619	352	267	..	..	..	..	212	116
	Block No. 3			134	142	1,500	792	708	..	..	..	..	434	201
	Block No. 4			208	218	1,051	577	474	..	..	1	..	425	247
	Block No. 5			140	141	597	307	290	..	..	..	..	172	60
				187	197	1,148	657	491	..	..	1	1	376	126

NOWGONG (7)

Total workers (I—IX)		WORKERS I		II		III		IV		V		VI		VII		VIII		IX		X Non-workers		Serial No.
M	F	M	F	M	F	M	F	M	F	M	F	M	F	M	F	M	F	M	F	M	F	
16	17	18	19	20	21	22	23	24	25	26	27	28	29	30	31	32	33	34	35	36	37	1
1,040	92	27	1	2	..	11	2	32	44	70	3	25	..	112	1	116	1	645	40	1,366	1,557	
292	17	2	..	..	..	2	..	4	7	41	2	9	..	49	1	28	1	157	7	293	325	
176	8	5	1	..	..	3	..	..	..	7	..	5	..	9	..	20	..	127	6	267	343	
160	16	4	..	2	..	..	..	5	1	11	1	1	..	11	..	20	..	112	14	239	157	
406	51	16	..	..	..	6	2	23	36	11	..	10	..	43	..	48	..	249	13	567	632	
2,211	177	5	..	..	..	8	..	45	6	237	1	45	..	423	2	265	2	1,183	166	2,084	2,743	
588	54	..	..	..	..	..	..	..	..	31	..	17	..	54	..	113	1	373	53	307	455	
325	31	..	..	..	..	1	..	..	..	23	..	8	..	38	..	71	..	184	31	335	439	
218	8	..	..	..	..	..	..	2	..	40	..	..	..	95	1	5	1	76	6	124	201	
533	50	1	..	..	..	1	..	2	1	103	..	13	..	121	..	37	..	255	49	591	864	
289	18	4	..	..	..	3	..	13	4	32	1	5	..	74	..	28	..	130	13	303	393	
258	16	..	..	..	..	3	..	28	1	8	..	2	..	41	1	11	..	165	14	424	391	
2,101	81	36	1	..	..	5	1	48	15	308	..	39	..	769	5	205	1	691	58	1,543	2,267	
298	36	5	1	..	..	2	1	26	12	28	..	11	..	70	1	48	..	108	21	353	423	
126	11	1	..	..	..	1	..	..	2	23	..	3	..	26	..	12	..	60	9	167	239	
170	3	3	..	..	..	..	..	..	..	29	..	8	..	59	..	25	..	46	3	183	268	
142	3	2	..	..	..	..	..	..	..	19	..	2	..	62	..	17	..	40	3	155	233	
350	11	..	..	..	..	1	..	2	..	41	..	9	..	142	4	61	1	94	6	208	337	
256	9	25	..	..	..	..	..	13	..	27	..	..	..	99	..	2	..	90	9	147	229	
546	7	..	..	..	..	1	..	7	1	99	..	4	..	214	..	28	..	193	6	208	327	
213	1	..	..	..	..	..	..	..	..	42	..	2	..	97	..	12	..	60	1	122	211	
1,810	112	142	..	..	..	22	..	14	42	270	1	21	..	475	3	163	1	703	65	1,387	1,485	
429	14	..	..	..	..	..	..	..	..	113	..	3	..	202	..	12	..	99	14	204	292	
499	9	..	..	..	..	4	..	3	..	75	..	5	..	155	1	51	..	206	8	269	366	
413	9	142	..	..	..	16	..	..	..	7	..	6	..	17	..	7	1	218	8	422	211	
420	78	..	..	..	..	2	..	11	42	58	1	6	..	84	2	90	..	160	33	453	538	
49	2	..	..	..	..	..	..	..	..	17	..	1	..	17	..	3	..	11	2	39	78	
1,357	143	81	78	..	..	5	..	32	33	216	1	19	1	531	12	62	..	411	18	1,482	2,202	
72	28	21	..	..	..	..	..	1	26	1	..	..	..	..	..	8	..	41	2	82	87	
165	11	..	..	..	..	..	..	5	7	57	..	..	..	60	4	6	..	37	..	187	256	
410	7	1	..	..	..	..	..	10	..	63	..	5	..	189	5	7	..	135	2	382	701	
255	10	5	..	..	..	5	..	14	..	40	1	7	..	91	..	..	..	93	9	322	464	
158	2	..	..	..	..	..	..	..	..	19	..	6	..	79	..	..	..	54	2	149	288	
297	85	54	78	..	..	..	..	2	..	36	..	1	1	112	3	41	..	51	3	360	406	

Serial No.	Name of Village/Town/Ward/ Enumerator's Block	Amenities	Area in Acres	Occupied Residential Houses: No. of Houses	Occupied Residential Houses: No. of Households	Total Population: P	Total Population: M	Total Population: F	Scheduled Castes: M	Scheduled Castes: F	Scheduled Tribes: M	Scheduled Tribes: F	Literate and Educated Persons: M	Literate and Educated Persons: F
1	2	3	4	5	6	7	8	9	10	11	12	13	14	15
	Samaguri P.S.	Total	217.0 (Sq. miles)	15,572	15,572	87,687	46,158	41,529	2,413	2,215	1,593	1,464	16,710	7,395
1	Barangatoli	R, P, S, Wb, D, V.	492.8	115	115	627	315	312	60	92	..	..	146	57
2	Sutargaon	R, M, S, Wb, D, V.	639.3	260	260	1,382	724	658	34	21	..	2	431	213
3	Panigaon	R, P, S, Wb, D, V, Cd.	976.3	347	347	2,096	1,095	1,001	135	85	..	..	817	540
4	Niz Khatowal	R, P, S, Wb, D, V.	717.3	180	180	917	465	452	207	202	..	..	241	73
5	Geruagaon	R, Edbo, S, Db, D, V.	482.9	50	50	433	222	211	..	..	..	..	89	49
6	Geruamukh	R, M, S, Wb, D, V.	877.1	268	268	1,586	831	755	..	..	..	..	250	101
7	Bajiargaon	R, P, S, Wb, D, V. Cd.	1,101.0	382	382	1,764	936	828	66	69	..	..	278	96
8	Bhagamur	R, M, S, Wb, Hos, V, Cd.	829.0	320	320	1,640	907	733	..	..	..	..	263	69
9	Kawaimari	R, P, S, Wb, D, V, Cd.	855.3	270	270	1,401	737	664	..	..	..	..	156	41
10	Puthikhaiti	R, P, S, Wb, D, V, Cd.	666.3	217	217	1,127	622	505	..	..	..	..	127	33
11	Kadamguri	R, P, S, Wb, D, V, Cd.	659.0	237	237	1,290	661	629	..	..	..	..	152	55
12	Moamari	R, M, S, Wb, Cd.	775.3	125	125	684	376	308	5	1	..	..	94	6
13	Tekelipota	R, S, Wb, Cd.	492.0	139	139	718	371	347	7	12	..	..	61	11
14	Paghali	R, M, S, Wb, D, Cd.	699.7	347	347	3,110	1,628	1,482	..	..	..	..	423	122
15	Majuli		250.3	29	29	186	97	89	..	..	..	..	11	11
16	Brahmabil	R, S, Db, D, V, Cd.	732.0	85	85	475	264	211	..	..	..	..	32	4
17	Kanuamari		890.4	273	273	1,524	791	733	3	4	..	..	158	37
18	Chakitup	R, P, S, Wb, D.	307.1	67	67	459	253	206	..	..	..	..	81	23
19	Sonaribali	R, P, S, Wb, D, V, Cd.	1,037.4	120	120	624	327	297	2	2	..	..	85	15
20	Gatanga	R, S, Wb, D, Cd.	664.0	548	548	2,737	1,508	1,229	228	189	..	..	533	245
21	Rangagara	R, Rly, Edbo, P, Pw, Wb, D, V, Cd.	1,622.4	369	369	1,539	846	693	55	40	..	..	237	66
22	Bhomoraguri	R, P, S, D, V, Cd.	480.9	135	135	712	391	321	49	1	..	..	108	14
23	Garumara Gaon No. 2	R, S, V, Cd.	548.5	50	50	424	240	184	..	..	..	..	81	12
24	Garumara Gaon No. 1	R, S, Wb, Cd.	370.3	69	69	293	170	123	..	..	..	..	41	3
25	Kuhumtali	R, P, S, Cd.	551.8	150	150	830	445	385	..	..	..	..	60	13
26	Barbalitup	R, P, S, Wb.	391.6	112	112	610	324	286	..	..	..	..	200	100
27	Khalihamari	R, P, S, V, Cd.	961.8	Merged with village No. 28										
28	Sialkhaiti	R, P, S, Cd.	597.2	310	310	1,563	847	716	1	..	..	..	562	307
29	Missa	R, Edso, P, S,	720.5	223	223	917	502	415	136	130	..	..	303	175
30	Amani Basti	R, H, S, Wb, V, Cd.	259.5	9	9	58	34	24	..	..	..	..	19	7
31	Brahamchari	R, P, S, Wb, D, V, Cd.	215.4	150	150	1,082	532	550	..	..	118	100	368	220
32	Pahukata	R, Rly, P, S, D, V, Cd.	507.4	85	85	729	373	356	2	..	90	100	204	89
33	Haibar Gaon	R, P, S, Wb, D, V, Cd.	327.3	91	91	506	257	249	38	29	..	..	191	121
34	Mikirhat	R, Rly, P, S, D, V, Cd.	627.2	187	187	1,004	504	500	238	240	..	..	322	218
35	Hatir Gaon	R, M, S, Db, D, V, Cd.	1,046.3	144	144	1,116	606	510	..	..	..	..	421	249
36	Bharaguri No. 1	R, P, S, Wb, D, V, Cd.	991.6	Merged with village No. 67										

SAMAGURI (8)

Total workers (I—IX)		WORKERS I		II		III		IV		V		VI		VII		VIII		IX		X Non-workers		Sl. No.
M	F	M	F	M	F	M	F	M	F	M	F	M	F	M	F	M	F	M	F	M	F	
16	17	18	19	20	21	22	23	24	25	26	27	28	29	30	31	32	33	34	35	36	37	1
24,196	10,180	16,591	6,153	993	70	3,719	3,434	8	253	460	33	251	1	513	10	239	1	1,422	225	21,962	31,349	
144	108	136	103	1	..	..	..	..	1	..	..	..	..	1	..	1	1	5	3	171	204	1
300	125	251	120	2	..	1	..	..	2	23	1	7	..	7	..	..	..	9	2	424	533	2
455	368	430	364	..	..	..	..	..	2	3	..	2	..	..	..	4	..	16	2	640	633	3
218	220	196	188	6	2	..	..	..	..	6	29	1	..	5	..	..	..	4	1	247	232	4
133	12	103	11	5	..	..	..	..	..	..	..	12	..	3	..	..	..	10	1	89	199	5
440	20	434	19	..	..	1	..	..	..	..	..	..	..	..	..	2	..	3	1	391	735	6
496	77	449	69	29	8	1	..	1	..	9	..	1	..	..	..	..	..	6	..	440	751	7
491	2	324	1	114	..	..	..	..	..	24	..	..	1	1	..	26	..	2	..	416	731	8
385	5	295	5	84	..	..	..	..	..	..	..	..	..	4	..	..	..	2	..	352	659	9
313	3	231	3	75	..	..	..	1	..	3	..	..	..	..	..	..	..	3	..	309	502	10
356	1	307	..	45	1	..	..	..	..	..	..	..	..	1	..	..	..	3	..	305	628	11
224	5	186	5	37	..	..	..	..	..	..	..	..	..	..	..	..	..	1	..	152	303	12
205	8	136	7	58	..	..	..	..	..	5	1	1	..	3	..	..	..	2	..	166	339	13
857	4	695	2	70	2	6	..	..	..	17	..	..	..	41	..	1	..	27	..	771	1,478	14
52	2	48	2	3	..	..	..	..	..	..	..	..	..	..	..	..	..	1	..	45	87	15
165	2	156	2	7	..	..	..	..	..	..	..	..	..	..	..	..	..	2	..	99	209	16
414	9	310	8	60	1	3	..	..	..	22	..	..	..	2	..	..	..	17	..	377	724	17
142	5	130	1	3	..	..	..	..	4	..	..	..	..	3	..	..	..	6	..	111	201	18
198	2	144	2	..	..	15	..	1	..	4	..	..	..	4	..	..	..	30	..	129	295	19
787	96	621	85	27	..	25	4	..	..	20	..	22	..	29	6	..	..	43	1	721	1,133	20
512	109	351	59	6	1	29	41	1	..	14	..	8	..	38	..	3	..	62	8	334	584	21
220	40	194	39	4	1	..	..	..	..	1	..	1	..	12	..	1	..	7	..	171	281	22
148	1	132	1	15	..	..	..	..	..	..	..	..	..	..	..	1	..	..	..	92	183	23
107	3	93	..	14	..	..	..	..	..	..	..	..	..	..	..	..	..	..	3	63	120	24
246	42	244	41	..	..	..	..	..	..	..	..	..	..	1	..	..	..	1	1	199	343	25
212	159	211	159	1	..	..	..	..	..	..	..	..	..	..	..	..	..	..	..	112	127	26
																						27
330	12	257	5	4	..	..	..	..	..	3	..	2	..	7	..	1	..	56	7	517	704	28
217	3	126	2	34	..	..	..	..	..	1	..	6	..	3	..	4	..	43	1	285	412	29
15	2	15	2	..	..	..	..	..	..	..	..	..	..	..	..	..	..	..	..	19	22	30
259	196	210	132	12	..	4	47	..	..	..	..	4	..	..	..	1	..	28	17	273	354	31
145	95	130	87	8	6	..	..	..	..	1	..	..	..	..	..	1	..	5	2	228	261	32
120	109	108	104	3	1	..	..	1	3	3	..	..	..	..	..	2	..	3	1	137	140	33
246	227	230	207	4	4	..	..	..	14	6	..	..	..	2	..	..	..	4	2	258	273	34
260	247	244	236	2	..	..	..	..	3	..	..	2	..	2	..	2	..	8	8	346	263	35
																						36

Name of Police Station

Serial No.	Name of Village/Town/Ward/Enumerator's Block	Amenities	Area in Acres	Occupied Residential Houses: No. of Houses	Occupied Residential Houses: No. of Households	Total Population: P	Total Population: M	Total Population: F	Scheduled Castes: M	Scheduled Castes: F	Scheduled Tribes: M	Scheduled Tribes: F	Literate and Educated Persons: M	Literate and Educated Persons: F
1	2	3	4	5	6	7	8	9	10	11	12	13	14	15
37	Phukanarkhat	R, Rly, M, S, Wb, D, Cd.	398.2	55	55	340	193	147	..	..	..	..	132	72
38	Singia Bebejia	R, P, S, Wb, D, V, Cd.	337.0	73	73	473	251	222	..	..	..	..	172	88
39	Niz Bhelenguri	R, Rly, M, S, Wb, D, V, Cd.	750.5	Tagged with No. 54										
40	Habsara Barali Gaon		600.3	No Population										
41	Gendheli Bebejia	R, P, S, Wb, D, V.	604.4	86	86	409	192	217	17	18	..	..	109	53
42	Bharaguri No. 2	R, Kw, Wb, D.	397.0	6	6	12	8	4	..	..	..	..	1	1
43	Pamgaon	R, M, S, Wb, D, V. Cd.	531.4	114	114	659	361	298	..	..	..	..	193	100
44	Padumani	R, Kw, V.	531.2	Merged with village No. 43										
45	Khanajan Gaon		504.1	15	15	99	51	48	..	..	..	..	4	..
46	Kathalguri	R, S, D, V.	293.8	25	25	250	137	113	..	..	..	..	36	5
47	Bardal Gaon	R, P, S,	473.2	Tagged with village No. 77										
48	Mikir Gaon	R, P, S, Db, D.	232.4	76	76	437	228	209	..	..	..	..	50	16
49	Amguri	R, Edbo, P, S, Wb, D.	626.1	97	97	576	290	286	12	2	2	..	66	17
50	Gendheli Kachari Gaon	R, M, S, Wb, D, V.	509.8	56	56	351	192	159	15	12	19	29	26	1
51	Kuruabahi	R, Cso, P, S, Wb, D, V.	330.2	66	66	396	200	196	34	39	15	21	69	35
52	Auniati Satra	R, Rly, H, S, Wb, V, Cd.	335.1	111	111	596	333	263	..	..	..	..	220	116
53	Kachari Gaon	R, Rly, P, S, Wb, D, V.	585.5	115	115	771	387	384	34	42	181	182	204	74
54	Samaguri Grant	R, Rly, S, Wb, D, V.	732.6	108	108	850	471	379	91	65	82	69	174	30
55	Udmari Grant	R, P, S, Wb, D, V.	460.1	125	125	643	334	309	11	11	..	..	118	49
56	Udmari Gaon	R, P, S, D, V.	793.8	48	48	323	179	144	..	..	..	..	43	2
57	Jang Dafadar		445.7	14	14	68	35	33	5	..	..	..	..	..
58	Silimkhowa	R, S, Wb, Cd.	627.7	88	88	440	230	210	43	47	68	59	49	14
59	Barjuri	R, P, Pw, Wb.	684.5	107	107	553	294	259	2	..	92	102	46	15
60	Gohain Gaon	R, P, S, Wb, D.	223.2	19	19	116	65	51	..	..	31	26	5	..
61	Jatia Pathar		340.0	No Population										
62	Kachari Gaon	R, Rly, H, S, Wb, D.	794.4	280	280	1,413	742	671	..	..	..	..	535	318
63	Puranigudam Town	R, Rly, So, H, S, Db, D.	155.0	223	223	1,321	720	601	51	49	..	..	515	383
64	Puranigudam	R, Rly, P, Db, D.	804.9	226	226	1,542	787	755	25	19	..	..	517	317
65	Niz Chalchali	R, Edbo, P, S, Wb, D, V, Cd.	734.8	554	554	3,203	1,681	1,522	44	32	..	..	873	512
66	Halowa Goan	R, P, S, Wb, D, V.	807.0	355	355	2,107	1,097	1,010	..	..	..	..	710	441
67	Bherbheri	R, Rly, P, S, Wb, D, V.	533.8	203	203	1,275	640	635	..	..	..	..	432	226
68	Dewriati	R, S, Wb, D, V.	824.1	5	5	31	19	12	..	..	..	..	8	5
69	Chalchali Jalah	R, P, S, Wb, D, V.	530.8	50	50	575	304	271	19	14	..	..	157	107
70	Mohpara	R, S, Wb, D, V.	646.7	18	18	100	60	40	..	..	..	..	46	15
71	Balijuri	R, S, Wb, D, V.	748.3	5	5	36	19	17	..	..	..	..	9	5
72	Bamuni	R, P, S, Wb, D, V.	788.1	105	105	624	320	304	..	..	..	..	105	51
73	Dakhinpat	R, Kw, Wb, D, V.	187.1	50	50	312	162	150	..	..	28	25	46	18
74	Mikir Goan	R, M, S, Wb, D.	465.4	69	69	364	187	177	..	..	39	40	59	14
75	Bebejia	R, P, S, Wb, D, V.	373.2	21	21	127	64	63	..	..	..	..	12	8
76	Barlalung Gaon	R, P, Kw, Wb, D, V.	503.9	37	37	202	105	97	..	..	1	..	50	35
77	Mikirbamuni Grant	R, Kw, Wb, D, V.	312.4	76	76	696	363	333	47	46	5	2	100	13
78	Ahom Gaon	R, P, S, Wb, D, V, Cd.	476.6	150	150	586	307	279	..	..	92	100	126	38
79	Kukuabahi	R, Wb, D, V, Cd.	211.6	9	9	53	26	27	..	..	..	..	6	..
80	Auniati Satra	R, P, S, Wb, D, V.	1,071.3	179	179	1,103	563	540	27	37	97	79	246	103
81	Kajiranga	R, M, S, D.	926.3	138	138	656	350	306	..	..	..	..	65	27
82	Mikir Gaon	R, P, S, Wb, D, Cd.	510.2	38	38	213	107	106	28	38	..	..	35	6
83	Gara Chuk		512.6	63	63	342	177	165	15	20	..	..	88	37
84	Barchongjhar	R, Pw, Wb, D, Cd.	817.8	114	114	637	332	305	..	..	138	113	99	51

SAMAGURI (8)

Total workers (I—IX)		WORKERS I		II		III		IV		V		VI		VII		VIII		IX		X Non-workers		Sl. No.
M	F	M	F	M	F	M	F	M	F	M	F	M	F	M	F	M	F	M	F	M	F	
16	17	18	19	20	21	22	23	24	25	26	27	28	29	30	31	32	33	34	35	36	37	1
72	5	52	5	1	..	..	..	..	..	1	..	..	..	1	..	..	..	17	..	121	142	37
111	6	95	3	4	..	..	..	..	..	3	..	..	..	1	..	2	..	6	3	140	216	38
																						39
																						40
97	14	83	12	..	..	7	..	..	2	..	..	1	..	2	..	..	..	4	..	95	203	41
3	..	..	..	..	..	..	..	..	..	..	..	..	..	..	..	3	..	..	..	5	4	42
175	39	171	38	..	..	..	1	..	..	1	..	..	..	..	..	1	..	2	..	186	259	43
																						44
27	..	27	..	..	..	..	..	..	..	..	..	..	..	..	..	..	..	..	..	24	48	45
76	60	48	52	1	..	9	..	..	..	..	..	..	..	..	..	..	..	18	8	61	53	46
																						47
140	117	138	117	..	..	..	..	..	..	..	..	..	..	..	..	..	..	2	..	88	92	48
170	157	164	157	..	..	..	..	..	..	..	..	2	..	4	..	..	..	..	..	120	129	49
103	90	98	88	4	2	..	..	..	..	1	..	..	..	..	..	..	..	..	..	89	69	50
99	86	87	85	6	1	..	..	..	..	..	..	..	..	..	..	1	..	5	..	101	110	51
176	3	73	..	5	..	1	..	..	..	15	..	..	..	26	1	6	..	50	2	157	260	52
193	71	151	62	8	2	6	2	..	..	2	..	2	..	5	1	3	..	16	4	194	313	53
287	166	201	152	19	9	35	..	..	1	2	..	1	..	17	..	..	..	12	4	184	213	54
195	140	148	125	1	1	6	..	..	..	13	..	..	..	7	..	..	..	20	14	139	169	55
97	61	61	26	..	..	21	35	..	..	..	..	4	..	11	..	..	..	..	..	82	83	56
15	12	14	11	..	..	..	1	..	..	1	..	..	..	..	..	..	..	..	..	20	21	57
127	60	79	57	1	..	5	..	..	..	14	..	3	..	14	..	1	..	10	3	103	150	58
169	124	125	110	16	2	1	1	..	..	..	..	1	..	6	..	..	..	20	11	125	135	59
43	29	29	24	2	..	..	..	..	..	..	..	..	..	3	..	..	..	9	5	22	22	60
																						61
358	257	323	179	9	..	..	..	..	77	1	..	..	..	..	..	3	..	22	1	384	414	62
357	57	138	23	34	3	3	..	..	24	24	1	22	..	32	..	14	..	90	6	363	544	63
364	270	305	147	10	1	..	..	..	118	2	..	1	..	2	..	9	..	35	4	423	485	64
757	222	672	208	22	2	..	..	..	..	11	..	2	..	10	..	2	..	38	12	924	1,300	65
516	299	451	292	6	1	1	..	..	1	4	..	13	..	10	..	2	..	29	5	581	711	66
322	168	263	163	8	..	1	..	..	..	..	..	3	..	5	..	2	..	40	5	318	467	67
7	1	6	1	..	..	..	..	..	..	..	..	..	..	..	..	..	..	1	..	12	11	68
146	4	123	3	1	..	..	..	..	..	3	..	..	..	4	..	2	..	13	1	158	267	69
19	..	19	..	..	..	..	..	..	..	..	..	..	..	..	..	..	..	..	..	41	40	70
8	..	8	..	..	..	..	..	..	..	..	..	..	..	..	..	..	..	..	..	11	17	71
167	4	147	3	13	..	..	..	..	..	2	..	1	..	2	..	..	..	2	1	153	300	72
82	69	71	62	..	..	..	6	..	..	..	..	7	..	..	..	..	..	4	1	80	81	73
111	50	85	49	4	..	1	..	..	..	2	..	1	..	11	..	3	..	4	1	76	127	74
30	18	30	18	..	..	..	..	..	..	..	..	..	..	..	..	..	..	..	..	34	45	75
62	52	54	52	..	..	..	..	..	..	1	..	..	..	4	..	3	..	..	..	43	45	76
218	192	209	192	..	..	2	..	..	..	..	..	..	..	..	..	..	..	7	..	145	141	77
205	153	182	150	18	3	..	..	..	..	..	..	..	..	5	..	..	..	..	..	102	126	78
15	11	13	10	2	1	..	..	..	..	..	..	..	..	..	..	..	..	..	..	11	16	79
297	217	267	217	3	..	2	..	..	..	3	..	..	..	13	..	..	..	9	..	266	323	80
212	85	203	85	..	..	..	..	..	..	2	..	..	..	5	..	..	..	2	..	138	221	81
54	4	53	4	..	..	..	..	..	..	..	..	..	..	..	..	..	..	1	..	53	102	82
104	4	85	2	..	..	2	..	..	..	1	..	2	..	5	..	5	..	4	2	73	161	83
188	130	181	128	2	2	..	..	..	..	3	..	..	..	..	..	..	..	2	..	144	175	84

Serial No.	Name of Village/Town/ Ward/Enumerator's Block	Amenities	Area in Acres	Occupied Residential Houses: No. of Houses	Occupied Residential Houses: No. of Households	Total Population: P	Total Population: M	Total Population: F	Scheduled Castes: M	Scheduled Castes: F	Scheduled Tribes: M	Scheduled Tribes: F	Literate and Educated Persons: M	Literate and Educated Persons: F
1	2	3	4	5	6	7	8	9	10	11	12	13	14	15
85	Niz Chapanalla	R, So, M, S, Wb, D, V.	403.4	110	110	511	272	239	56	38	..	..	79	32
86	Cham Gaon	R, P, Pw, Wb, D, V.	959.8	118	118	614	315	299	7	3	37	36	109	47
87	Uttar Barghat	R, P, Pw, Wb, D, V.	359.1	66	66	326	175	151	..	..	..	..	50	19
88	Nalbari	R, P, Kw, Wb, D, V.	870.3	138	138	600	332	268	130	113	34	30	67	16
89	Matia Pahar		446.4	8	8	32	18	14	..	..	..	..	2	..
90	Naharbari	R, Kw, Wb, Hos.	300.3	Tagged With Village No 20										
91	Hayang Thal	R, P, Pw, Wb, D.	258.1	Tagged With Village No 21										
92	Silphata	R, P, Kw, Wb, Hos.	200.3	Tagged With Village No 22										
93	Hayang Thal N.C.	R, Tk, Wb, Hos.	845.7	Tagged With Vilage No 94										
94	Kathalguri Mikir Gaon	R, P, S, Wb, D, Cd.	592.2	111	111	459	248	211	5	4	..	..	62	30
95	Gharman Gaon		530.7	45	45	201	101	100	86	82	..	..	33	13
96	Loong Choong Gaon	R, P, Pw, Wb, D, Cd.	273.2	Tagged With Village No 98										
97	Rang Hang Gaon	R, P, S, Wb, D.	436.1	Tagged With Village No 14										
98	Charan Basti	R, P, S, Cd.	317.9	45	45	427	211	216	70	87	3	7	60	8
99	Barhola Gaon	R, P, S, Cd.	363.2	79	79	424	212	212	18	35	..	..	59	14
100	Padumani	R, Kw, Wb, Cd.	19.8	4	4	18	8	10	1	3	3	3	..	..
101	Simana Basti	R, P, S, V, Cd.	681.1	193	193	888	465	423	15	17	..	..	88	18
102	New Salona		253.9	No Population										
103	Kalapani	R, Pw, Wb, Cd.	98.7	Included in forest village Baghekhati										
104	Jatiakachari Gaon	R, S, Wb, D, V, Cd.	239.1	40	40	243	128	115	..	..	126	109	10	6
105	Barjari Mikir Gaon	R, Riv, Wb, D, Cd.	395.3	38	38	200	105	95	..	..	71	31	6	..
106	Dewchur Chang	R, P, S, Wb, D, V, Cd.	708.9	45	45	279	135	144	..	..	..	..	37	4
107	Chilimkhowa Gaon	R, P, Riv, Wb, D, V, Cd.	550.3	14	14	80	41	39	..	..	..	..	9	1
108	Napani Mikir Gaon No. 1		240.2	20	20	122	67	55	24	16	43	39	3	2
109	Rekapahar Dombar Gaon No. 2	R, Riv.	279.1	37	37	151	78	73	..	..	50	41	12	5
110	Sarsabari No. 1	R, P, Pw, V, Cd.	43.4	142	142	572	305	267	42	28	..	..	12	4
111	Sarsabari No. 2	R, Riv, V, Cd.	591.8	6	6	20	13	7	..	..	..	..	..	..
112	Jara Basti	R, P, S, Wb, V, Cd.	79.4	28	28	153	78	75	2	6	..	..	15	4
113	Haspani N. C.	R, P, Riv, D, V, Cd.	18.9	183	183	487	264	223	4	7	11	11	7	2
114	Dijoo Vally N. C.		587.1	No Population										
115	Lengteng N. C.	R, P, Kw, V, Cd.	545.4	35	35	170	84	86	2	..	2	1	17	6
116	Sonajuri N. C.	R, P, Kw, V.	88.8	33	33	174	93	81	8	9	..	..	1	..
117	Salbari N. C.		95.5	No Population										
118	Simana N. C.	R, P, S, Wb, V, Cd.	61.0	36	36	167	69	98	..	..	..	..	7	6
119	Kapari Basti		16.2	No Population										
	TEA ESTATE													
1	Amluckee		..	403	403	2,591	1,345	1,246	5	4	..	..	254	31
2	Udmari Block		..	66	66	323	157	166	11	15	..	..	43	13
3	Rangagara		..	143	143	1,249	633	616	15	10	..	..	102	4
4	Balijuri		..	137	137	738	383	355	11	15	112	96	97	20
5	Old Salona		..	125	125	1,170	583	587	51	52	..	..	124	38
5(a)	Nonoi Out Garden		..	295	295	1,498	749	749	5	3	1	4	95	21
5(b)	Rangamati		..	147	147	672	350	322	..	..	..	..	22	3
6	Sukanjuri		..	42	42	209	116	93	..	..	..	..	28	7
7	Jiajuri		..	260	260	1,095	571	524	9	3	..	..	44	18
8	Loong Choong		..	210	210	1,165	646	519	7	1	..	..	192	38
9(a)	Chapanalla		..	32	32	166	95	71	..	..	..	..	12	6
9(b)	Chapanalla		..	72	72	361	191	170	..	..	..	..	47	10
10	Matiapahar		..	42	42	173	105	68	5	3	..	..	8	..
11	Salona		..	321	321	2,135	1,146	989	..	..	..	..	322	39
12	Nanpani		..	143	143	1,205	617	588	4	8	..	..	124	22
13	Khanajan		..	64	64	301	154	147	..	..	..	..	19	5

SAMAGURI (8)

WORKERS																						
Total workers (I—IX)		I		II		III		IV		V		VI		VII		VIII		IX		X Non-workers		Sl. No.
M	F	M	F	M	F	M	F	M	F	M	F	M	F	M	F	M	F	M	F	M	F	
16	17	18	19	20	21	22	23	24	25	26	27	28	29	30	31	32	33	34	35	36	37	1
168	53	99	42	..	..	15	8	..	..	17	..	15	..	11	..	1	..	10	3	104	186	85
198	9	114	3	20	..	11	4	..	..	12	..	1	..	14	..	2	..	24	2	117	290	86
99	4	80	2	4	..	7	1	..	..	..	..	..	..	..	..	..	..	8	1	76	147	87
200	107	113	59	6	7	15	39	..	..	..	..	4	..	15	..	1	..	46	2	132	161	88
13	8	10	6	..	..	3	2	..	..	..	..	..	..	..	..	..	..	..	..	5	6	89
																						90
																						91
																						92
																						93
126	3	115	3	4	..	..	..	..	..	3	..	..	..	4	..	..	..	..	..	122	208	94
27	1	22	..	..	..	..	..	..	..	..	..	..	..	..	..	..	..	5	1	74	99	95
																						96
																						97
129	1	129	1	..	..	..	..	..	..	..	..	..	..	..	..	..	..	..	..	82	215	98
109	5	105	3	..	..	..	..	..	..	..	..	..	..	..	..	1	..	3	2	103	207	99
7	..	7	..	..	..	..	..	..	..	..	..	..	..	..	..	..	..	..	..	1	10	100
268	22	130	4	..	..	6	..	..	..	2	..	5	..	19	..	..	..	106	18	197	401	101
																						102
																						103
78	59	71	54	6	5	1	..	..	..	..	..	..	..	..	..	..	..	..	..	50	56	104
58	31	58	31	..	..	..	..	..	..	..	..	..	..	..	..	..	..	..	..	47	64	105
65	72	65	72	..	..	..	..	..	..	..	..	..	..	..	..	..	..	..	..	70	72	106
20	17	20	17	..	..	..	..	..	..	..	..	..	..	..	..	..	..	..	..	21	22	107
33	6	32	6	..	..	..	..	..	..	..	..	..	..	..	..	..	..	1	..	34	49	108
49	5	49	5	..	..	..	..	..	..	..	..	..	..	..	..	..	..	..	..	29	68	109
176	2	169	2	4	..	..	..	..	..	..	..	..	..	1	..	..	..	2	..	129	265	110
8	..	7	..	..	..	..	..	..	..	..	..	..	..	..	..	..	..	1	..	5	7	111
39	9	38	9	..	..	..	..	..	..	..	..	..	..	..	..	..	..	1	..	39	66	112
183	30	164	29	..	..	1	1	..	..	..	..	..	..	..	..	..	..	18	..	81	193	113
																						114
46	6	44	6	1	..	1	..	..	..	..	..	..	..	..	..	..	..	..	..	38	80	115
51	9	49	8	..	..	1	1	..	..	..	..	..	..	..	..	..	..	1	..	42	72	116
																						117
31	18	15	5	..	..	5	7	..	..	..	..	..	..	..	..	..	..	11	6	38	80	118
																						119
706	505	492	364	7	1	136	138	..	..	20	..	6	..	10	..	10	..	25	2	639	741	1
82	83	..	..	..	..	79	83	..	..	1	..	..	..	..	..	..	..	2	..	75	83	2
338	268	98	56	6	..	207	205	1	..	1	..	..	..	2	..	..	..	23	7	295	348	3
208	114	61	..	..	..	134	114	..	..	..	..	..	..	..	..	1	..	12	..	175	241	4
268	257	6	..	..	..	250	256	..	..	..	..	..	..	..	..	..	..	12	1	315	330	5
415	328	139	76	..	..	238	249	..	..	13	..	10	..	1	..	5	..	9	3	334	421	5(a)
172	160	7	4	..	..	162	155	..	..	..	..	..	..	2	1	..	..	1	..	178	162	5(b)
67	42	8	..	1	..	49	40	..	..	6	..	..	..	..	..	1	..	2	2	49	51	6
309	261	1	..	..	..	267	258	..	..	11	..	1	..	2	..	5	..	22	3	262	263	7
380	233	32	1	..	..	215	223	..	..	24	1	51	..	1	..	12	..	45	8	266	286	8
51	30	..	..	..	..	38	29	..	1	3	..	..	..	2	..	1	..	7	..	44	41	9(a)
103	85	1	..	..	..	95	85	..	..	1	..	..	..	2	..	..	..	4	..	88	85	9(b)
69	40	1	..	..	..	61	40	..	..	7	..	..	..	..	..	..	..	..	..	36	28	10
643	429	31	19	1	..	446	402	2	..	42	..	19	..	36	1	16	..	50	7	503	560	11
335	304	15	14	..	..	289	290	..	..	11	..	1	..	4	..	5	..	10	..	282	284	12
103	51	69	39	..	..	30	11	..	..	..	..	..	..	1	..	1	..	2	1	51	96	13

Serial No.	Name of Village/Town/ Ward/Enumerator's Block	Amenities	Area in Acres	Occupied Residential Houses		Total Population			Scheduled Castes		Scheduled Tribes		Literate and Educated Persons	
				No. of Houses	No. of Households	P	M	F	M	F	M	F	M	F
1	2	3	4	5	6	7	8	9	10	11	12	13	14	15
14	Barghat		..	130	130	674	349	325	3	4	..	..	47	1
15	Anjukpani		..	137	137	640	338	302	..	..	..	..	46	4
16	Lengteng		..	238	238	862	454	408	16	23	2	7	141	33
17	Dijoo Valley		..	121	121	924	479	445	10	17	..	..	43	12
	RAILWAY													
1	Samaguri Railway Station		..	6	6	24	18	6	..	..	..	..	6	3
2	Railway Colony Part 1		..	10	10	63	41	22	..	..	..	..	25	7
3	Railway Colony Part 2		..	7	7	37	22	15	..	..	..	..	11	6
4	Salona Assam		..	8	8	38	27	11	2	1	..	..	10	1
	FOREST													
1	Baghekhati		..	4	4	13	8	5	3	..	..	..	2	1

SAMAGURI (8)

Total workers (I—IX)		WORKERS I		II		III		IV		V		VI		VII		VIII		IX		X Non-workers		Sl. No.
M	F	M	F	M	F	M	F	M	F	M	F	M	F	M	F	M	F	M	F	M	F	
16	17	18	19	20	21	22	23	24	25	26	27	28	29	30	31	32	33	34	35	36	37	1
188	153	3	1	..	..	184	152	..	..	..	..	..	..	..	..	..	..	1	..	161	172	14
196	157	39	21	..	..	150	136	..	..	..	..	..	..	7	..	..	..	..	..	142	145	15
253	156	13	3	..	..	189	152	..	..	8	..	3	..	3	..	2	..	35	1	201	252	16
271	218	4	2	..	..	246	215	..	..	1	..	..	..	2	..	2	..	16	1	208	227	17
15	..	..	..	..	..	..	..	..	..	..	..	..	..	..	..	15	..	..	..	3	6	1
22	..	..	..	..	..	..	..	..	..	..	..	..	..	..	..	18	..	4	..	19	22	2
12	..	..	..	..	..	..	..	..	..	..	..	..	..	..	..	12	..	..	..	10	15	3
18	..	2	..	..	..	..	..	..	..	..	..	..	..	..	..	16	..	..	..	9	11	4
5	3	5	3	..	..	..	..	..	..	..	..	..	..	..	..	..	..	..	..	3	2	1

Serial No.	Name of Village/Town/ Ward/Enumerator's Block	Amenities	Area in Acres	Occupied Residential Houses: No. of Houses	Occupied Residential Houses: No. of Households	Total Population: P	Total Population: M	Total Population: F	Scheduled Castes: M	Scheduled Castes: F	Scheduled Tribes: M	Scheduled Tribes: F	Literate and Educated Persons: M	Literate and Educated Persons: F
1	2	3	4	5	6	7	8	9	10	11	12	13	14	15
	Jamunamukh P.S.	Total	246.0 (Sq. miles)	21,937	22,014	119,259	64,300	54,959	4,847	4,168	1,453	1,297	25,365	9,671
		Rural	244.3 (Sq. miles)	19,750	19,754	106,402	56,716	49,686	4,384	3,842	1,443	1,295	20,826	7,658
		Urban	1.7 (Sq. miles)	2,187	2,260	12,857	7,584	5,273	463	326	10	2	4,539	2,013
1	Bhaluka uri		778.6			No Population								
2	Kalaikhowa	R, P, S, Wb, D, V, Cd.	568.6	45	45	166	96	70	91	67	..	..	38	7
3	Pachim Khalaibhanga	R, S, Wb, D, V, Cd.	429.3	31	31	164	88	76	79	56	..	..	44	8
4	Pub Khalaibhanga	R, P, S, D, V, Cd.	698.0	80	80	614	313	301	7	8	..	..	184	99
5	Kachari Khanda	R, Kw, D, V, Cd.	246.3	3	3	25	14	11	14	11	..	..	8	..
6	Bamunijan	R, P, S, Wb, Hos, V, Cd.	591.9	19	19	109	67	42	8	9	..	..	47	10
7	Kekuribari	R, P, S, Db, D, V, Cd.	784.7	44	44	254	128	126	128	126	..	..	66	30
8	Tarangigaon	R, P, S, Hos, Cd.	695.7	149	149	978	524	454	..	..	..	..	330	125
9	Niz Kampur	R, P, S, Cd.	755.2	255	255	1,852	964	888	..	..	..	..	504	258
10	Majarati	R, P, S, Wb, D, Cd.	652.6	92	92	693	337	356	..	..	..	..	202	88
11	Tetelisora	R, P, S, Wb, D, V, Cd.	610.7	180	180	1,197	617	580	..	..	..	..	417	173
12	Tetelisora Grant	R, P, S, D, Cd.	693.7	125	125	926	513	413	..	..	..	..	245	77
13	Bhalbholia	R, Rly, P, S, Hos.	550.3	179	179	1,212	672	540	7	7	..	..	432	171
14	Barapatia	R, Rly, M, S, Wb, D, V, Cd.	925.0	673	673	3,662	2,180	1,482	94	59	11	..	1,141	579
15	Ghilani	R, P, S, Wb, D, Cd.	895.6	209	209	1,809	921	888	65	63	..	..	305	129
16	Debnarikali	R, H, S, Wb, Hos, Cd.	598.9	191	191	1,208	675	533	434	350	101	73	270	107
17	Bundhura	R, P, S, D, Cd.	1,070.8	28	28	181	91	90	..	..	91	90	19	11
18	Charaihagi	R, P, S, Wb, Hos, V, Cd.	476.9	39	39	177	87	90	37	35	..	..	20	6
19	Bagagaraimari		150.7			No Population								
20	Dakhinpat	R, P, S, Wb, Hos, Cd.	398.7	171	171	1,103	575	528	106	120	..	..	218	104
21	Pachim Kawaimari	R, P, S, Wb, V, Cd.	525.8	48	48	313	142	171	22	30	..	..	74	38
22	Pub Kawaimari	R, P, S, Wb, Hos, V.	405.2	31	31	192	96	96	..	..	..	..	24	9
23	Tubuki Grant	R, P, S, Wb, Hos, V, Cd.	638.0	128	128	853	432	421	..	..	..	..	98	30
24	Rongalugaon	R, P, S, Wb, Hos, V, Cd.	509.5	100	104	506	279	227	29	17	..	..	67	23
25	Sagunbahigaon	R, P, S, Wb, Hos, V, Cd.	304.6	54	54	248	138	110	..	..	..	..	43	18
26	Niz Kathiatoli	R, P, S, Wb, Hos, V, Cd.	588.4	86	86	459	234	225	..	..	..	..	78	15

JAMUNAMUKH (9)

Total workers (I—IX)		WORKERS I		II		III		IV		V		VI		VII		VIII		IX		X Non-workers		Serial No.
M	F	M	F	M	F	M	F	M	F	M	F	M	F	M	F	M	F	M	F	M	F	
16	17	18	19	20	21	22	23	24	25	26	27	28	29	30	31	32	33	34	35	36	37	1
35,022	11,070	22,735	8,697	2,327	279	852	552	126	1,004	1,677	135	456	27	2,999	27	568	5	3,282	344	29,278	43,889	
30,652	10,952	22,500	8,674	2,297	279	833	552	126	1,004	715	100	390	27	1,436	16	328	5	2,027	295	26,064	38,734	
4,370	118	235	23	30	:	19	:	:	:	962	35	66	:	1,563	11	240	:	1,255	49	3,214	5,155	
																						1
62	..	50	..	..	..	..	..	..	..	..	..	..	..	6	..	..	..	6	..	34	70	2
56	1	35	1	..	..	..	..	..	..	..	..	..	..	20	..	..	..	1	..	32	75	3
135	85	63	41	13	..	..	..	..	42	25	1	11	..	8	..	4	..	11	1	178	216	4
6	5	6	..	..	..	..	..	..	5	..	..	..	..	..	..	..	..	..	..	8	6	5
29	9	26	1	2	..	..	..	..	8	..	..	..	..	..	..	1	..	..	..	38	33	6
72	62	67	28	..	..	..	..	2	34	..	..	..	..	2	..	..	..	1	..	56	64	7
256	276	256	269	..	..	..	..	..	6	..	..	..	..	..	..	..	..	..	1	268	178	8
442	431	406	79	7	..	..	..	1	350	..	..	3	..	2	..	1	..	22	2	522	457	9
163	157	143	157	8	..	..	..	..	..	3	..	1	..	1	..	3	..	4	..	174	199	10
280	263	261	241	4	..	..	..	..	22	1	..	1	..	2	..	2	..	9	..	337	317	11
165	172	130	130	..	..	..	..	2	42	..	..	1	..	..	..	..	..	32	..	348	241	12
339	238	226	214	21	7	..	..	1	15	20	1	6	..	16	1	9	..	40	..	333	302	13
1,131	251	288	167	7	..	6	..	..	56	93	..	118	..	236	2	46	4	337	22	1,049	1,231	14
507	378	470	337	15	1	13	..	..	32	..	6	..	..	6	..	..	..	3	2	414	510	15
346	302	305	274	20	8	1	..	2	20	1	..	..	..	4	..	2	..	11	..	329	231	16
62	51	56	50	..	..	..	..	..	1	..	..	4	..	..	..	1	..	1	..	29	39	17
57	35	33	29	..	..	..	..	..	..	..	2	..	..	23	4	..	..	1	..	30	55	18
																						19
295	270	251	250	14	..	..	..	..	18	..	..	6	..	12	1	3	..	9	1	280	258	20
81	92	75	85	3	..	..	..	..	7	1	..	..	..	..	..	..	..	2	..	61	79	21
52	29	41	29	11	..	..	..	..	..	..	..	..	..	..	..	..	..	..	..	44	67	22
261	234	261	232	..	1	..	..	..	1	..	..	..	..	..	..	..	..	..	..	171	187	23
146	41	113	31	15	..	5	6	4	4	3	..	2	..	1	..	..	..	3	..	133	186	24
80	12	61	12	1	..	..	..	1	..	3	..	1	..	10	..	2	..	1	..	58	98	25
130	41	124	41	..	..	..	..	..	..	4	..	..	..	2	..	..	..	..	..	104	184	26

Serial No.	Name of Village/Town/ Ward/Enumerator's Block	Amenities	Area in Acres	Occupied Residential Houses		Total Population			Scheduled Castes		Scheduled Tribes		Literate and Educated Persons	
				No. of Houses	No. of Households	P	M	F	M	F	M	F	M	F
1	2	3	4	5	6	7	8	9	10	11	12	13	14	15
27	Jumurmur	R, P, S, Wb, Hos V. Cd.	623.2	93	93	995	509	486	115	106	95	101	174	52
28	Mahgarh	R, P, S, Wb, Hos, V, Cd.	414.4	35	35	222	115	107	2	2	113	105	55	21
29	Pachim Kathiatoli	R, P, S, Wb, Hos, V.	705.6	38	38	208	106	102	41	34	..	..	70	22
30	Opar-Bar-Lalung Gaon	R, P, S, Db, D, V, Cd.	293.1	Merged with village No. 31										
31	Kachari Gaon	R, H, S, Wb, D, V, Cd.	460.7	192	192	959	502	457	1	..	153	152	243	105
32	Loong Poong	R, P, Pw, Db, Hos, V, Cd.	581.3	45	45	268	143	125	50	39	..	..	44	16
33	Nambar Laloong Gaon	R, P, S, Wb, Hos, V, Cd.	300.1	237	237	1,278	684	594	..	..	99	82	180	65
34	Pachim Nambar Laloog Gaon	R, P, S, Wb, Hos, V.	1,273.4	131	131	827	436	391	..	..	28	20	180	71
35	Gorubandhagaon	R, P, S, Wb, D, V, Cd.	743.4	28	28	143	70	73	..	..	..	..	25	10
36	Mikirgaon	R, P, S, Db, D, V, Cd.	538.6	68	68	327	174	153	..	..	..	..	92	23
37	Saru Pathar	R, P, S, Db, Hos, V. Cd.	633.7	108	108	478	251	227	..	..	..	..	109	20
38	Patiapam	R, Rly, Edbo, S, V, Cd.	581.7	70	70	450	234	216	..	..	..	..	137	85
39	Changjuri	R, Rly, P, S, Wb, D, V, Cd.	908.8	125	125	726	376	350	..	..	..	..	133	51
40	Patiapam Pathar	R, P, S, Wb, D, Cd.	472.1	36	36	244	133	111	..	..	..	..	26	3
41	Bherbheri		848.1	107	107	373	179	194	..	..	..	..	33	9
42	Nagayapam	R, P, S, Wb, D, Cd.	856.7	234	234	1,414	759	655	6	7	..	..	287	84
43	Kathkatia Bhakat Gaon	R, Rly, H, S, Wb, V, Cd.	559.2	255	255	2,070	1,164	906	38	23	..	..	619	402
44	Barjari Majgaon	R, Rly, S, Db, V, Cd.	..	428	428	2,261	1,216	1,045	33	30	..	..	440	164
45	Barjarigaon	R, P, S, Wb, D, V, Cd.	603.1	42	42	222	110	112	..	..	..	..	53	21
46	Dekerua		701.2	38	38	275	148	127	..	..	..	..	32	1
47	Block No. 48	R, P, S, V, Cd.	476.5	7	7	45	27	18	..	..	..	..	1	..
48	Sarupathar	R, P, S, D, V, Cd.	480.3	116	116	578	307	271	..	..	2	1	48	3
49	Bhelowguri	R, P, S, Wb, D, V, Cd.	892.5	300	300	1,159	663	496	..	..	80	75	76	11
50	Bhelowguri Pathar	R, S, Db, D, V, Cd.	1,201.9	56	56	361	178	183	..	..	..	..	41	4
51	Patidoia	R, P, S, Db, D, V, Cd.	363.0	32	32	248	122	126	..	..	..	..	42	19
52	Baliram Gaon	R, P, S, Db, D, V, Cd.	745.1	281	281	1,633	906	727	8	8	..	..	485	215
53	Erakapili	R, Rly, P, S, Db, D, V, Cd.	400.8	272	272	1,400	732	668	2	6	..	..	490	257
54	Jugijan	R, P, S, Db, D, V, Cd.	838.4	137	137	869	456	413	..	..	..	..	242	86
55	Changmaji Mikir Pathar	R, P, S, Db, D, V, Cd.	674.0	80	80	400	210	190	..	..	..	..	49	5
56	Changmaji Mikir Gaon	R, P, S, Wb, D, V, Cd.	220.9	39	39	198	112	86	..	..	..	..	20	5
57	Changmaji Pathar	R, P, S, Wb, D, V, Cd.	601.9	109	109	437	230	207	..	..	..	..	34	..
58	Modartoli	R, P, S, Db, D, V, Cd.	770.9	73	73	373	191	182	..	1	99	102	92	26
59	Changmaji Gaon	R, S, Wb, D, V, Cd.	1,357.8	249	249	1,226	640	586	..	..	..	..	102	6
60	Jungle Block	R, Edbo, M, S, Wb, Hos, V, Cd.	927.2	143	143	873	457	416	..	..	..	..	180	89
61	Sarlok	R, P, S, Cd.	578.9	72	72	396	208	188	..	..	..	..	35	3

JAMUNAMUKH (9)

Total workers (I—IX)		WORKERS I		II		III		IV		V		VI		VII		VIII		IX		X Non-workers		Sl. No.
M	F	M	F	M	F	M	F	M	F	M	F	M	F	M	F	M	F	M	F	M	F	
16	17	18	19	20	21	22	23	24	25	26	27	28	29	30	31	32	33	34	35	36	37	1
305	97	299	97	..	..	3	..	..	..	..	..	..	..	..	..	..	..	3	..	204	389	27
61	60	61	60	..	..	..	..	..	..	..	..	..	..	..	..	..	..	..	..	54	47	28
51	50	50	49	..	..	..	..	..	1	1	..	..	..	..	..	..	..	..	..	55	52	29
																						30
272	167	117	116	16	7	21	16	1	16	10	3	2	..	56	2	11	..	38	7	230	290	31
83	74	38	39	..	..	14	3	..	1	..	..	..	..	..	..	1	..	30	31	60	51	32
409	262	242	206	15	2	14	2	2	10	12	2	5	..	38	1	6	..	75	39	275	332	33
250	133	223	130	20	..	1	..	..	3	..	..	..	..	3	..	..	..	3	..	186	258	34
39	32	31	23	2	..	..	..	..	1	..	..	..	..	..	..	..	..	6	8	31	41	35
102	73	62	57	10	6	8	1	..	8	..	..	..	..	4	1	..	..	18	..	72	80	36
133	104	82	77	26	21	1	..	1	5	..	..	..	..	1	..	1	..	21	1	118	123	37
112	81	92	81	9	..	..	..	..	..	..	..	7	..	..	..	..	..	4	..	122	135	38
184	34	143	33	4	..	..	..	..	..	22	..	1	..	7	..	..	..	7	1	192	316	39
68	1	67	1	..	..	..	..	..	..	..	..	..	..	1	..	..	..	..	..	65	110	40
103	..	98	..	1	..	..	..	..	..	..	..	..	..	..	..	1	..	3	..	76	194	41
377	45	296	25	61	20	..	..	..	..	2	..	1	..	4	..	..	..	13	..	382	610	42
584	106	329	77	28	5	5	1	1	6	59	8	4	1	108	2	5	..	45	6	580	800	43
752	24	289	..	51	..	..	..	..	..	150	21	2	..	101	..	8	..	151	3	464	1,021	44
49	..	44	..	1	..	..	..	1	..	3	..	..	..	..	..	..	..	..	..	61	112	45
74	..	70	..	1	..	..	..	..	..	..	..	..	..	..	..	..	..	3	..	74	127	46
13	..	13	..	..	..	..	..	..	..	..	..	..	..	..	..	..	..	..	..	14	18	47
151	18	109	18	..	..	1	..	..	..	3	..	..	..	6	..	..	..	32	..	156	253	48
456	275	179	134	12	6	5	3	..	..	3	..	1	..	9	..	..	..	247	132	207	221	49
111	30	103	25	8	5	..	..	..	..	..	..	..	..	..	..	..	..	..	..	67	153	50
73	1	63	1	3	..	..	..	..	..	..	..	1	..	3	..	..	..	3	..	49	125	51
489	87	330	54	23	1	1	..	1	8	17	16	16	..	37	..	15	..	49	8	417	640	52
368	21	98	17	130	1	..	..	..	..	14	2	5	..	75	..	2	..	44	1	364	647	53
194	3	192	3	2	..	..	..	..	..	..	..	..	..	..	..	..	..	..	..	262	410	54
129	1	109	1	20	..	..	..	..	..	..	..	..	..	..	..	..	..	..	..	81	189	55
64	44	58	40	6	4	..	..	..	..	..	..	..	..	..	..	..	..	..	..	48	42	56
131	117	80	72	51	41	..	..	..	4	..	..	..	..	..	..	..	..	..	..	99	90	57
109	87	104	70	4	..	..	..	..	16	..	..	..	..	..	..	..	..	1	1	82	95	58
384	112	356	111	27	..	..	..	..	1	..	..	..	..	..	..	..	..	1	..	256	474	59
253	1	253	1	..	..	..	..	..	..	..	..	..	..	..	..	..	..	..	..	204	415	60
111	3	110	3	..	..	..	..	..	..	..	..	..	..	..	..	..	..	1	..	97	185	61

Serial No.	Name of Village/Town/ Ward/Enumerator's Block	Amenities	Area in Acres	Occupied Residential Houses: No. of Houses	Occupied Residential Houses: No. of Households	Total Population: P	Total Population: M	Total Population: F	Scheduled Castes: M	Scheduled Castes: F	Scheduled Tribes: M	Scheduled Tribes: F	Literate and Educated Persons: M	Literate and Educated Persons: F
1	2	3	4	5	6	7	8	9	10	11	12	13	14	15
62	Bhedowati	R, P, S, Wb, D, Cd.	1,138.8	263	263	1,393	768	625	..	..	..	..	259	27
63	Dabaka Pathar	R, S, Db, D, Cd.	1,501.1	633	633	1,225	639	586	..	..	..	..	185	18
64	Madartali Mikir Gaon	R, P, S, Wb, D, Cd.	560.3	53	53	485	245	240	..	..	..	..	44	12
65	Sardar Gaon	R, P, S, Wb, D, Cd.	404.0	71	71	274	145	129	2	5	..	..	30	6
66	Bhagiram Gaon	R, P, S, Db, D, V, Cd.	582.6	96	96	498	258	240	..	..	13	10	67	16
67	Mikirati Hawgaon	R, P, S, D, V, Cd.	803.7	143	143	822	441	381	..	..	55	36	82	17
68	Niz Dobaka	R, H, S, Wb, D, V, Cd.	904.7	438	438	2,180	1,197	983	11	6	..	..	469	157
69	Sutar Gaon	R, M, S, Db, D, V, Cd.	427.1	380	380	1,934	1,125	809	..	..	..	..	424	169
70	Nahar Gaon	R, S, Dd, D, V, Cd.	438.4	32	32	143	88	55	..	..	14	10	29	7
71	Buri Gaon	R, P, S, Db, D, V, Cd.	341.6	72	72	389	206	183	..	..	3	3	66	12
72	Dighal Jarani		780.7	Merged with Village No. 68										
73	Uttar Chang Chaki	R, S, Wb, D, Cd.	449.4	57	57	350	191	159	16	12	..	..	129	43
74	Dakhin Chang Chaki	R, P, S, Cd.	443.1	106	106	683	346	337	..	..	..	..	242	118
75	Medhi Bhakat Gaon	R, Rly, S, Wb, D, Cb.	293.1	80	80	524	282	242	..	..	..	..	186	85
76	Dewri Gaon	R, Rly, M, S, Wb, D, V, Cd.	740.9	110	110	617	307	310	..	..	..	..	184	69
77	Dewripathar	R, Rly, Kw, Wb, D, Cd.	631.1	32	32	192	108	84	..	..	..	..	68	29
78	Mikirgaon	R, S, Wb, D, Cd.	451.1	129	129	887	466	421	..	..	..	..	212	86
79	Garubat	R, S, Wb, D, Cd.	491.6	86	86	704	376	328	..	..	..	..	190	85
80	Magurmari		570.3	Village Nos. 80&81 Enumerated with Village No. 79										
81	Nowkhonda		494.3											
82	Kawaimari Laloong Gaon	R, P, Pw, Wb, D, V, Cd.	800.5	36	36	253	126	127	..	..	..	..	17	10
83	Kawaimari Mikir Gaon	R, P, Pw, Wb, D, Cd.	341.4	90	90	581	300	281	9	8	46	47	137	51
84	Garukhunda	R, M, S, Wb, D, V, Cd.	411.2	120	120	775	405	370	82	67	..	..	238	85
85	Kawaimari	R, Pw, Wb, V, Cd.	401.0	No Population										
86	Kekuri Bari	R, P, Pw, Wb, Hos. V, Cd.	442.3	12	12	73	38	35	..	..	..	..	33	..
87	Oparkahanda		892.2	Enumerated with Village No. 84										
88	Maurampathar		217.1	Merged with Village No. 89										
89	Dawpara	R, S, Db, Hos, V, Cd.	687.5	90	90	491	266	225	..	..	..	..	124	34
90	Chaibook		900.0	Merged with Village No. 89										
91	Domalhagi	R, P, S, Wb, Hos, V, Cd.	952.4	135	135	693	366	327	..	..	83	74	130	48
92	Kuhimari	R, P, S, Wb, D, V, Cd.	499.0	92	92	494	268	226	2	..	..	..	106	39
93	Chirapathar	R, P, S, Wb, D, V, Cd.	270.0	50	50	264	137	127	..	..	..	..	32	3
94	Kapilikan	R, P, S, Wb, Hos, V, Cd.	575.1	150	150	1,007	521	486	..	..	..	..	126	14
95	Kumbhirdubi Gaon	R, P, S, Wb, Hos, V, Cd.	575.1	108	108	430	214	216	..	..	60	51	97	60
96	Simlaipathar Gaon	R, P, S, Wb, Hos, V, Cd.	780.9	65	65	379	209	170	..	..	..	..	69	14
97	Bakulguri	R, P, S, Wb, Hos, V, Cd.	1,641.4	323	323	1,843	952	891	..	..	..	..	360	139
98	Chankhola	R, P, S, Hos, Cd.	696.6	168	168	974	489	485	..	..	..	..	45	12
99	Kachao No. 2	R, P, S, Wb, D, Cd.	493.2	147	147	781	409	372	..	..	..	..	99	15
100	Satlonga	R, P, Kw, V, Cd.	482.7	Merged with Village No. 101										
101	Gerjai Pam	R, P, S, D, Cd.	784.6	444	444	1,491	775	716	2	..	..	..	164	42

JAMUNAMUKH (9)

Total workers (I—IX)		WORKERS I		II		III		IV		V		VI		VII		VIII		IX		X Non-workers		Sl. No.
M	F	M	F	M	F	M	F	M	F	M	F	M	F	M	F	M	F	M	F	M	F	
16	17	18	19	20	21	22	23	24	25	26	27	28	29	30	31	32	33	34	35	36	37	1
437	11	342	9	83	2	..	..	..	..	1	..	..	..	3	..	..	..	8	..	331	614	62
351	169	319	169	20	..	..	..	..	..	7	..	..	..	2	..	1	..	2	..	288	417	63
126	5	108	3	10	2	..	..	..	..	..	..	..	..	4	..	..	..	4	..	119	235	64
75	4	64	4	8	..	..	..	..	..	..	..	..	..	..	..	..	..	3	..	70	125	65
137	84	114	81	11	3	..	..	..	..	..	..	..	..	..	..	..	..	12	..	121	156	66
224	44	205	43	8	1	..	..	..	..	..	..	..	..	3	..	..	..	8	..	217	337	67
727	34	254	3	90	..	9	..	7	24	37	1	46	..	139	..	26	..	119	6	470	949	68
691	29	198	1	6	..	7	..	..	26	73	..	41	..	228	..	20	..	118	2	434	780	69
51	19	33	19	..	..	..	..	..	..	..	..	12	..	3	..	..	..	3	..	37	36	70
127	30	119	29	3	1	..	..	..	..	..	..	1	..	..	..	1	..	3	..	79	153	71
																						72
97	79	91	79	2	..	..	..	..	..	..	..	..	..	..	..	1	..	3	..	94	80	73
160	152	140	149	14	2	..	..	..	1	..	..	..	..	..	..	..	..	6	..	186	185	74
143	107	120	105	10	..	..	..	..	2	..	..	10	..	1	..	..	..	2	..	139	135	75
162	143	146	124	..	..	..	..	..	17	1	..	..	..	1	..	..	..	14	2	145	167	76
50	46	43	34	..	..	..	..	..	11	..	..	..	..	..	..	1	..	6	1	58	38	77
234	230	214	208	1	..	..	..	..	22	..	..	6	..	2	..	..	..	11	..	232	191	78
216	146	165	146	13	..	..	..	..	..	10	..	16	..	2	..	..	..	10	..	160	182	79
																						80
																						81
58	61	55	61	2	..	..	..	..	..	..	..	..	..	..	..	..	..	1	..	68	66	82
142	105	129	105	3	..	..	..	..	..	1	..	4	..	1	..	..	..	4	..	158	176	83
188	177	186	177	..	..	..	..	..	..	..	..	..	..	..	..	..	..	2	..	217	193	84
																						85
21	24	21	24	..	..	..	..	..	..	..	..	..	..	..	..	..	..	..	..	17	11	86
																						87
																						88
141	122	138	122	..	..	..	..	..	..	..	..	..	..	..	..	..	..	3	..	125	103	89
																						90
210	14	209	14	..	..	..	..	..	..	..	..	..	..	..	..	..	..	1	..	156	313	91
146	41	145	41	..	..	1	..	..	..	..	..	..	..	..	..	..	..	..	..	122	185	92
80	1	61	1	19	..	..	..	..	..	..	..	..	..	..	..	..	..	..	..	57	126	93
291	34	218	30	73	4	..	..	..	..	..	..	..	..	..	..	..	..	..	..	230	452	94
112	60	85	55	25	5	..	..	..	..	..	..	..	..	1	..	..	..	1	..	102	156	95
133	105	128	98	5	7	..	..	..	..	..	..	..	..	..	..	..	..	..	..	76	65	96
547	467	495	429	51	38	..	..	..	..	..	..	..	..	..	..	..	..	1	..	405	424	97
251	1	160	..	90	1	..	..	1	..	..	..	..	..	..	..	..	..	..	..	238	484	98
228	59	224	59	..	..	..	..	3	..	..	..	..	..	..	..	..	..	1	..	181	313	99
																						100
432	25	331	5	59	..	..	..	23	20	6	..	..	..	9	..	..	..	4	..	343	691	101

Serial No.	Name of Village/Town/ Ward/Enumerator's Block	Amenities	Area in Acres	Occupied Residential Houses: No. of Houses	Occupied Residential Houses: No. of Households	Total Population: P	Total Population: M	Total Population: F	Scheduled Castes: M	Scheduled Castes: F	Scheduled Tribes: M	Scheduled Tribes: F	Literate and Educated Persons: M	Literate and Educated Persons: F
1	2	3	4	5	6	7	8	9	10	11	12	13	14	15
102	No. 1 Kachao	R, P, S, D, Cd.	481.9	192	192	934	484	450	..	..	..	..	119	33
103	Kandapara	R, P S, D, Cd.	586.1	161	161	826	411	415	..	..	..	..	78	27
104	Rongaloo Basti	R, P, S, D, Cd.	633.2	205	205	1,226	636	590	..	..	..	..	165	75
105	Alitangani Basti	R, P S, D, Cd.	605.7	111	111	850	435	415	..	..	80	74	87	22
106	Rajarali	R, P, S, D, Cd.	736.3	187	187	1,068	538	530	..	..	..	..	129	30
107	Sonaruguri	R, P, S, Wb, D, V, Cd.	234.1	26	26	142	63	79	..	..	..	..	23	10
108	Biringati Gaon	R, P, S, Wb, D, V, Cd.	127.6	Enumerated with Village No. 106										
109	Hatikhuti		280.9	No Population										
110	Fakali	R, S, Wb, D, V, Cd.	1,174.3	32	32	175	102	73	..	..	..	..	28	2
111	Ballchara		940.0	No Population										
112	Kajiranga		209.1	No Population										
113	Ujanmari	R, Kw, Wb, D, V, Cd.	980.1	22	22	89	54	35	..	..	..	..	17	..
114	Remani Pathar	R, S, Wb, Hos, V, Cd.	609.1	24	24	155	91	64	..	..	..	..	10	..
115	Pamila Jarani	R, P, S, Wb, Hos, V, Cd.	1,114.6	139	139	607	341	266	..	..	..	..	97	22
116	Madhabpara	R, P, S, Wb, Hos, V, Cd.	64.8	43	43	181	106	75	..	..	..	..	20	4
117	Jurirpar	R, P, S, Wb, D, V, Cd.	1,200.6	231	231	1,221	619	602	..	..	..	..	61	16
118	Makhan Basti N. C.	R, P, Kw, Wb, D, Cd.	346.3	89	89	349	185	164	5	6	2	2	54	33
119	Makhan Basti	R, P, S, Wb, D, Cd	388.2	97	97	465	247	218	25	27	3	1	111	27
120	Singimari	R. Edbo, M, Pw, Wb, D, Cd.	221.0	22	22	115	59	56	3	1	7	8	20	17
121	Dakhin Ameri	R, Kw, Wb, D, Cd.	240.9	32	32	149	76	73	62	60	..	..	31	5
122	Uttar Ameri	R, H. S. Wb, Hos, Cd.	451.1	135	135	642	326	316	..	..	..	..	91	49
123	Kamarpha	R, Riv, Wb, Hos, Cd.	159.4	21	21	103	56	47	..	..	26	22	..	..
124	Jungthang N. C.	R, P, Kw, Wb, D, Cd.	305.3	86	86	414	209	205	6	6	48	42	42	8
125	Rajapathar N. C.	R, Kw, Wb, D, Cd.	33.2	4	4	15	7	8	..	..	..	..	3	..
126	Rajapathar	R, Kw, Wb, D, V, Cd.	117.9	17	17	77	51	26	..	..	..	..	16	2
127	Dakhin Jurbagan	R, P, Pw Wb, D, Cd.	552.7	148	148	629	335	294	262	242	..	..	139	30
128	Singimari N.C.	R, Kw, Wb, Hos, Cd.	..	26	26	71	42	29	2	2	..	..	11	5
129	Barpathar	R, P, Kw, Cd.	773.6	165	165	909	470	439	62	56	..	..	82	56
130	Lengeri	R, P, Riv, Cd.	281.0	45	45	267	139	128	..	..	..	..	38	29
131	Maichamgaon	R, P, Riv, Cd.	216.4	58	58	345	183	162	..	..	..	..	46	13
132	Sildubi N.C.	R, Riv, Cd.	91.8	31	31	142	79	63	..	..	..	..	15	..
133	Amdubi N.C.	R, P, Riv, Cd.	175.0	24	24	136	70	66	..	..	..	..	23	7
134	Panditghat N.C.	R, P, Kw, Wb, D, Cd.	194.5	95	95	445	243	202	..	..	..	..	80	35
135	Salmarigaon	R, M, S, Wb, Hos, V, Cd.	511.7	106	106	520	286	234	16	15	..	..	34	11
136	Balirampathar	R, S, Wb, D, Cd.	529.3	48	48	283	165	118	..	..	..	..	50	10
137	Jugijangaon	R, Pw, D, Cd.	632.6	55	55	299	155	144	30	26	..	..	16	2
138	Hajonggaon	R, Rly, P, S, Wb, D, V.	499.5	76	76	372	206	166	126	107	36	19	68	20
139	Hajong Basti	R, Rly, P, S, Wb, D, V.	336.2	116	116	541	283	258	234	209	..	..	101	29
140	Ahompara	R, Rly, P, S, Wb, D, V.	354.7	20	20	75	34	41	33	41	..	..	4	3
141	Brajapur	R, P, Tk, V.	441.3	23	23	119	72	47	46	25	..	..	28	10
142	Pub Jugijangaon	R, P, S, V.	658.1	85	85	424	224	200	..	..	..	..	33	21
143	Pachim Bagariguri		475.1	32	32	180	97	83	..	..	..	..	14	6
144	Fakali		541.6	No Population										
145	Baraphutia	R, Tk.	348.1	54	54	244	131	113	128	112	..	..	37	4
146	Sibpur	R, P, Tk.	361.8	93	93	426	220	206	86	75	..	..	17	9
147	Warigedeng	R, P, S, Wb, Hos.	655.3	63	63	359	190	169	101	88	21	15	67	11
148	Kenduguri	R, P, Pw, Wb.	614.7	115	115	561	295	265	147	124	66	74	68	5
149	Taradubi	R, H, Tk, Wb, Hos.	659.2	41	41	167	89	78	61	44	..	..	25	2
150	Dakhin Kenduguri	R, P, Tk, Wb.	490.6	57	57	251	133	118	127	113	..	..	46	8
151	Hatimura	R, P, Riv, Wb.	455.3	83	83	353	191	162	170	147	..	..	69	12

JAMUNAMUKH (9)

Total workers (I—IX)		WORKERS I		II		III		IV		V		VI		VII		VIII		IX		X Non-workers		Sl. No
M	F	M	F	M	F	M	F	M	F	M	F	M	F	M	F	M	F	M	F	M	F	
16	17	18	19	20	21	22	23	24	25	26	27	28	29	30	31	32	33	34	35	36	37	1
252	..	196	..	18	..	..	..	15	..	4	..	..	..	11	..	..	..	8	..	232	450	102
209	4	162	3	44	..	..	..	2	..	..	..	..	..	..	..	..	..	1	1	202	411	103
344	71	329	71	3	..	..	..	1	..	2	..	..	..	2	..	..	..	7	..	292	519	104
209	18	184	11	24	2	..	..	..	5	..	..	..	..	1	..	..	..	..	..	226	397	105
240	29	229	29	9	..	..	..	..	..	..	..	..	..	..	..	..	..	2	..	298	501	106
29	1	26	1	..	..	..	..	..	..	..	..	..	..	2	..	..	..	1	..	34	78	107
																						108
																						109
32	..	32	..	..	..	..	..	..	..	..	..	..	..	..	..	..	..	..	..	70	23	110
																						111
																						112
35	..	35	..	..	..	..	..	..	..	..	..	..	..	..	..	..	..	..	..	19	35	113
43	4	43	4	..	..	..	..	..	..	..	..	..	..	..	..	..	..	..	..	48	60	114
207	69	207	69	..	..	..	..	..	..	..	..	..	..	..	..	..	..	..	..	134	197	115
67	5	53	5	5	..	2	..	..	..	..	..	7	..	..	..	..	..	..	..	39	70	116
321	5	291	5	25	..	..	..	..	..	1	..	..	..	1	..	..	..	3	..	298	597	117
119	61	115	61	4	..	..	..	..	..	..	..	..	..	..	..	..	..	..	..	66	103	118
134	59	77	32	17	..	16	21	..	2	8	..	..	..	7	..	..	..	9	4	113	159	119
34	13	10	6	10	2	3	5	..	..	..	..	..	..	5	..	1	..	5	..	25	43	120
56	10	18	6	33	4	3	..	2	..	..	..	..	..	..	..	..	..	..	..	20	63	121
170	84	153	84	8	..	2	..	..	..	4	..	..	..	..	..	..	..	3	..	156	232	122
29	23	29	23	..	..	..	..	..	..	..	..	..	..	..	..	..	..	..	..	27	24	123
118	116	104	106	11	10	..	..	..	..	..	..	3	..	..	..	..	..	..	..	91	89	124
6	5	2	5	1	..	..	..	..	..	..	..	3	..	..	..	..	..	..	..	1	3	125
36	9	13	9	4	..	2	..	..	..	..	..	..	..	3	..	..	..	14	..	15	17	126
213	2	115	2	67	..	4	..	..	..	15	..	7	..	3	..	..	..	2	..	122	292	127
22	8	17	1	2	..	..	..	1	7	..	..	..	..	..	..	..	..	2	..	20	21	128
266	225	266	222	..	3	..	..	..	..	..	..	..	..	..	..	..	..	..	..	204	214	129
72	69	72	69	..	..	..	..	..	..	..	..	..	..	..	..	..	..	..	..	67	59	130
100	86	83	83	8	1	3	..	..	..	..	..	1	..	1	1	1	..	3	1	83	76	131
55	36	54	36	..	..	..	..	..	..	..	..	..	..	..	..	..	..	1	..	24	27	132
38	40	37	40	..	..	1	..	..	..	..	..	..	..	..	..	..	..	..	..	32	26	133
131	96	80	56	48	40	..	..	..	..	..	..	..	..	2	..	..	..	1	..	112	106	134
165	..	164	..	..	..	..	..	..	..	..	..	..	..	1	..	..	..	..	..	121	234	135
101	..	101	..	..	..	..	..	..	..	..	..	..	..	..	..	..	..	..	..	64	118	136
98	13	98	13	..	..	..	..	..	..	..	..	..	..	..	..	..	..	..	..	57	131	137
107	13	69	13	13	..	..	..	8	..	..	..	..	..	2	..	..	..	15	..	99	153	138
170	13	125	13	16	..	..	..	..	..	..	..	..	..	2	..	2	..	25	..	113	245	139
24	..	21	..	1	..	..	..	..	..	..	..	..	..	..	..	..	..	2	..	10	41	140
30	6	29	6	..	..	..	..	..	..	..	..	..	..	..	..	..	..	1	..	42	41	141
100	14	99	14	..	..	..	..	..	..	..	..	..	..	..	..	..	..	1	..	124	186	142
39	..	38	..	..	..	..	..	..	..	1	..	..	..	..	..	..	..	..	..	58	83	143
																						144
66	7	59	6	..	..	4	1	..	..	..	..	..	..	1	..	..	..	2	..	65	106	145
124	48	119	14	1	..	..	..	..	..	3	34	..	..	..	..	..	..	1	..	96	158	146
115	37	111	37	2	..	..	..	..	..	..	..	..	..	..	..	..	..	2	..	75	132	147
170	69	163	58	4	..	..	..	..	2	..	..	..	..	1	..	..	..	2	..	125	206	148
57	10	57	10	..	..	..	..	..	..	..	..	..	..	..	..	..	..	..	..	32	68	149
89	28	89	28	..	..	..	..	..	..	..	..	..	..	..	..	..	..	..	..	44	90	150
111	104	110	100	..	1	..	..	..	3	..	..	..	..	..	..	..	..	1	..	80	58	151

Name of Police Station

Serial No.	Name of Village/Town/ Ward/Enumerator's Block	Amenities	Area in Acres	Occupied Residential Houses		Total Population			Scheduled Castes		Scheduled Tribes		Literate and Educated Persons	
				No.of Houses	No.of Households	P	M	F	M	F	M	F	M	F
1	2	3	4	5	6	7	8	9	10	11	12	13	14	15
152	Nabhanga	R, P, Pw, Wb.	201.0	27	27	161	101	60	..	..	..	..	40	2
153	Pub-nabhanga	R, S, Wb, D, V.	386.6	28	28	129	72	57	67	55	..	..	21	6
154	Rajabari	R, Rly, P, S, Wb. D, V.	891.0	143	143	798	411	387	..	..	..	..	206	54
155	Radha Nagar	R, P, S, Wb.	779.5	226	226	1,247	684	563	254	210	1	..	310	134
156	Pub-kandulimari	R, P, S, Wb, D.	556.4	185	185	1,006	548	458	124	177	..	..	252	81
157	Kandulimari	R, P, S.	522.3	92	92	507	265	242	..	..	..	..	64	4
158	Mahpara gaon	R, S.	491.1	40	40	197	111	86	..	..	..	..	48	1
159	Amlipukhuri gaon	R, P, S.	662.1	115	115	572	308	264	..	..	..	..	106	18
160	Pub-bagariguri	R, P, Tk, Wb, D.	475.1	48	48	225	115	110	..	..	..	..	35	7
161	Dakhin-Bhedowati	R, P, S, Wb, D.	1,05[illegible].6	121	121	603	301	302	..	..	..	..	118	20
162	Namdoboka gaon	R, P, S, Hos.	1,484.8	255	255	1,427	744	683	98	84	..	..	266	73
163	Namdoboka pathar	R, S, Wb, D, V.	379.7	152	152	808	408	400	..	..	..	..	57	7
164	Nahar gaon		507.8	188	188	886	455	431	..	..	..	..	84	10
165	Uttar Ashinagar	R, P, S.	707.8	128	128	728	394	334	..	..	..	..	86	11
166	Sidheswarpur	R, P, S.	489.2	80	80	415	228	187	..	..	..	..	61	17
167	Soimarijan	R, Riv.	444.1	22	22	92	53	39	..	..	..	..	16	3
168	Barhala	R, P, S, Wb, D.	822.1	148	148	783	408	375	..	..	3	3	244	143
169	Amlipukhuri Reserve	R, P, S, Wb, D.	720.8	94	94	478	260	218	..	..	..	..	182	77
170	Kacharibasti	R, P, S, Wb, D.	228.2	50	50	285	149	136	..	..	..	..	111	78
171	Saotalbasti	R, M, S, Wb, D, V.	412.2	141	141	705	381	324	..	..	..	..	225	95
172	Uttar Matikhola	R, S, Wb, D.	596.4	81	81	448	234	214	80	65	..	..	56	18
173	Matikhola	R, P, S, Wb, D.	467.2	112	112	535	277	258	157	147	..	..	106	21
174	Silguri	R, Rly, Pw, Wb, D.	373.5	118	118	590	330	260	27	10	..	..	102	15
175	Barpukhuri	R, P, S, Wb, D.	604.6	169	169	898	466	432	27	23	4	3	183	35
176	Thikadarbasti	R, S, Wb, Hos.	555.2	129	129	624	313	311	..	..	..	..	170	68
177	Rajapukhuri	R, S, D.	712.3	48	48	262	134	128	5	9	..	..	43	14
178	Gopa nagar	R, P, S, Db, D, V.	762.8	145	145	915	508	407	..	..	..	..	141	66
179	Danki Pathar	R, Wb, Hos.	471.7	4	4	27	13	14	..	..	..	..	..	..
180	Pub-Salmarijan	R, P, S, Wb, Hos, V.	554.1	41	41	184	103	81	87	73	..	..	36	9
181	Kotha'pur	R, S, Db, Hos, V.	422.6	54	54	304	155	149	30	29	..	..	58	10
182	Dakhin Ashinagar		662.2	90	90	678	367	311	..	..	..	..	109	32
183	Pachim-Nilbagan	R, S, Wb, D.	260.3	93	93	457	258	199	..	..	..	..	108	34
184	Radhanagar N. C.	R, Riv, Wb, D, V, Cd.	224.3	34	34	202	105	97	105	97	..	..	49	14
	TEA ESTATE													
1	Hayagrant T. E.	R, P, Pw, Wb, Hos, V, Cd.	..	186	186	775	408	367	..	..	..	..	4	..
2	Sagunbahi T. E.	R, P, Pw, Wb, Hos, Cd.	..	178	178	889	486	403	..	..	..	..	56	35
3	Rengbeng T. E.	R, Edbo, H, Pw, Wb, Hos, Cd.	..	65	65	324	160	164	..	..	..	..	44	27
4	Barpani T. E.	R, P, S, Wb, Hos.	..	98	98	488	280	208	7	..	..	..	78	11
	RAILWAY													
1	Hojai	Edbo.	..	46	46	227	129	98	21	19	..	..	71	28
2	Jugijan		..	8	8	34	18	16	..	..	..	..	12	6
3	Jamunamukh		..	94	94	467	258	209	2	3	..	..	70	35
4	Ganghut		..	5	5	21	10	11	..	..	..	..	2	1
5	Kampur		..	81	81	392	270	122	20	3	..	..	92	23
6	Laopani		..	6	6	22	16	6	..	..	..	..	5	4

JAMUNAMUKH (9)

Total workers (I—IX)		WORKERS I		II		III		IV		V		VI		VII		VIII		IX		X Non-workers		Sl. No.
M	F	M	F	M	F	M	F	M	F	M	F	M	F	M	F	M	F	M	F	M	F	
16	17	18	19	20	21	22	23	24	25	26	27	28	29	30	31	32	33	34	35	36	37	1
40	34	40	30	..	..	..	..	..	4	..	..	..	..	..	..	..	..	..	..	61	26	152
32	30	30	30	..	..	2	..	..	..	..	..	..	..	..	..	..	..	..	..	40	27	153
248	143	211	128	13	1	..	..	..	14	4	..	..	..	2	..	13	..	5	..	163	244	154
335	15	319	15	1	..	..	..	1	..	6	..	1	..	1	..	..	..	6	..	349	548	155
261	80	177	71	2	1	..	..	..	7	14	..	5	..	30	..	1	..	32	1	287	378	156
139	52	131	52	8	..	..	..	..	..	..	..	..	..	..	..	..	..	..	..	126	190	157
54	2	54	2	..	..	..	..	..	..	..	..	..	..	..	..	..	..	..	..	57	84	158
168	2	109	1	49	1	..	..	..	..	..	..	..	..	4	..	..	..	6	..	140	262	159
66	1	58	1	7	..	..	..	..	..	..	..	1	..	..	..	..	..	..	..	49	109	160
150	1	129	1	20	..	..	..	..	..	..	..	..	..	..	..	..	..	1	..	151	301	161
413	10	331	8	39	..	..	..	..	..	1	..	..	..	1	..	2	..	39	2	331	673	162
223	17	216	12	6	1	..	..	..	3	..	1	..	..	..	..	..	..	1	..	185	383	163
256	..	175	..	69	..	..	..	2	..	..	..	8	..	..	..	..	..	2	..	199	431	164
203	1	135	..	68	1	..	..	..	..	..	..	..	..	..	..	..	..	..	..	191	333	165
120	..	55	..	64	..	..	..	..	..	..	..	..	..	1	..	..	..	..	..	108	187	166
29	..	24	..	5	..	..	..	..	..	..	..	..	..	..	..	..	..	..	..	24	39	167
238	17	233	1	1	..	..	..	..	16	..	..	..	..	..	..	..	..	4	..	170	358	168
138	51	135	..	1	..	..	..	..	51	..	..	..	..	..	..	1	..	1	..	122	167	169
67	32	65	2	..	..	..	..	..	4	..	..	..	26	..	..	2	..	..	..	82	104	170
212	2	197	2	..	..	..	..	..	..	..	..	1	..	2	..	10	..	2	..	169	322	171
139	61	117	61	20	..	..	..	..	..	..	..	..	..	1	..	..	..	1	..	95	153	172
155	30	124	26	24	..	3	2	1	1	1	..	..	..	2	1	..	..	..	..	122	228	173
181	25	125	23	44	2	..	..	..	..	1	..	..	..	3	..	..	..	8	..	149	235	174
251	97	152	74	44	..	..	..	36	23	..	..	1	..	12	..	..	..	6	..	215	335	175
173	21	145	18	13	2	1	..	2	..	1	..	..	..	7	..	..	..	4	1	140	290	176
78	3	62	2	15	1	..	..	..	..	..	..	..	..	..	..	..	..	1	..	56	125	177
288	10	237	1	28	..	1	..	1	..	2	2	1	..	..	..	..	..	18	7	220	397	178
6	..	6	..	..	..	..	..	..	..	..	..	..	..	..	..	..	..	..	..	7	14	179
59	..	59	..	..	..	..	..	..	..	..	..	..	..	..	..	..	..	..	..	44	81	180
97	1	95	1	..	..	..	..	..	..	..	..	..	..	..	..	..	..	2	..	58	148	181
184	4	149	4	13	..	..	..	..	..	..	..	1	..	7	..	..	..	14	..	183	307	182
138	1	58	..	18	1	1	..	..	..	1	..	9	..	27	..	2	..	22	..	120	198	183
58	7	52	4	5	3	..	..	..	..	..	..	..	..	..	..	..	..	1	..	47	90	184
212	183	10	4	..	..	200	179	..	..	2	..	..	..	..	..	..	..	..	..	196	184	1
260	152	1	..	..	..	255	152	..	..	..	..	1	..	3	..	..	..	..	..	226	251	2
77	72	3	..	..	..	73	72	..	..	..	..	1	..	..	..	..	..	..	..	83	92	3
168	90	..	2	..	..	141	88	..	..	5	..	2	..	15	..	..	..	5	..	112	118	4
54	..	..	..	..	..	..	..	..	..	1	..	..	..	..	..	49	..	4	..	75	98	1
8	..	..	..	..	..	..	..	..	..	..	..	..	..	..	..	4	..	4	..	10	16	2
135	2	..	1	64	..	..	..	..	..	8	..	..	..	3	..	27	1	33	..	123	207	3
7	..	..	..	..	..	..	..	..	..	..	..	..	..	..	..	7	..	..	..	3	11	4
180	..	..	..	..	..	..	..	..	..	44	..	2	..	66	..	19	..	49	..	90	122	5
14	..	..	..	..	..	..	..	..	..	..	..	1	..	..	..	13	..	..	..	2	6	6

Serial No.	Name of Village/Town/ Ward/Enumerator's Block	Amenities	Area in Acres	Occupied Residential Houses: No. of Houses	Occupied Residential Houses: No. of Households	Total Population: P	Total Population: M	Total Population: F	Scheduled Castes: M	Scheduled Castes: F	Scheduled Tribes: M	Scheduled Tribes: F	Literate and Educated Persons: M	Literate and Educated Persons: F
1	2	3.	4	5	6	7	8	9	10	11	12	13	14	15
	HOJAI TOWN		1.7 (Sq. miles)	2,187	2,260	12,857	7,584	5,273	463	326	10	2	4,539	2,013
	Ward No. 1		..	798	838	4,363	2,716	1,647	62	29	..	..	1,558	575
	Block No. I		..	208	227	1,231	816	415	13	3	..	..	577	251
	Block No. II		..	156	156	798	479	319	7	9	..	..	297	115
	Block No. II(A)		..	150	151	741	530	211	12	2	..	..	234	75
	Block No. III		..	176	186	972	514	458	8	1	..	..	244	81
	Block No. IV		..	108	118	621	377	244	22	14	..	..	206	53
	Ward No. 2		..	986	1,013	6,323	3,655	2,668	357	261	..	..	2,203	1,079
	Block No. I		..	114	117	662	349	313	60	45	..	..	243	178
	Block No. II		..	73	77	502	270	232	..	..	..	..	172	110
	Block No. III		..	150	151	1,012	617	395	27	17	..	..	337	151
	Block No. IV		..	155	155	1,019	524	495	67	73	..	..	269	133
	Block No. IV(A)		..	107	107	761	566	195	16	..	..	..	333	96
	Block No. V		..	176	185	1,142	655	487	124	90	..	..	459	189
	Block No. VI		..	116	126	564	340	224	42	15	..	..	160	62
	Block No. VII		..	95	95	661	334	327	21	21	..	..	230	160
	Ward No. 3		..	403	409	2,171	1,213	958	44	36	10	2	778	359
	Block No. I		..	146	150	828	447	381	26	26	1	2	289	166
	Block No. II		..	119	119	565	335	230	8	3	..	..	244	99
	Block No. III		..	138	140	778	431	347	10	7	9	..	245	94

JAMMU AND KASHMIR (9)

Total workers (I—IX)		WORKERS I		II		III		IV		V		VI		VII		VIII		IX		X Non-workers		Sl. No.
M	F	M	F	M	F	M	F	M	F	M	F	M	F	M	F	M	F	M	F	M	F	
16	17	18	19	20	21	22	23	24	25	26	27	28	29	30	31	32	33	34	35	36	37	1
4,370	118	235	23	30	:	19	:	:	:	962	35	66	:	1,563	11	240	:	1,255	49	3,214	5,155	
1,698	64	118	17	9	..	6	..	..	..	324	10	47	..	540	6	106	..	548	31	1,018	1,583	1
508	7	10	3	6	..	1	..	..	..	168	2	6	..	148	..	48	..	121	2	308	408	
286	6	5	..	2	..	3	..	..	..	84	3	1	..	114	..	3	..	74	3	193	313	
408	6	8	..	1	..	..	..	..	..	29	..	18	..	119	2	36	..	197	4	122	205	
280	28	50	..	..	..	2	..	..	..	20	5	6	..	107	3	11	..	84	20	234	430	
216	17	45	14	..	..	..	..	..	..	23	..	16	..	52	1	8	..	72	2	161	227	
2,031	33	68	1	8	..	8	..	..	..	546	18	14	..	819	3	110	..	458	11	1,624	2,635	2
171	6	13	..	2	..	..	..	..	..	44	4	2	..	49	..	8	..	53	2	178	307	
113	4	3	..	..	..	..	..	..	..	8	3	1	..	64	..	14	..	23	1	157	228	
344	5	2	1	..	..	1	..	..	..	97	..	2	..	121	1	17	..	104	3	273	390	
249	..	11	..	4	..	2	..	..	..	81	..	4	..	108	..	1	..	38	..	275	495	
412	3	6	..	2	..	4	..	..	..	200	2	4	..	90	..	12	..	94	1	154	192	
351	11	26	..	..	..	1	..	..	..	51	7	..	..	194	2	12	..	67	2	304	476	
232	1	7	..	..	..	..	..	..	..	49	..	..	..	83	..	37	..	56	1	108	223	
159	3	..	..	..	..	..	..	..	..	16	2	1	..	110	..	9	..	23	1	175	324	
641	21	49	5	13	..	5	..	..	..	92	7	5	..	204	2	24	..	249	7	572	637	3
210	5	24	3	2	..	2	..	..	..	16	..	2	..	57	..	5	..	102	2	237	637	
200	9	4	2	3	..	2	..	..	..	34	3	1	..	113	2	9	..	34	2	135	221	
231	7	21	..	8	..	1	..	..	..	42	4	2	..	34	..	10	..	113	3	200	340	

Name of Police Station

Serial No.	Name of Village/Town/ Ward/Enumerator's Block	Amenities	Area in Acres	Occupied Residential Houses: No. of Houses	Occupied Residential Houses: No. of Households	Total Population: P	Total Population: M	Total Population: F	Scheduled Castes: M	Scheduled Castes: F	Scheduled Tribes: M	Scheduled Tribes: F	Literate and Educated Persons: M	Literate and Educated Persons: F
1	2	3	4	5	6	7	8	9	10	11	12	13	14	15
	Lanka P.S.	Total	242.0 (Sq. miles)	24,485	24,485	130,658	70,658	60,000	4,944	4,303	1,569	1,366	23,552	5,719
1	Bherani		226.2			No Population								
2	Urdhagaon	R, P, S, Db, V, Cd.	304.8	63	63	373	190	183	..	..	..	..	108	53
3	Parakhowa	R, P, S, Wb.	376.3	57	57	291	141	150	..	..	..	..	45	21
4	Tapatjuri	R, P, S, Wb.	410.0	79	79	435	250	185	..	..	101	86	96	20
5	Dikhowmukh	R, P, S.	201.6	30	30	124	70	54	70	54	..	..	21	5
6	Pub Jamuna	R, P, S, Wb.	559.4	136	136	983	532	451	..	..	..	..	203	69
7	Pachim Jamuna	R, M, S.	394.0	126	126	694	353	341	..	..	..	..	75	25
8	Udmari	R, P, S, Wb.	320.9	133	133	726	387	339	..	..	..	..	90	20
9	Mikirpara	R, M, S, V.	406.9	58	58	369	191	178	..	..	..	..	62	15
10	Kacharipara	R, M, S.	..	177	177	625	320	305	..	..	..	..	72	37
11	Namatigaon	R, H, Tk	341.4	85	85	480	265	215	..	..	..	..	107	36
12	Pachim Jarani	R, P, S, Wb, D, V, Cd.	636.3	135	135	810	437	373	..	..	..	..	200	33
13	Karaiguri	R, M, S, Wb, D, V.	754.2	118	118	748	405	343	..	..	..	..	63	6
14	Pub Jarani	R, P, S, Wb, D, V, Cd.	905.1	128	128	750	382	368	..	..	..	..	149	23
15	Sadargaon	R, P, Kw, Wb, D, V.	998.8	133	133	778	397	381	..	..	..	..	145	7
16	Chandanpur	R, P, S, Wb, D.	510.2	102	102	563	292	271	..	..	..	..	67	8
17	Mobarak Basti	R, P, S, Wb.	574.0	90	90	591	304	287	..	..	..	..	118	7
18	Nil Bagan	R, Edso M, S, Wb, V.	683.9	186	186	793	506	287	..	..	..	..	184	21
19	Mathigaon	R, P, S, Wb, V.	715.6	120	120	739	422	317	..	..	..	..	152	39
20	Sahran	R, S, Wb.	704.9	103	103	579	310	269	..	..	..	..	114	19
21	Dakhin Noabil	R, P, S, Wb, Cd.	881.0	140	140	825	458	367	..	..	..	..	102	6
22	Uttar Noabil	R, S, Wb, Cd.	292.0	40	40	201	111	90	..	..	..	..	23	3
23	Ghunipara	R, M, S, Wb, V.	423.2	60	60	328	171	157	..	..	..	..	37	..
24	Pub Rowarpar	R, M, S, Wb, V.	321.6	145	145	712	368	344	..	..	..	..	91	7
25	Rowarpar	R, M, S, Wb, V.	210.0	49	49	153	74	79	..	..	..	..	17	..
26	Pachim Maudanga	R, P, S, Wb.	307.6	63	63	295	146	149	52	60	..	..	106	58
27	Maudangagaon	R, P, S, Wb, D.	263.1	127	127	592	297	295	..	..	..	..	201	83
28	Maudangapathar	R, Edbo, P, S, Db.	567.7	144	144	881	483	398	..	..	..	..	97	10
29	Debasthan	R, M, S, Wb, Hos, V, Cd.	619.2	174	174	953	553	400	..	..	..	..	151	22
30	Borhawr	R, P, S, Hos.	1,114.9	225	225	1,283	675	608	..	..	..	..	194	56
31	Hatikholi	R, P, S, Wb, Hos.	1,074.0	150	150	963	499	464	..	..	..	..	128	11
32	Ambari	R, Edbo, P, S, Wb, Hos.	537.6	77	77	696	381	315	..	..	..	..	183	12
33	Matikhola	R, S, Wb, D, V.	904.4	93	93	548	299	249	..	..	..	..	65	3
34	Sawpur	R, P, S, Wb, D.	623.0	87	87	632	343	289	..	..	..	..	80	8
35	Singipar	R, P, S, Wb, D.	739.0	78	78	636	328	308	..	..	..	..	100	8
36	Padumani	R, S, Wb, D.	619.7	117	117	688	401	287	..	..	..	..	127	12
37	Sabajpur	R, So, M, S, Wb, D.	1,360.3	265	265	1,462	907	555	..	..	..	..	390	36
38	Sutarpur	R, S, Wb, D, V.	593.2	100	100	548	285	263	..	..	..	..	55	7
39	Tarkata	R, P, S, Wb, D, V.	625.5	81	81	484	247	237	..	..	..	..	87	7
40	Tarapur	R, P, S, Wb, D, V.	370.1	85	85	483	253	230	..	..	..	..	47	1
41	Uttar Dimarupar	R, P, S, Wb, D, V.	817.6	138	138	746	405	341	21	19	..	..	156	65
42	Kapahbari	R, P, S, Wb, D, V.	648.9	136	136	650	368	282	108	99	260	183	153	51
43	Sibpur	R, S, Wb, Hos.	979.3	150	150	967	524	443	..	..	..	..	73	3
44	Sibpur No. 2	R, M, S, Wb, D.	559.0	74	74	385	205	180	..	..	..	..	62	16

LANKA (10)

Total workers (I—IX)		WORKERS I		II		III		IV		V		VI		VII		VIII		IX		X Non-workers		Sl. No.
M	F	M	F	M	F	M	F	M	F	M	F	M	F	M	F	M	F	M	F	M	F	
16	17	18	19	20	21	22	23	24	25	26	27	28	29	30	31	32	33	34	35	36	37	1
40,003	7,761	32,906	6,324	2,647	100	227	28	260	821	699	291	121	..	1,342	86	229	1	1,572	110	30,655	52,239	
108	86	108	86	..	..	..	..	..	..	..	..	..	..	..	..	..	..	..	..	82	97	1
84	68	80	68	..	..	..	..	..	..	2	..	..	..	2	..	..	..	..	..	57	82	2
147	98	143	97	..	..	1	..	2	..	..	..	1	..	..	..	..	..	..	1	103	87	3
38	20	38	20	..	..	..	..	..	..	..	..	..	..	..	..	..	..	..	..	32	34	4
274	1	273	1	1	..	..	..	..	..	..	..	..	..	..	..	..	..	..	..	258	450	5
195	..	159	..	34	..	..	..	..	..	1	..	..	..	..	..	..	..	1	..	158	341	6
206	..	129	..	75	..	..	..	..	..	..	..	..	..	1	..	..	..	1	..	181	339	7
97	1	65	1	30	..	..	..	..	..	..	..	..	..	..	..	..	..	2	..	94	177	8
159	6	158	6	..	..	..	..	..	..	..	..	..	..	..	..	..	..	1	..	161	299	9
162	8	105	8	45	..	..	..	..	..	..	..	9	..	..	..	..	..	3	..	103	207	10
215	..	177	..	36	..	..	..	..	..	..	..	..	..	..	..	..	..	2	..	222	373	11
213	..	88	..	122	..	..	..	..	..	..	..	..	..	..	..	..	..	3	..	192	343	12
208	..	145	..	42	..	..	..	..	..	5	..	..	..	2	..	..	..	14	..	174	368	13
196	..	177	..	17	..	..	..	..	..	..	..	..	..	..	..	..	..	2	..	201	381	14
168	..	123	..	25	..	..	..	..	..	..	..	..	..	2	..	1	..	17	..	124	271	15
167	4	98	1	22	..	..	..	..	..	..	..	3	..	..	..	..	..	44	3	137	283	16
342	2	108	..	17	..	2	..	11	..	28	..	12	..	103	..	4	..	57	2	164	285	17
225	..	120	..	91	..	..	..	..	..	1	..	1	..	5	..	..	..	7	..	197	317	18
163	..	103	..	52	..	..	..	..	..	1	..	..	..	2	..	1	..	4	..	147	269	19
244	..	163	..	60	..	..	..	..	..	..	..	..	..	..	..	..	..	21	..	214	367	20
60	..	49	..	8	..	..	..	..	..	..	..	..	..	..	..	..	..	3	..	51	90	21
90	..	70	..	16	..	1	..	..	..	..	..	..	..	..	..	..	..	3	..	81	157	22
173	1	133	1	26	..	..	..	..	..	..	..	..	..	1	..	..	..	13	..	195	343	23
44	..	31	..	4	..	..	..	..	..	..	..	..	..	1	..	..	..	8	..	30	79	24
80	..	76	..	1	..	..	..	..	..	..	..	..	..	..	..	..	..	3	..	66	149	25
137	2	137	2	..	..	..	..	..	..	..	..	..	..	..	..	..	..	..	..	160	293	26
233	1	224	1	3	..	..	..	2	..	1	..	..	..	..	..	..	..	3	..	250	397	27
322	6	153	3	77	1	..	..	2	..	23	..	1	..	37	..	..	..	29	2	231	394	28
369	4	301	4	51	..	..	..	3	..	2	..	..	..	4	..	..	..	8	..	306	604	29
252	1	246	1	3	..	..	..	..	..	..	..	..	..	1	..	..	..	2	..	247	463	30
177	..	167	..	5	..	..	..	..	..	..	..	..	..	2	..	..	..	3	..	204	315	31
154	3	143	3	..	..	..	..	..	..	1	..	10	..	..	..	..	..	..	..	145	246	32
183	50	164	45	14	5	..	..	..	..	1	..	..	..	3	..	..	..	1	..	160	239	33
133	93	114	82	18	11	..	..	..	..	..	..	..	..	..	..	..	..	1	..	195	215	34
239	2	165	2	46	..	..	..	..	..	2	..	1	..	7	..	..	..	18	..	162	285	35
556	4	264	4	1	..	..	..	15	..	86	..	..	..	113	..	12	..	65	..	351	551	36
143	..	138	..	5	..	..	..	..	..	..	..	..	..	..	..	..	..	..	..	142	263	37
131	2	112	..	2	2	..	..	..	..	1	..	..	..	..	..	..	..	16	..	116	235	38
123	4	103	4	..	..	..	..	..	..	..	..	..	..	..	..	..	..	20	..	130	226	39
206	5	137	1	12	..	..	..	..	..	2	..	2	..	24	..	..	..	29	4	199	336	40
222	5	147	2	14	..	..	..	7	..	14	3	..	..	24	..	1	..	15	..	146	277	41
278	7	156	6	110	1	..	..	..	..	4	..	..	..	4	..	..	..	4	..	246	436	42
109	..	98	..	9	..	..	..	..	..	1	..	..	..	1	..	..	..	..	..	96	180	43
																						44

Serial No.	Name of Village/Town/ Ward/Enumerator's Block	Amenities	Area in Acres	Occupied Residential Houses: No. of Houses	Occupied Residential Houses: No. of Households	Total Population: P	Total Population: M	Total Population: F	Scheduled Castes: M	Scheduled Castes: F	Scheduled Tribes: M	Scheduled Tribes: F	Literate and Educated Persons: M	Literate and Educated Persons: F
1	2	3	4	5	6	7	8	9	10	11	12	13	14	15
45	Padumpukhuri	R, Edbo, P, S, Wb, D, V.	934.1	120	120	663	371	292	138	113	..	..	113	17
46	Pabhijuri	R, P, S, Wb, V.	813.9	146	146	844	461	383	..	..	..	..	123	36
47	Karayani	R, Edbo, P, S, Wb, V.	1,170.0	299	299	1,527	786	741	54	43	..	..	143	28
48	Barangatali	R, P, S, Wb, V.	701.2	123	123	659	352	307	..	..	..	..	68	15
49	Barpukhuri	R, P, S, Wb, Hos, V.	764.2	90	90	539	310	229	..	..	..	..	48	1
50	Uttar Bandarmela	R, P, S, Wb, Hos, V.	398.8	62	62	388	200	188	..	..	..	..	35	1
51	Rohinipathar	R, S, Wb, Hos, V.	598.8	50	50	305	186	119	..	..	..	..	19	2
52	Dighali Jarani	R, P, S, V.	843.0	180	180	1,080	596	484	..	..	..	..	69	13
53	Oksekpathar	R, P, S, Wb, Hos.	596.3	109	109	696	384	3 2	..	..	..	..	24	..
54	Bandarmela	R. Edbo. S, Wb.	482.3	114	114	578	336	242	..	..	..	..	77	7
55	Tongatali	R, P, S, Wb.	612.0	149	149	809	436	373	..	..	.	..	126	10
56	Pub Bandarmela	R, P, S, Wb,D.	1.069.6	217	217	1,165	621	544	..	..	..	..	77	11
57	Sarenghipathar	R, P, S, Wb, Hos.	1,809.9	414	414	2,343	1,229	1,114	..	..	..	..	298	41
58	Oksek Mikir Gaon		487.6	60	60	300	184	116	..	..	..	..	75	24
59	Oksek Trishghori	R, P, S, Wb, Hos.	211.3	151	151	989	561	428	..	..	..	..	249	122
60	Borbali	R, P, S, Wb, Hos.	772.5	90	90	496	281	215	..	..	..	..	120	46
61	Dakhin Debasthan	R, S, Wb, Hos, V.	620.1	234	234	1,224	672	552	..	..	..	..	197	18
62	Oksek Gaon	R, P, S, Wb, V.	951.5	70	70	338	214	124	34	21	..	..	110	27
63	Hati Bandha	R, P, S, Wb, V.	788.9	92	92	317	200	117	..	..	..	..	95	28
64	Pachim Samarali	R, P, S, Wb, V.	688.6	99	99	902	488	414	..	..	..	..	92	11
65	Uttar Samarali	R, P, S, Wb.	585.9	98	98	596	328	268	..	..	..	..	123	34
66	Samarali Bazargaon	R, P, Riv, Wb, D, V.	442.4	110	110	526	286	240	..	..	..	..	217	65
67	Samarali Tupgaon	R, P, S, Wb.	519.2	108	108	634	358	276	..	..	..	..	138	11
68	Pub Samarali	R, S, Wb. V.	614.9	124	124	811	465	346	..	..	..	..	215	80
69	Madhya Samarali	R, P, S, Wb, D.	580.8	139	139	779	431	348	..	..	..	..	114	81
70	Marjong Pathar	R, P, Kw, Wb, Hos, V.	475.4	87	87	404	230	174	..	..	..	..	2	..
71	Dakhin Samarali	R, P, S, Wb, Hos, V.	973.8	253	253	1,391	738	653	..	..	..	..	201	10
72	Jayantia Basti	R, P, S, Wb, Hos, V.	675.9	121	121	693	390	303	..	..	..	..	149	20
73	Islampur	R, P, S, Wb, D, V.	593.0	146	146	861	448	413	..	..	..	..	188	42
74	Fatehpur	R, P, S, Wb, Hos, V.	517.0	79	79	424	217	207	..	..	..	..	116	46
75	Alinagar	R, P, S, Wb, D, V.	469.5	64	64	383	224	159	..	..	..	..	107	14
76	Dimarupar	R, P, S, Wb.	607.6	147	147	841	455	386	72	76	..	..	277	120
77	Pachim Nandalalpur	R, S, Wb,	607.6	36	36	165	86	79	61	52	..	..	47	9
78	Tengeripar	R, P, S, Wb, D, V.	586.8	112	112	633	326	307	..	..	..	..	102	29
79	Pub Nandalalpur	R, P, S, Wb, D, V.	446.3	113	113	501	266	235	..	..	174	143	104	34
80	Hira Basti	R, P, S, Wb, D, V.	660.1	105	105	568	292	276	40	48	..	..	101	15
81	Bhokhow Basti	R, P, S, Wb, D, V.	461.1	83	83	460	241	219	15	12	..	..	118	41
82	Teli Basti	R, P, S, Wb, D, V.	683.3	140	140	716	366	350	..	..	..	..	184	46
83	Pub Dhaniram Pathar	R, P, S, Wb, Hos, V.	627.6	144	144	848	459	389	..	..	..	..	266	93
84	Pachim Dhaniram Pathar	R, S, Wb, D, V.	246.7	60	60	316	179	137	..	..	..	..	67	31
85	Danki Gaon	R, S, Wb, D, V.	339.4	43	43	261	142	119	..	..	..	..	49	22
86	Golaghatia Basti	R, Rly, P, S, Wb, Hos, V.	994.8	503	503	2,502	1,321	1,181	..	..	..	..	546	159
87	Fakira Basti	R, S, Wb, D, V.	772.9	62	62	435	243	192	6	4	..	..	71	10
88	Dhanuhar Basti	R, P, S, Wb, Hos.	1,085.7	168	168	967	512	455	..	..	..	..	108	11
89	Itakhola	R, Rly, P, S, Wb, D, V.	676.1	149	149	846	4.8	388	..	..	..	..	126	44
90	Jamuhandai	R, Rly, P, S, Wb, V.	1,508.2	167	167	883	461	422	..	..	..	..	98	21
91	Udaypur	R, P, Pw, Wb, D, V.	416.1	58	58	314	157	157	..	..	..	..	99	17
92	Pub Nandapur	R, P, S, Wb, D, V.	307.6	58	58	342	172	170	..	..	..	..	110	28
93	Pachim Nandapur	R, P, S, Wb, Hos.	349.8	84	84	472	260	212	..	..	..	..	177	31
94	Rampur	R, P, S, Wb, Hos.	251.0	80	80	432	240	192	..	..	5	2	182	65
95	Uttar Bidyanagar	R, P, S, Wb, Hos, V.	293.5	67	67	361	188	173	..	..	..	..	115	15
96	Dakhin Bidyanagar	R, S, Wb, Hos, V.		60	60	328	174	154	..	..	..	..	122	32
97	Singari Basti	R, P, S, Wb, Hos, V.	427.4	104	104	589	317	272	64	58	..	..	132	36

LANKA (10)

Total workers (I—IX)		WORKERS I		II		III		IV		V		VI		VII		VIII		IX		X Non-workers		Sl. No.
M	F	M	F	M	F	M	F	M	F	M	F	M	F	M	F	M	F	M	F	M	F	
16	17	18	19	20	21	22	23	24	25	26	27	28	29	30	31	32	33	34	35	36	37	1
215	..	179	..	23	..	..	..	..	..	2	..	9	..	..	..	1	..	1	..	156	292	45
251	1	244	1	2	..	..	..	..	..	1	..	..	..	..	..	..	..	4	..	210	382	46
464	9	410	5	44	4	..	..	..	..	1	..	1	..	..	..	..	..	8	..	322	732	47
209	..	120	..	75	..	..	..	..	..	3	..	..	..	6	..	..	..	5	..	143	307	48
154	1	143	1	11	..	..	..	..	..	..	..	..	..	..	..	..	..	..	..	156	228	49
98	1	96	1	2	..	..	..	..	..	..	..	..	..	..	..	..	..	..	..	102	187	50
100	..	73	..	17	..	..	..	..	..	..	..	..	..	1	..	..	..	9	..	86	119	51
285	10	258	8	4	1	..	..	..	..	..	..	1	..	2	..	1	..	19	1	311	474	52
163	5	158	5	..	..	..	..	..	..	..	..	..	..	1	..	..	..	4	..	221	307	53
190	1	140	..	10	..	..	..	..	..	5	..	1	..	11	..	3	..	20	1	146	241	54
234	1	189	1	44	..	..	..	..	..	..	..	..	..	..	..	..	..	1	..	202	372	55
372	2	352	2	14	..	..	..	..	..	..	..	..	..	1	..	..	..	5	..	249	542	56
653	1	538	1	49	..	..	..	1	..	7	..	1	..	7	..	1	..	49	..	576	1,113	57
93	..	85	..	8	..	..	..	..	..	..	..	..	..	..	..	..	..	..	..	91	116	58
302	3	285	2	14	1	1	..	..	..	..	..	..	..	..	..	..	..	2	..	259	425	59
143	..	126	..	15	..	..	..	..	..	..	..	..	..	..	..	..	..	2	..	138	215	60
345	7	273	7	68	..	..	..	..	..	..	..	..	..	..	..	1	..	3	..	327	545	61
143	16	81	16	9	..	..	..	..	..	15	..	..	..	28	..	1	..	9	..	71	108	62
134	17	88	17	4	..	..	..	..	..	14	..	..	..	25	..	..	..	3	..	66	1 0	63
281	..	207	..	69	..	..	..	..	..	..	..	..	..	..	..	..	..	5	..	207	414	64
224	37	224	37	..	..	..	..	..	..	..	..	..	..	..	..	..	..	..	..	104	231	65
197	..	195	..	..	..	..	..	..	..	..	..	..	..	..	..	..	..	2	..	89	240	66
207	..	169	..	32	..	..	..	..	..	..	..	4	..	..	..	..	..	2	..	151	276	67
237	..	231	..	6	..	..	..	..	..	..	..	..	..	..	..	..	..	..	..	228	346	68
240	91	240	91	..	..	..	..	..	..	..	..	..	..	..	..	..	..	..	..	191	257	69
119	91	119	91	..	..	..	..	..	..	..	..	..	..	..	..	..	..	..	..	111	83	70
404	..	384	..	17	..	..	..	..	..	..	..	..	..	..	..	..	..	3	..	334	653	71
207	..	155	..	30	..	..	..	..	12	..	..	..	..	..	..	..	..	10	..	183	303	72
264	..	154	..	49	..	..	..	..	22	..	..	..	3	..	..	..	..	36	..	184	413	73
127	1	106	..	8	..	..	..	..	3	..	..	..	2	..	..	..	..	8	1	90	206	74
129	..	95	..	11	..	..	..	..	7	..	..	..	..	..	..	..	..	16	..	95	159	75
259	1	170	..	30	..	..	..	4	1	21	..	..	..	11	..	1	..	22	..	196	385	76
56	..	48	..	..	..	..	..	..	..	1	..	..	..	3	..	2	..	2	..	30	79	77
186	..	145	..	..	..	..	..	..	..	1	..	..	..	4	..	..	..	36	..	140	307	78
169	51	102	7	4	..	..	..	7	7	..	..	..	..	..	..	..	..	56	37	97	184	79
188	123	158	111	19	5	..	..	..	2	1	..	..	..	7	5	..	..	3	..	104	153	80
123	42	94	39	21	2	..	..	..	..	..	..	..	..	1	1	..	..	7	..	118	177	81
211	92	143	78	34	9	..	..	18	3	8	..	..	..	4	2	..	..	4	..	155	258	82
253	28	163	26	12	..	..	..	30	2	3	..	4	..	23	..	..	..	18	..	206	361	83
107	14	52	4	2	..	..	..	..	..	5	..	5	..	12	..	1	..	30	10	72	123	84
74	26	60	26	..	..	..	..	..	..	..	..	..	..	..	..	..	..	14	..	68	93	85
706	205	337	122	10	..	65	3	52	45	16	2	1	..	143	21	3	..	79	12	615	976	86
132	60	122	58	1	..	..	..	..	..	2	..	..	..	..	..	..	..	7	2	111	132	87
290	126	2 3	107	..	..	3	..	..	..	1	16	..	..	2	1	..	..	41	2	222	329	88
287	93	280	93	1	..	..	..	..	..	..	..	..	..	6	..	..	..	..	..	171	295	89
254	34	209	3	..	..	3	..	..	31	..	..	3	..	..	..	2	..	37	..	207	388	90
95	98	95	97	..	..	..	..	..	..	..	..	..	..	..	..	..	..	..	1	62	59	91
93	103	91	103	..	..	..	..	..	..	..	..	..	..	2	..	..	..	..	..	79	67	92
167	94	115	82	..	..	6	2	..	10	42	..	..	..	..	..	..	..	4	..	93	118	93
117	37	97	22	..	..	..	..	..	14	1	..	..	..	11	1	4	..	4	..	123	155	94
125	105	96	60	..	..	..	..	..	30	8	..	..	..	18	14	1	..	2	1	63	68	95
92	90	79	53	..	..	..	..	..	33	6	..	..	..	5	4	2	..	..	..	82	64	96
185	155	180	151	1	..	..	..	..	..	1	..	..	..	2	2	..	..	1	2	132	117	97

Serial No.	Name of Village/Town/ Ward/Enumerator's Block	Amenities	Area in Acres	Occupied Residential Houses: No. of Houses	Occupied Residential Houses: No. of Households	Total Population: P	Total Population: M	Total Population: F	Scheduled Castes: M	Scheduled Castes: F	Scheduled Tribes: M	Scheduled Tribes: F	Literate and Educated Persons: M	Literate and Educated Persons: F
1	2	3	4	5	6	7	8	9	10	11	12	13	14	15
98	Amtala	R, Edbo, P, S, Wb, Hos, V.	694.9	239	249	1,335	749	586	21	12	..	..	173	28
99	Pachim Amtala	R, M, S, Wb, D, V.	792.4	18	18	89	59	30	1	2	..	..	7	..
100	Moina Pathar	R, P, Pw Wb, D, V.	519.8	32	32	128	67	61	..	..	..	..	9	2
101	Uttar Komorakata		119.0	50	50	300	170	130	166	130	..	..	51	15
102	Dakhin Komorakata		469.3	34	34	185	95	90	56	61	..	..	11	4
103	Dakhin Komorakata N.C.	R, P, S, Wb, D, V.	384.8	14	14	66	40	26	..	..	32	22	11	..
104	Bishnupur	R, P, S, Wb, D, V.	370.5	48	48	273	145	128	..	..	..	..	75	14
105	Dighal Bali	R, P, Pw, Wb, D, V.	1,130.2	64	64	368	195	173	..	..	26	37	59	12
106	Habaipur	R, P, S, Wb, D.	880.1	24	24	132	64	68	..	..	..	..	16	4
107	Milik Basti	R, P, Kw, Wb, Hos.	1,614.9	202	202	1,132	609	523	5	..	..	..	202	22
108	Daria Basti	R, Kw, Wb, Hos.	163.6	37	37	217	110	107	..	..	..	..	56	20
109	Dakhin Udaypur	R, Pw, Wb, Hos.	142.3	45	45	203	104	99	..	..	..	..	37	10
110	Dakhin Jamuhandal	R, P, S, Wb, Hos, V.	667.8	109	1 9	733	390	343	..	..	..	..	177	25
111	Dalpukhuri	R, Rly, S, Wb, Hos.	447.0	74	74	646	335	311	126	110	..	..	154	65
112	Bhimar Ali	R, P, Kw, Wb, Hos, V.	543.0	56	56	331	172	159	..	..	..	..	19	6
113	Jorong Pathar N. C.	R, Kw, Wb, V.	337.8	20	20	138	77	61	..	..	..	..	5	..
114	Lankajan N. C.	R, P, S, Wb, V.	929.0	89	89	469	286	183	..	..	..	..	63	8
115	Raikata N. C.	R, P, S, Wb, V.	1,128.3	277	277	1,310	723	587	96	73	21	22	170	68
116	Pamgaon	R, P, S, Wb, V.	801.0	146	146	749	381	368	..	..	..	..	56	..
117	Sankar Basti	R, P, S, Wb, V.	906.7	126	126	627	340	287	..	..	..	..	109	18
118	Jarapukhuri	R, P, S, Wb, D, V.	473.0	102	102	570	303	267	296	261	..	..	142	30
119	Itagaon	R, S, Wb, D, V.	929.1	73	73	369	195	174	..	..	..	..	78	21
120	Lakhipur	R, P, S, Wb, D. V.	408.3	105	105	550	297	253	293	247	..	..	122	45
121	Ampukhuri		422.6	23	23	212	113	99	..	..	..	..	36	7
122	Pub Bhalukmari	R, Edbo, P, S, Wb, D, V.	1,100.5	208	208	1,170	617	553	..	..	..	..	318	88
123	Pachim Bhalukmari	R, S, Wb, D, V.	447.5	77	77	424	226	198	115	93	..	..	114	29
124	Baluhandar	R, P, Pw, Wb, D.	960.6	176	176	879	442	437	..	..	..	..	214	66
125	Pachim Baluhandar	R, S, Wb, D.	400.1	86	86	430	224	206	..	..	..	..	111	23
126	Uttar Laskar Pathar	R, P, S, D, V.	530.7	77	77	385	210	175	..	..	..	..	33	4
127	Dakhin Laskar Pathar	R, P, S, Wb, D, V.	1,698.7	271	271	1,523	809	714	18	15	..	..	186	48
128	Tentuli	R, S, Wb, D, V.	148.1	32	32	169	88	81	..	..	..	..	24	10
129	No. 2 Panshali	R, S, Db, D.	313.2	105	105	522	267	255	..	..	..	..	25	4
130	No. 1 Panshali	R, M, S, Wb, D.	198.4	37	37	185	99	86	..	..	..	..	36	16
131	Pachim Lanka Gaon	R, Rly, P, S, Wb.	577.2	111	111	558	299	259	60	..	1	..	176	35
132	Uttar Baluhandar	R, Rly, Pw.	217.0	108	108	303	157	146	9	..	1	..	100	34
133	Lankeswari Bagan	R, Pw, Wb.	23.3	36	36	174	96	78	..	..	..	..	57	32
134	Lanka Gaon	R, Eso, H, S, Wb, D, V.	827.5	383	383	2,153	1,157	996	11	2	5	2	682	353
135	Dublong	R, S, Wb, D, V.	1,198.4	301	301	1,513	761	752	..	..	..	..	124	28
136	Pachim Dublong	R, P, S, Wb, D, V.	377.4	46	46	408	210	198	..	..	..	..	31	8
137	Akanthu	R, S, Wb, Hos.	481.6	75	75	396	234	162	..	..	..	..	66	2
138	Farmapar	R, S, Wb, D, V, Cd.	746.5	126	126	624	363	261	..	..	..	..	102	8
139	Thaisa Gaon	R, S, Wb, D, V.	1,110.2	110	110	510	346	164	74	3	..	..	97	12
140	Kapilipar	R, P, S, Wb, D, V.	973.5	128	128	720	391	329	..	..	..	..	98	35
141	Maduli		940.4	190	190	530	306	224	17	10	..	..	69	7
142	Khong Khong Basti	R, S, Wb, Hos.	466.6	58	58	333	177	156	..	..	..	..	25	4
143	Simlai Pathar	R, S, Wb, D.	525.1	69	69	373	202	171	2	3	..	..	42	4
144	Bordalang	R, P, S, Wb, D, V.	1,002.2	230	230	1,046	562	484	116	112	..	..	182	48
145	Khari Khana	R, Tk, Wb, D, V.	345.2	68	68	293	175	118	73	37	15	14	90	19
146	Khari Khana Bil	R, P, S, Wb, D.	693.4	71	71	337	191	146	78	59	..	..	32	6
147	Sri Krishna Nagar	R, P, S, Wb, D, V.	429.3	109	109	568	290	278	254	242	..	..	84	18
148	Alichinga	R, S, Wb, D.	540.0	47	47	266	134	132	..	..	..	..	51	5
149	Laloong Dubi		422.0	15	15	98	44	54	..	..	23	33	22	10

LANKA (10)

Total workers (I—IX)		WORKERS I		II		III		IV		V		VI		VII		VIII		IX		X Non-workers		Sl. No.
M	F	M	F	M	F	M	F	M	F	M	F	M	F	M	F	M	F	M	F	M	F	
16	17	18	19	20	21	22	23	24	25	26	27	28	29	30	31	32	33	34	35	36	37	1
445	317	415	312	..	..	6	1	2	4	2	..	1	..	6	..	2	..	11	..	304	269	98
27	1	26	1	..	..	..	..	..	..	..	..	..	..	..	..	..	..	1	..	32	29	99
45	32	44	31	..	..	..	..	..	1	..	..	..	..	..	..	..	..	1	..	22	29	100
91	67	90	66	..	..	..	..	..	1	..	..	..	..	..	..	..	..	1	..	79	63	101
47	35	45	24	..	..	1	..	1	11	..	..	..	..	..	..	..	..	..	..	48	55	102
26	16	23	16	..	..	3	..	..	..	..	..	..	..	..	..	..	..	..	..	14	10	103
75	78	71	64	..	..	..	..	1	14	1	..	..	..	..	..	..	..	2	..	70	50	104
120	100	113	98	..	..	4	..	..	2	..	..	..	..	..	..	1	..	2	..	75	73	105
43	41	43	41	..	..	..	..	..	..	..	..	..	..	..	..	..	..	..	..	21	27	106
357	13	340	8	8	1	5	..	..	3	1	..	..	..	1	..	..	..	2	1	252	510	107
64	11	61	10	..	..	2	..	..	..	..	..	..	..	..	..	..	..	1	1	46	96	108
47	..	46	..	..	..	..	..	..	..	..	..	..	..	..	..	..	..	1	..	57	99	109
223	122	220	122	..	..	.	..	..	..	..	..	..	..	..	..	1	..	2	..	167	221	110
170	148	167	121	..	..	..	..	..	27	1	..	..	..	..	..	1	..	1	..	165	163	111
113	..	104	..	..	..	..	..	..	..	..	..	..	..	..	..	..	..	9	..	59	159	112
37	..	37	..	..	..	..	..	..	..	..	..	..	..	..	..	..	..	..	..	40	61	113
200	1	193	1	..	..	..	..	..	..	.	..	..	..	4	..	..	..	3	..	86	182	114
466	27	432	27	21	..	6	..	3	..	..	..	..	..	1	..	..	..	3	..	257	560	115
238	41	221	38	6	3	..	..	1	..	2	..	..	..	1	..	..	..	7	..	143	327	116
210	40	177	39	12	1	..	..	..	..	..	..	4	..	12	..	..	..	5	..	130	247	117
191	..	167	..	10	..	..	..	..	..	3	..	..	..	7	..	.	..	4	..	112	267	118
118	5	118	5	..	..	..	..	..	..	..	..	..	..	..	..	..	..	..	..	77	169	119
188	3	161	..	6	..	1	..	..	..	5	3	..	..	5	..	1	..	9	..	109	250	120
61	18	61	..	..	..	..	..	..	18	..	..	..	..	..	..	..	..	..	..	52	81	121
337	35	230	35	74	..	3	..	..	..	6	..	..	..	20	..	..	..	4	..	280	518	122
137	57	106	56	24	1	..	..	..	..	1	..	..	..	..	..	1	..	5	..	89	141	123
249	200	228	182	16	..	..	..	2	18	..	..	..	..	..	..	..	..	3	..	193	237	124
112	56	100	49	8	..	..	..	..	7	..	..	..	..	4	..	..	..	..	..	112	150	125
124	37	115	26	..	..	..	..	..	8	4	3	..	..	1	..	1	..	3	..	86	138	126
477	18	448	17	27	..	..	..	..	1	..	..	..	..	..	..	..	..	2	..	332	696	127
43	6	40	4	1	..	..	..	..	2	..	..	..	..	..	..	..	..	2	..	45	75	128
129	..	115	..	1	..	..	..	..	..	2	..	..	..	..	..	1	..	10	..	138	255	129
43	41	41	37	..	..	..	..	..	1	2	3	..	..	..	..	..	..	..	..	56	45	130
168	15	158	4	3	..	..	..	..	9	3	2	..	..	3	..	..	..	1	..	131	244	131
99	34	83	3	2	..	2	..	..	30	1	..	..	..	..	..	4	..	7	1	58	112	132
58	2	34	..	3	1	..	..	..	1	5	..	..	..	13	..	..	..	3	..	38	76	133
599	122	281	102	15	..	2	1	28	7	71	9	21	..	122	..	13	..	46	3	558	874	134
405	206	362	..	23	..	..	..	19	2	..	204	..	..	..	..	..	..	1	..	356	546	135
94	3	85	2	..	..	..	..	..	1	..	..	..	..	..	..	..	..	9	..	116	195	136
157	36	157	36	..	..	..	..	..	..	..	..	..	..	..	..	..	..	..	..	77	126	137
213	5	208	5	..	..	..	..	..	..	..	..	..	..	1	..	..	..	4	..	150	256	138
266	9	231	9	28	..	..	..	..	..	2	..	..	..	..	..	..	..	5	..	80	155	139
228	1	213	1	14	..	..	..	..	..	..	..	..	..	..	..	..	..	1	..	163	328	140
199	19	172	18	18	..	1	..	..	..	..	..	3	..	..	..	1	..	4	1	107	205	141
102	4	102	4	..	..	..	..	..	..	..	..	..	..	..	..	..	..	..	..	75	152	142
104	..	104	..	..	..	..	..	..	..	..	..	..	..	..	..	..	..	..	..	98	171	143
327	89	267	41	48	1	..	..	..	47	2	..	..	..	3	..	1	..	6	..	235	395	144
131	2	75	1	1	..	20	..	..	1	2	..	3	..	26	..	..	..	4	..	44	116	145
119	32	118	32	1	..	..	..	..	..	..	..	..	..	..	..	..	..	..	..	72	114	146
159	2	159	2	..	..	..	..	..	..	..	..	..	..	..	..	..	..	..	..	131	276	147
81	63	80	58	..	..	..	..	..	5	..	..	..	..	..	..	..	..	1	..	53	69	148
23	14	23	14	..	..	..	..	..	..	..	..	..	..	..	..	..	..	..	..	21	40	149

Name of Police Station

Serial No.	Name of Village/Town/ Ward/Enumerator's Block	Amenities	Area in Acres	Occupied Residential Houses: No. of Houses	Occupied Residential Houses: No. of Households	Total Population: P	Total Population: M	Total Population: F	Scheduled Castes: M	Scheduled Castes: F	Scheduled Tribes: M	Scheduled Tribes: F	Literate and Educated Persons: M	Literate and Educated Persons: F
1	2	3	4	5	6	7	8	9	10	11	12	13	14	15
150	Sambaria	R, P, S, Wb, V.	896.7	250	250	1,240	628	612	..	..	99	93	99	31
151	Lanka Patty	R, Rly, H, S, Db, V.	719.8	424	424	2,100	1,244	856	12	5	2	..	505	175
152	Panjabi Basti	R, Rly, Pw, Db, D.	462.7	100	100	515	296	219	..	..	..	..	68	16
153	Panch Bhandargaon	R, Rly, P, S, Wb, V.	734.5	128	128	642	340	302	..	..	114	125	23	6
154	Machaka	R, Rly, P, Pw, V.	572.5	59	59	298	178	120	..	..	..	..	16	..
155	Jamuguri	R, Rly, Pw, Db, D, V.	365.5	39	39	198	109	89	..	..	70	59	7	1
156	Padum Pukhuri	R, Kw, Wb, D.	163.2	12	12	59	35	24	..	..	..	..	4	..
157	Lanka Bheta	R, Kw, Wb, D, V.	147.0	4	4	21	11	10	..	..	..	..	5	1
158	Singjuri	R, P, Pw, Wb, D, V.	553.9	79	79	399	208	191	16	11	169	162	80	13
159	Natun Alichinga	R, Pw, Db, D, V.	149.8	19	19	90	45	45	..	..	3	2	10	..
160	Dagaon	R, P, S. Db, D, V.	223.2	31	31	171	76	95	76	95	..	..	32	23
161	Barman Pathar	R, P, Pw, Wb, D, V.	64.3	12	12	58	33	25	28	24	..	..	12	1
162	Nangal Bhanga	R, Kw, Db, Hos, V.	55.3	6	6	30	16	14	..	..	16	14	4	..
163	Barbaha Gaon	R, S.	791.6	49	49	420	210	210	..	..	..	..	64	7
164	Kandura	R P, S.	878.7	30	30	189	92	97	..	..	..	..	16	3
165	Dakhin Kandura	R, P, S.	887.9	81	81	496	260	236	9	10	12	10	113	14
166	Pub Kandura	R, P, S.	862.2	36	36	260	140	120	..	..	..	..	32	..
167	Buragaon	R, H, S, Wb.	667.4	146	146	840	463	377	78	73	..	..	116	26
168	Khring Khreng	R, Pw, D, V.	850.2	109	109	624	328	296	244	225	..	..	116	32
169	Ban Bengenaati	R, S, Wb, D, V.	412.3	97	97	483	252	231	56	65	..	..	32	6
170	Azar Bari	R, P, S, Wb, Hos, V.	946.2	210	210	1,160	642	518	195	157	..	..	301	65
171	Borpukhuri	R, P, S, Db, Hos, V.	414.2	138	138	698	361	337	186	185	..	..	111	37
172	No. 1 Ramnagar	R, S, Wb, Hos, V.	407.1	137	137	570	288	282	250	256	..	..	66	18
173	No. 2 Ramnagar	R, P, S.	954.2	143	143	794	428	366	74	69	..	..	117	28
174	Joysagar	R, P, S, Wb, D, V.	482.9	65	65	325	182	143	1	..	..	..	60	6
175	Rani Pukhuri	R, P, S, Wb, D, V.	1,457.4	180	180	912	465	447	95	97	..	..	199	56
176	Lankeswari Grant	R, P, Pw, D.	..	708	708	3,332	1,762	1,570	419	393	..	..	738	240
177	No. 1 Pipar Pukhuri	R, Rly, P, S, Db, D, V.	861.0	138	138	709	354	355	12	9	..	..	115	46
178	No. 2 Pipar Pukhuri	R, M, Pw, V.	1,611.3	190	190	953	536	417	49	36	..	..	143	27
179	Bamun Gaon	R, Pw, Wb, V.	1,249.8	212	212	1,056	574	482	35	49	..	..	212	46
180	Barjaha Gaon	R, P, S, Wb, V.	680.3	165	165	962	509	453	..	..	..	..	198	24
181	Kachari Gaon	R, S, Wb, D, V.	785.2	202	202	1,089	557	532	..	..	..	..	366	60
182	Dakhin Odali	R, P, Kw, Wb, D.	750.0	97	97	771	401	370	..	..	..	..	156	15
183	Lachit Pathar	R, P, S, Wb, D.	730.1	95	95	634	347	287	..	..	..	..	81	5
184	Odali Gaon	R, P, S, Wb.	943.0	229	229	1,179	619	560	..	..	..	..	135	10
185	Singgaon	R, P, Pw, Wb, D, V.	1,108.9	216	216	1,098	585	513	..	..	..	..	145	14
186	Bordalai Pathar	R, P, Pw, Wb, V.	661.4	147	147	775	427	348	..	..	..	..	100	10
187	Tiniali Bazar	R, P, S, Wb, D, V.	217.4	21	21	124	69	55	..	..	..	..	15	1
188	Jathang Basti	R, P, S, Wb, D, V.	721.2	101	101	592	292	300	..	..	..	..	85	9
189	Maj Odali	R, P, Kw, Wb.	701.1	102	102	687	357	330	..	..	..	..	94	17
190	Barjarani	R, P, Kw, Wb.	863.7	135	135	860	474	386	..	..	..	..	113	25
191	Jarani Gaon	R, P, S, Wb.	643.5	112	112	627	337	290	..	..	..	..	101	19
192	Dakhin Jarani	R, P, S, Wb.	500.6	91	91	402	224	178	..	..	..	..	129	21
193	Lankajan	R, P, S, Wb.	393.3	43	43	113	57	56	..	..	..	..	28	3
194	Pub Odali	R, P, Kw, Wb, V.	1,001.2	106	106	590	319	271	..	..	..	..	87	22
195	Kaki Lalunggaon	R, P, S, D.	262.3	140	140	785	419	366	21	22	4	2	96	39
196	Kaki Kachari Gaon	R, P, Pw, D.	404.6	37	37	164	86	78	69	64	..	..	15	6
197	Kaki Lalung Gaon N. C.		339.1	Merged with Village No. 195										
198	Kaki Gaon N. C. Part II			39	39	196	106	90	17	9	..	..	28	..
199	Kaki Kachari Gaon N. C.	R, P, S, Wb, D, V.	199.8	62	62	168	90	78	36	32	..	..	15	..
200	Block No. 1 Village No. 1	R, S, D, V.	659.2	84	84	463	263	200	46	33	49	34	92	24
201	Block No. 1 Village No. 2	R, M, S, Wb, D, V.	1,006.5	73	73	330	190	140	17	18	..	..	105	46
202	Block No. 1 Village No. 3	R, P, S, D, V.	1,145.6	23	23	93	60	33	34	23	1	..	24	6
203	Block No. 1 Village No. 4		949.5	50	50	162	92	70	17	15	..	..	44	16
204	Block No. 1 Village No. 5	R, S, D, V.	484.7	57	57	214	116	98	10	9	..	..	63	11
205	Block No. 1 Village No. 6	R, Pw, D, V.	744.6	39	39	118	84	34	..	..	..	..	59	21
206	Block No. 1 Village No. 7	R, P, S, Wb, D, V.	921.5	83	83	457	260	197	..	..	..	..	144	83

LANKA (10)

Total workers (I—IX)		WORKERS I		II		III		IV		V		VI		VII		VIII		IX		X Non-workers		Sl. No.
M	F	M	F	M	F	M	F	M	F	M	F	M	F	M	F	M	F	M	F	M	F	
16	17	18	19	20	21	22	23	24	25	26	27	28	29	30	31	32	33	34	35	36	37	1
358	42	291	11	26	4	25	..	6	5	..	20	..	..	7	2	..	..	3	..	270	570	150
663	1	211	..	7	..	8	..	5	..	71	..	7	..	169	..	14	..	171	1	581	855	151
183	25	158	24	5	..	..	..	..	..	..	..	..	..	5	..	1	..	14	1	113	194	152
170	125	165	113	..	..	..	..	4	12	..	..	..	..	1	..	..	..	..	..	170	177	153
111	42	100	38	..	..	..	..	11	4	..	..	..	..	..	..	..	..	..	..	67	78	154
68	33	67	33	..	..	..	..	..	..	..	..	..	..	..	..	..	..	1	..	41	56	155
24	3	23	3	..	..	..	..	..	..	..	..	..	..	..	..	..	..	1	..	11	21	156
6	7	6	5	..	2	..	..	..	..	..	..	..	..	..	..	..	..	..	..	5	3	157
110	76	106	74	..	2	..	..	..	..	2	..	..	..	2	..	..	..	..	..	98	115	158
27	28	27	16	..	..	..	..	..	12	..	..	..	..	..	..	..	..	..	..	18	17	159
37	42	36	42	..	..	..	..	..	..	..	..	..	..	..	..	..	..	1	..	39	53	160
15	13	14	9	1	..	..	..	..	4	..	..	..	..	..	..	..	..	..	..	18	12	161
11	10	11	10	..	..	..	..	..	..	..	..	..	..	..	..	..	..	..	..	5	4	162
98	94	94	94	2	..	1	..	..	..	..	..	..	..	..	..	..	..	1	..	112	116	163
55	33	48	32	6	..	1	1	..	..	..	..	..	..	..	..	..	..	..	..	37	64	164
120	75	112	75	6	..	2	..	..	..	..	..	..	..	..	..	..	..	..	..	140	161	165
64	60	56	59	7	1	..	..	..	..	..	..	..	..	..	..	..	..	1	..	76	60	166
301	65	299	65	1	..	..	..	..	..	..	..	..	..	..	..	1	..	..	..	162	312	167
190	97	188	97	..	..	..	..	..	..	1	..	..	..	..	..	..	..	1	..	138	199	168
161	9	161	9	..	..	..	..	..	..	..	..	..	..	..	..	..	..	..	..	91	222	169
376	82	308	61	34	4	..	..	5	7	1	..	1	..	21	10	1	..	5	..	266	436	170
228	19	158	15	7	..	..	..	..	3	4	..	..	..	35	..	1	..	23	1	133	318	171
187	10	175	10	2	..	..	..	1	..	2	..	..	..	6	..	..	..	1	..	101	272	172
268	7	234	2	27	4	..	..	1	1	..	..	..	..	3	..	..	..	3	..	160	359	173
118	24	106	24	6	..	..	..	1	..	..	..	..	..	1	..	..	..	4	..	64	119	174
289	107	205	74	63	14	..	..	3	7	4	4	2	..	9	8	..	..	3	..	176	340	175
937	57	587	19	50	..	1	..	5	12	89	8	5	..	117	14	20	..	63	4	825	1,513	176
197	148	168	122	..	..	2	..	1	11	5	12	3	..	1	..	3	..	14	3	157	207	177
363	256	344	240	16	14	..	..	..	2	..	..	1	..	..	..	1	..	1	..	173	161	178
325	45	283	37	35	..	..	..	..	8	..	..	..	..	3	..	..	..	4	..	249	437	179
284	136	246	136	14	..	..	..	..	..	3	..	..	..	17	..	..	..	4	..	225	317	180
325	2	295	2	27	..	..	..	..	..	1	..	..	..	..	..	1	..	1	..	232	530	181
210	..	198	..	7	..	..	..	..	..	..	..	..	..	..	..	..	..	5	..	191	370	182
204	..	193	..	8	..	..	..	..	..	1	..	..	..	..	..	..	..	2	..	143	287	183
347	1	341	1	..	..	..	..	..	..	4	..	..	..	..	..	..	..	2	..	272	559	184
315	..	293	..	15	..	..	..	..	..	..	..	..	..	3	..	1	..	3	..	270	513	185
251	1	250	1	..	..	..	..	..	..	..	..	..	..	..	..	..	..	1	..	176	347	186
43	..	43	..	..	..	..	..	..	..	..	..	..	..	..	..	..	..	..	..	26	55	187
186	..	180	..	4	..	..	..	..	..	1	..	..	..	..	..	1	..	..	..	106	300	188
205	140	205	140	..	..	..	..	..	..	..	..	..	..	..	..	..	..	..	..	152	190	189
279	154	279	154	..	..	..	..	..	..	..	..	..	..	..	..	..	..	..	..	195	232	190
232	4	231	4	..	..	..	..	..	..	..	..	..	..	1	..	..	..	..	..	105	286	191
153	108	153	108	..	..	..	..	..	..	..	..	..	..	..	..	..	..	..	..	71	70	192
35	26	35	26	..	..	..	..	..	..	..	..	..	..	..	..	..	..	..	..	22	30	193
189	..	184	..	5	..	..	..	..	..	..	..	..	..	..	..	..	..	..	..	130	271	194
285	136	256	130	16	1	2	..	..	4	4	..	..	..	5	1	..	..	2	..	134	230	195
47	32	46	32	..	..	..	..	..	..	..	..	..	..	..	..	..	..	1	..	39	46	196
																						197
56	44	53	4	..	..	2	..	1	40	..	..	..	..	..	..	..	..	..	..	50	46	198
44	38	40	8	2	1	2	..	..	29	..	..	..	..	..	..	..	..	..	..	46	40	199
170	105	161	105	..	..	..	..	..	..	2	..	..	..	5	..	..	..	2	..	93	95	200
104	60	91	51	4	2	..	..	3	7	..	..	..	..	..	..	..	..	6	..	86	80	201
44	8	41	8	3	..	..	..	..	..	..	..	..	..	..	..	..	..	..	..	16	25	202
62	42	59	32	1	..	..	..	1	..	..	..	..	..	..	..	..	..	1	10	30	28	203
69	53	69	52	..	..	..	..	..	1	..	..	..	..	..	..	..	..	..	..	47	45	204
49	17	45	15	..	..	..	..	..	2	..	..	..	..	..	..	..	..	4	..	35	17	205
127	55	119	8	5	1	..	..	..	46	..	..	..	..	..	..	..	..	3	..	133	142	206

Serial No.	Name of Village/Town/ Ward/Enumerator's Block	Amenities	Area in Acres	Occupied Residential Houses		Total Population			Scheduled Castes		Scheduled Tribes		Literate and Educated Persons	
				No. of Houses	No. of Households	P	M	F	M	F	M	F	M	F
1	2	3	4	5	6	7	8	9	10	11	12	13	14	15
207	Block No. 1 Village No. 8	R, P, Riv, D.	Included in Sl. 206	13	13	34	28	6	4	..	..	..	9	..
208	Block No. 2 Village No. 1	R, P, S, D.	350.2	40	40	143	91	52	..	..	..	..	36	9
209	Block No. 2 Village No. 2	R, P, Kw, Cd.	633.5	43	43	164	83	81	42	45	..	..	47	18
210	Block No. 2 Village No. 3	R, S, D, Cd.	1,019.7	25	25	82	52	30	..	..	..	..	22	3
211	Block No. 2 Village No. 4	R, P, S, D.	327.9	21	21	70	41	29	..	..	.	..	21	6
212	Block No. 3 Village No. 1	R, P, S, D, V, Cd.	673.2	52	52	163	99	64	49	31	..	..	54	8
213	Block No. 3 Village No. 2		819.6	77	77	230	129	101	..	..	..	..	81	29
214	Block No. 3 Village No. 3	R, Pw.	413.9	91	91	278	153	125	2	2	..	..	19	3
215	Block No. 3 Village No. 4	R, Pw.	282.6	31	31	161	90	71	..	..	6	3	11	2
216	Block No. 3 Village No. 5		1,148.7	90	90	280	165	115	45	35	..	..	86	17
217	Block No. 3 Village No. 6	R, P, Pw.	172.9	41	41	195	110	85	..	..	..	..	34	5
	RAILWAY													
	Guniajar		..	130	130	257	177	80	..	..	..	..	93	43
	Ganghat		..	51	51	100	55	45	4	3	..	..	14	2
	FOREST													
1	Komorakata		..	25	25	155	80	75	67	66	..	..	31	7
2	Komorakata		..	18	18	79	46	33	..	..	..	..	22	..
3	Komorakata		..	19	19	91	46	45	7	6	..	..	6	1
4	Hoja Fangia		..	10	10	42	22	20	..	..	..	..	6	..
5	Forest Block 1		..	138	138	740	397	343	..	..	3	3	116	12
6	Forest Block 2		..	37	37	181	91	90	..	..	..	..	50	9
7	Forest Block 3		..	19	19	86	46	40	..	..	46	40	7	..
8	Forest Block 4		..	18	18	74	43	31	..	..	..	..	24	10
9	Forest Block 5		..	18	18	88	49	39	..	..	..	..	10	..
10	Forest Block 6		..	132	132	642	340	302	..	..	311	275	65	18

LANKA (10)

Total workers (I—IX)		WORKERS I		II		III		IV		V		VI		VII		VIII		IX		X Non-workers		Sl. No.
M	F	M	F	M	F	M	F	M	F	M	F	M	F	M	F	M	F	M	F	M	F	
16	17	18	19	20	21	22	23	24	25	26	27	28	29	30	31	32	33	34	35	36	37	1
20	3	20	3	..	..	..	..	..	..	..	..	..	..	..	..	..	..	..	..	8	3	207
49	15	45	2	..	..	..	..	..	13	..	..	..	..	..	..	..	..	4	..	42	37	208
45	29	44	2	..	..	..	..	..	27	..	..	..	..	..	..	..	..	1	..	38	52	209
42	2	40	..	..	..	..	..	..	2	..	..	..	..	..	..	..	..	2	..	10	28	210
23	11	21	..	..	..	..	..	..	9	..	2	..	..	2	..	..	..	..	..	18	18	211
63	24	61	14	..	..	..	..	1	10	..	..	..	..	..	..	1	..	..	..	36	40	212
46	13	45	12	..	..	..	..	..	1	..	..	..	..	..	..	..	..	1	..	83	88	213
83	66	83	15	..	..	..	..	..	51	..	..	..	..	..	..	..	..	..	..	70	59	214
43	33	43	2	..	..	..	..	..	31	..	..	..	..	..	..	..	..	..	..	47	38	215
113	25	113	25	..	..	..	..	..	..	..	..	..	..	..	..	..	..	..	..	52	90	216
55	12	55	12	..	..	..	..	..	..	..	..	..	..	..	..	..	..	..	..	55	73	217
124	2	5	..	..	..	..	..	..	..	3	..	..	..	19	..	89	1	8	1	53	78	Rly. 3
22	..	..	..	..	..	..	..	..	..	..	..	..	..	..	..	22	..	..	..	33	45	Rly. 7
44	..	44	..	..	..	..	..	..	..	..	..	..	..	..	..	..	..	..	..	36	75	F20
40	21	1	1	..	..	39	20	..	..	..	..	..	..	..	..	..	..	..	..	6	12	21
31	18	31	18	..	..	..	..	..	..	..	..	..	..	..	..	..	..	..	..	15	27	22
13	..	13	..	..	..	..	..	..	..	..	..	..	..	..	..	..	..	..	..	9	20	23
239	28	238	1	..	..	..	..	..	27	..	..	..	..	..	..	1	..	..	..	158	315	28
55	15	54	3	..	..	..	..	..	12	..	..	..	..	..	..	..	..	1	..	36	75	29
33	21	33	1	..	..	..	..	..	20	..	..	..	..	..	..	..	..	..	..	13	19	30
28	18	28	16	..	..	..	..	..	2	..	..	..	..	..	..	..	..	..	..	15	13	31
31	18	31	18	..	..	..	..	..	..	..	..	..	..	..	..	..	..	..	..	18	21	32
223	10	217	10	1	..	4	..	..	..	..	..	..	..	..	..	..	..	1	..	117	292	35

Serial No.	Name of Village/Town/ Ward/Enumerator's Block	Amenities	Area in Acres	Occupied Residential Houses: No. of Houses	Occupied Residential Houses: No. of Households	Total Population: P	Total Population: M	Total Population: F	Scheduled Castes: M	Scheduled Castes: F	Scheduled Tribes: M	Scheduled Tribes: F	Literate and Educated Persons: M	Literate and Educated Persons: F
1	2	3	4	5	6	7	8	9	10	11	12	13	14	15
	Lumding P.S.													
		Total	178.0 (Sq. miles)	5,311	5,468	28,479	15,935	12,544	828	628	85	68	9,266	5,326
		Rural	176.4 (Sq. miles)	1,058	1,058	5,293	3,000	2,293	63	54	73	66	1,366	665
		Urban	1.6 (Sq. miles)	4,253	4,410	23,186	12,935	10,251	765	574	12	2	7,920	4,661
1	Hatikhuli		196.6	37	37	157	85	72	..	..	4	1	23	9
2	Hatikhuli N.C.		74[illegible].5	55	55	234	133	101	54	51	12	14	48	15
3	Uttar Lumding	Edbo.	761.5	119	119	627	357	270	..	..	..	..	157	98
4	Jarangdisha N.C.		293.1	36	36	131	77	54	..	..	14	9	22	8
5	Jarangdisha		720.6	60	60	258	154	104	..	..	..	..	71	19
6	Murabasti		183.5	23	23	111	65	46	..	..	..	..	34	13
7	Khristan Basti		185.8	9	9	42	27	15	8	2	..	..	13	3
8	Terang Langshow N.C.		513.5	48	48	193	105	88	..	..	..	..	26	8
9	Chandloru		171.6	64	64	428	224	204	..	..	..	..	19	..
10	Pub Lumding		629.0	219	219	1,136	628	508	..	..	2	2	530	414
11	Dakhin Lumding		425.7	35	35	149	79	70	..	..	..	..	21	4
12	Kangar Gaon		351.0	23	23	86	55	31	..	..	..	..	33	9
13	Kargar Gaon N.C.		408.8	20	20	95	54	41	..	..	..	..	19	11
14	Pub Lumding N.C.	Cso.	116.6	20	20	88	47	41	..	..	41	40	15	4
15	Sa hu Khuti		237.6	23	23	70	42	28	..	..	..	..	17	1
16	Fatu Pathar		295.5	46	46	192	100	92	..	..	..	..	45	23
17	Na-Khuti		..	17	17	115	60	55	..	..	..	..	9	2
18	Nakhuti-Warkapoo		..	21	21	146	80	66	..	..	..	..	18	2
19	Nakhuti Sar-Jk-Ronghang		..	5	5	54	28	26	..	..	..	..	3	..
20	Ramphisoo Gaon		..	11	11	61	28	33	..	..	..	..	..	..
21	Sarkar Bosti		..	33	33	204	119	85	..	..	..	..	43	2
22	Ram Jnghi Bosti		..	16	16	83	40	43	..	..	..	..	4	..
23	Hamari Jnglang		..	24	24	155	81	74	..	..	..	..	5	..
	1 R. P. F. Lumding		..	25	25	129	129	..	..	..	..	..	120	..
	R. 1 Pathar Khola		..	8	8	40	24	16	..	..	..	..	13	3
	R. 2 Lamsakhon		..	21	21	109	69	40	1	1	..	..	33	3
	7 R. Ganghat Lumding		..	40	40	200	110	90	..	..	..	..	25	14
	LUMDING TOWN		1.61 (Sq. miles)	4,253	4,410	23,186	12,935	10,251	765	574	12	2	7,920	4,661
	New Colony		..	342	357	1,887	1,005	882	73	62	..	..	598	342
	Block No. I		..	75	75	470	259	211	8	7	..	..	168	107
	Block No. II		..	104	109	627	327	300	27	26	..	..	180	112
	Block No. III		..	163	173	790	419	371	38	29	..	..	250	123

LUMDING (11)

Total workers (I—IX)		WORKERS I		II		III		IV		V		VI		VII		VIII		IX		X Non-workers		Sl. No.
M	F	M	F	M	F	M	F	M	F	M	F	M	F	M	F	M	F	M	F	M	F	
16	17	18	19	20	21	22	23	24	25	26	27	28	29	30	31	32	33	34	35	36	37	1
8,093	511	1,053	287	208	13	100	26	56	32	300	..	151	..	917	12	4,018	66	1,290	75	7,842	12,033	
1,863	366	1,017	283	199	13	79	25	..	27	22	..	28	..	81	9	293	1	144	8	1,137	1,927	
6,230	145	36	4	9	..	21	1	56	5	278	..	123	..	836	3	3,725	65	1,146	67	6,705	10,106	
61	13	39	..	1	..	4	5	..	..	..	..	..	..	2	8	5	..	10	..	24	59	1
102	12	78	3	1	..	20	2	..	7	..	..	..	..	1	..	2	..	..	..	31	89	2
201	41	51	19	2	..	37	15	..	1	18	..	10	..	19	..	26	..	38	6	156	229	3
53	16	29	16	..	..	5	..	..	..	..	..	1	..	4	..	2	..	12	..	24	58	4
95	20	50	20	..	..	..	..	..	..	..	..	..	..	7	..	2	..	36	..	59	84	5
38	21	30	21	..	..	..	..	..	..	..	..	..	..	1	..	3	..	4	..	27	25	6
15	9	13	9	..	..	..	..	..	..	..	..	..	..	..	..	2	..	..	..	12	6	7
67	20	51	20	1	..	..	..	..	..	2	..	11	..	..	..	..	..	2	..	38	68	8
154	101	153	82	1	..	..	..	..	19	..	..	..	..	..	..	..	..	..	..	70	103	9
310	16	96	9	167	7	2	..	..	..	..	..	..	..	30	..	8	..	7	..	318	492	10
51	31	28	25	8	4	..	..	..	..	2	..	2	..	5	1	..	..	6	1	28	39	11
31	7	19	6	5	..	..	..	..	..	..	..	..	..	3	..	3	..	1	1	24	24	12
37	5	17	5	7	..	1	..	..	..	..	..	..	..	2	..	8	..	2	..	17	36	13
28	17	22	17	..	..	..	..	..	..	..	..	..	..	..	..	..	..	6	..	19	24	14
31	15	28	15	2	..	..	..	..	..	..	..	..	..	..	..	..	..	1	..	11	13	15
65	16	64	15	1	1	..	..	..	..	..	..	..	..	..	..	..	..	..	..	35	76	16
34	..	34	..	..	..	..	..	..	..	..	..	..	..	..	..	..	..	..	..	26	55	17
43	1	42	..	..	..	1	1	..	..	..	..	..	..	..	..	..	..	..	..	37	65	18
15	..	15	..	..	..	..	..	..	..	..	..	..	..	..	..	..	..	..	..	13	26	19
20	..	20	..	..	..	..	..	..	..	..	..	..	..	..	..	..	..	..	..	8	33	20
72	4	62	1	3	1	5	2	..	..	..	..	..	..	1	..	..	..	1	..	47	81	21
23	..	23	..	..	..	..	..	..	..	..	..	..	..	..	..	..	..	..	..	17	43	22
53	..	53	..	..	..	..	..	..	..	..	..	..	..	..	..	..	..	..	..	28	74	23
129	..	..	..	..	..	..	..	..	..	..	..	..	..	..	..	129	..	..	..	..	..	
17	1	..	..	..	..	..	..	..	..	..	..	..	..	..	..	17	1	..	..	7	15	
60	..	..	..	..	..	4	..	..	..	..	..	4	..	4	..	31	..	17	..	9	40	
58	..	..	..	..	..	..	..	..	..	..	..	..	..	2	..	55	..	1	..	52	90	
6,230	145	36	4	9	..	21	1	56	5	278	..	123	..	836	3	3,725	65	1,146	67	6,705	10,106	
480	7	9	2	4	..	6	1	13	1	11	..	33	..	35	..	334	2	35	1	525	875	
123	2	..	1	1	..	1	..	..	..	3	..	28	..	15	..	67	1	8	..	136	209	
140	2	6	..	..	..	5	1	1	..	1	..	2	..	8	..	104	1	13	..	187	298	
217	3	3	1	3	..	..	..	12	1	7	..	3	..	12	..	163	..	14	1	202	368	

Serial No.	Name of Village/Town/ Ward/Enumerator's Block	Amenities	Area in Acres	Occupied Residential Houses		Total Population			Scheduled Castes		Scheduled Tribes		Literate and Educated Persons	
				No. of Houses	No. of Households	P	M	F	M	F	M	F	M	F
1	2	3	4	5	6	7	8	9	10	11	12	13	14	15
	Brick Field Colony		..	646	664	3,851	2,158	1,693	74	69	..	..	1,316	717
	Block No. I		..	252	262	1,481	887	594	53	56	..	..	502	269
	Block No. II		..	176	178	861	462	399	8	3	..	..	281	147
	Block No. III		..	78	78	472	254	218	13	10	..	..	187	130
	Block No. IV		..	140	146	1,037	555	482	..	..	..	..	346	171
	Loco Colony		..	584	601	2,945	1,635	1,310	114	95	4	..	976	533
	Block No. I		..	170	174	934	503	431	28	27	..	..	305	190
	Block No. II		..	94	97	556	312	244	5	3	..	..	188	102
	Block No. III		..	200	202	811	473	338	9	6	..	..	318	134
	Block No. IV		..	120	128	644	347	297	72	59	4	..	165	107
	Officers' Colony		..	120	122	503	296	207	..	..	..	..	180	82
	Institute Colony		..	338	347	1,866	1,022	844	55	39	..	..	7.6	526
	Block No. I		..	156	160	827	472	355	18	2	..	..	339	230
	Block No. II		..	182	187	1,039	550	489	37	37	..	..	407	296
	H. & S. Colony Pt. 1			794	836	4,392	2,499	1,893	170	106	8	2	1,418	745
	Block No. I			140	145	893	561	332	71	20	..	..	341	175
	Block No. II			164	178	816	452	364	6	4	..	..	235	110
	Block No. III			140	143	816	453	363	..	..	..	..	283	151
	Block No. IV			190	199	1,100	595	505	4	7	3	..	364	227
	Block No. V			160	171	767	438	329	89	75	5	2	195	82
	H. & S. Colony Pt. 2			350	362	1,689	909	780	164	117	..	..	463	257
	Block No. I			150	150	770	398	372	10	7	..	..	236	149
	Block No. II			200	212	919	511	408	154	110	..	..	227	108
	Bazar Area			479	499	2,387	1,448	939	63	52	..	..	885	520
	Block No. I			161	168	827	476	351	24	31	..	..	300	223
	Block No. II			60	63	298	197	101	2	..	..	..	136	63
	Block No. III			104	104	413	250	163	14	10	..	..	122	56
	Block No. IV			154	164	849	525	324	23	11	..	..	327	178
	D. T. S. Hill Colony			120	128	778	425	353	17	12	..	..	336	237
	Kalibari Colony			480	494	2,888	1,538	1,350	35	22	..	..	1,002	702
	Block No. I			296	308	1,723	934	789	35	22	..	..	596	390
	Block No. II			184	186	1,165	604	561	..	..	..	..	406	312

LUMDING (11)

Total workers (I—IX)		WORKERS I		II		III		IV		V		VI		VII		VIII		IX		X Non-workers		Sl. No.
M	F	M	F	M	F	M	F	M	F	M	F	M	F	M	F	M	F	M	F	M	F	
16	17	18	19	20	21	22	23	24	25	26	27	28	29	30	31	32	33	34	35	36	37	1
978	11	..	..	..	..	1	..	1	..	32	..	2	..	94	..	658	4	190	7	1,180	1,682	
409	3	..	..	..	..	..	..	..	..	7	..	2	..	63	..	229	..	108	3	478	591	
207	3	..	..	..	..	..	..	..	..	5	..	..	..	12	..	164	1	26	2	255	396	
103	2	..	..	..	..	1	..	1	..	1	..	..	..	1	..	92	..	7	2	151	216	
259	3	..	..	..	..	..	..	..	..	19	..	..	..	18	..	173	3	49	..	296	479	
756	10	2	..	..	..	..	..	2	..	6	..	2	..	40	..	648	3	56	7	879	1,300	
212	6	..	..	..	..	..	..	..	..	2	..	2	..	11	..	176	1	21	5	291	425	
135	..	1	..	..	..	..	..	1	..	1	..	..	..	15	..	101	..	16	..	177	244	
246	..	..	..	..	..	..	..	..	..	2	..	..	..	10	..	217	..	17	..	227	338	
163	4	1	..	..	..	..	..	1	..	1	..	..	..	4	..	154	2	2	2	184	293	
163	4	3	..	..	..	..	..	..	..	1	..	..	..	6	..	134	3	19	1	133	203	
456	27	..	..	..	..	..	..	8	..	2	..	2	..	29	1	364	20	51	6	566	817	
210	8	..	..	..	..	..	..	8	..	..	..	..	..	23	1	160	5	19	2	262	347	
246	19	..	..	..	..	..	..	..	..	2	..	2	..	6	..	204	15	32	4	304	470	
1,323	28	10	1	5	..	10	..	4	1	100	..	36	..	319	1	436	14	403	11	1,176	1,865	
376	3	2	..	1	..	4	..	1	..	20	..	19	..	73	..	42	..	214	3	185	329	
236	1	3	..	2	..	..	..	1	..	14	..	10	..	103	..	60	..	43	1	216	363	
217	5	5	1	2	..	1	..	2	1	43	..	4	..	76	..	36	..	48	3	236	358	
258	5	..	..	..	..	..	..	..	..	2	..	..	..	9	1	205	4	42	..	337	500	
236	14	..	..	..	..	5	..	..	..	21	..	3	..	56	..	93	10	56	4	202	315	
462	14	3	..	..	..	..	..	..	..	13	..	3	..	78	..	274	6	91	8	447	766	
179	..	1	..	..	..	..	..	..	..	6	..	..	..	20	..	143	..	9	..	219	372	
283	14	2	..	..	..	..	..	..	..	7	..	3	..	58	..	131	6	82	8	228	394	
829	22	9	1	..	..	4	..	27	3	91	..	38	..	170	..	241	4	249	14	619	917	
232	7	2	..	..	..	2	..	..	..	28	..	8	..	43	..	87	2	62	5	244	344	
140	3	5	1	..	..	2	..	3	..	21	..	16	..	24	..	9	..	60	2	57	98	
140	2	..	..	..	..	..	..	4	..	1	..	..	..	10	..	101	2	24	..	110	161	
317	10	2	..	..	..	..	..	20	3	41	..	14	..	93	..	44	..	103	7	208	314	
208	4	..	..	..	..	..	..	..	..	6	..	2	..	5	..	184	2	11	2	217	349	
575	18	..	..	..	..	..	..	1	..	16	..	5	..	60	1	452	7	41	10	963	1,332	
364	10	..	..	..	..	..	..	1	..	14	..	2	..	38	..	277	2	32	8	570	779	
211	8	..	..	..	..	..	..	..	..	2	..	3	..	22	1	175	5	9	2	393	553	

TABLES

Besides the Village Directory which contains the Primary Census Abstracts for each village in the district in addition to other important informations relating to the village, all A-series tables with their appendices relating to the general population ; all B(i) i. e. General Economic Tables except B-II, all C-series i. e. Social and Cultural Tables except C-I, C-IV & C-VI ; and all tables for Scheduled Castes and Scheduled Tribes are reproduced in this volume. A short explanatory note for each of the above census tables presented in this volume is also given.

TABLE A-I

AREA, HOUSES AND POPULATION

This is the basic population table for the Census. This table furnishes the data for each police station and town separately. The area is given both in square miles and square kilometres ; but the density is calculated from square miles only. In addition to the data on area and density, this table gives the number of inhabited and uninhabited villages, occupied residential houses and the population separately for males and females according to the 1961 Census for both rural and urban areas separately.

The area figures of the district and police stations are as supplied by the Director of Land Records and Surveys, Government of Assam. The area figures of the towns are collected from the respective Deputy Commissioners and Subdivisional Officers, Local Bodies and in some cases, from the Local Self-Government Department of the Government of Assam.

Appendix I to Table A-I

This appendix shows the 1951 territories constituting the present set-up of the district. The formation of one new Police Station namely Lanka Police Station is shown in this apdendix.

Appendix III to Table A-I

This table furnishes the figures for houseless and institutional population for total, rural and urban areas separately. For the purpose of studying different characteristics, this population is included in the household population.

A-I—AREA, HOUSES AND POPULATION

District/Police Station/ Town	Total Rural Urban	Area in		Population per square mile	Number of villages		Number of Towns	Number of occupied residential houses	Population		
		Sq. miles	Sq. km.		Inhabited	Un-inhabited			Persons	Males	Females
1	2	3 (a)	3 (b)	4	5	6	7	8	9	10	11
	T	2,200.0	5,698.0	550	1,716	116	4	218,495	1,210,761	645,690	565,071
Nowgong District	R	2,192.9	5,679.6	515	1,716	116	..	204,760	1,129,544	598,096	531,448
	U	7.1	18.4	11,439	..	..	4	13,735	81,217	47,594	33,623
Laharighat P.S.	R	214.1	554.4	731	241	28	..	26,150	156,573	82,792	73,781
	T	78.5	203.4	967	65	7	1	12,626	75,907	40.157	35,750
Dhing P.S.	R	77.0	199.5	900	65	7	..	11,397	69,333	36,377	32,956
	U	1.5	3.9	4,383	..	..	1	1,229	6,574	3,780	2,794
Dhing	U	1.50	3.88	4,383	..	..	1	1,229	6,574	3,780	2,794
Rupahihat P.S.	R	169.2	438.2	930	154	2	..	27,799	157,375	82,614	74,761
Kaliabor P.S.	R	164.0	424 8	418	110	1	..	12,578	68,621	36,650	31,971
Marigaon P.S.	R	370.0	958.3	334	313	47	..	23,870	123,764	65,605	58,159
Raha P.S.	R	178.2	461.6	571	152	10	..	18,326	101,805	53,481	48,324
	T	143 0	370.4	1,123	142	2	1	29,841	160,633	87,340	73,293
Nowgong P.S.	R	140.7	364.4	867	142	2	..	23,775	122,033	64,045	57,988
	U	2.3	6.0	16,496	..	..	1	6,066	38,600	23.295	15,305
Nowgong (M)	U	2.34	6 06	16,496	..	..	1	6,066	38,600	23,295	15,305
Samaguri P. S.	R	217.0	562.0	404	114	6	..	15,572	87,687	46,158	41,529
	T	246.0	637.1	485	177	11	1	21,937	119,259	64,300	54,959
Jamunamukh P.S.	R	244.3	632.8	436	177	11	..	19,750	106,402	56,716	49,686
	U	1.7	4.3	7,792	..	..	1	2,187	12,857	7,584	5,273
Hojai (T.C.)	U	1.65	4.27	7,792	..	..	1	2,187	12,857	7,584	5,273
Lanka P.S.	R	242.0	626.8	540	225	2	..	24,485	130,658	70,658	60,000
	T	178.0	461.0	160	23	..	1	5,311	28,479	15,935	12,544
Lumding P.S.	R	176.4	456.8	30	23	..	..	1,058	5,293	3,000	2,293
	U	1.6	4.2	14.401	..	..	1	4,253	23,186	12,935	10,251
Lumding	U	1.61	4.17	14,401	..	..	1	4,253	23,186	12,935	10,251

Note :— 1. The Sq. km. and density figures of Urban areas of Police Station/District are worked out by using the area figures corrected upto 2 places of decimals obtained by adding the areas of towns in the respective units and not using the area figures given in the table. In addition to this, the area figures relating to Sq. km. are further adjusted to make the Police Station/District totals tally.

2. Towns treated as such for the first time in 1961 are printed in italics.

3. The following abbreviations have been used for the status of a town :—

(i) M—Municipality
(ii) T.C.—Town Committee

APPENDIX I

Statement showing 1951 Territorial Units constituting the present set-up of the District

1. Only those names/areas which have undergone changes since 1951 have been shown below
2. The Location Code Number, revenue number, name and area of each village (whatever available) transferred from one Police Station to another or incorporated in a Police Station by transfer from another is given in the Annexure I

District/Police Station	1951 Territorial units	Details of gains in territories			Details of loss in territories			Net Area (gain '+' loss '−')	
		Brief Description	Area		Brief Description	Area			
			Sq. miles	Sq. km.		Sq. miles	Sq. km.	Sq. miles	Sq. km.
1	2	3	4	5	6	7	8	9	10
Nowgong District	Nowgong District	..	..	..	The following areas inhabited mainly by Mikirs transferred to Mikir Hills Subdivision of newly formed United Mikir and North Cachar Hills District :	1,707.0	4,421.1	−1,707.0	−4,421.1
					1. (i) 55 villages of Mauza Duar Salona of Samaguri Thana	1,707.0	4,421.1	..	..
					(ii) 88 villages of Mauza Duar Bamuni of Samaguri Thana				
					(iii) 14 villages of Mauza Duar Baguri of Kaliabor Thana				
					(iv) 128 villages of Mauza Duar Amla of Marigaon Thana				
					(v) 3 villages (Benteranggaon, Birangaon and Kari Bonggaon) of Marigaon Thana				
					(vi) 33 villages of Mauza Namati of Jamunamukh Thana				
					(vii) 38 villages of Mauza Lanka of Jamunamukh Thana				
					(viii) 503 villages of Mauza Rongkhang of Jamunamukh Thana				
					(ix) 12 villages of Mauza Lumding of Lumding Thana				
					(x) 63 villages of Mauza Jamunapar of Lumding Thana				
					(xi) 17 villages of Mauza Longfer of Lumding Thana				
					(xii) B. and C. Hills of Lumding Thana				

A-I—AREA, HOUSES AND POPULATION (Contd.)

APPENDIX I

District/Police Station	1951 Territorial units	Details of gains in territories			Details of loss in territories			Net Area (gain '+' loss '−')	
		Brief Description	Area		Brief Description	Area			
			Sq. miles	Sq. km.		Sq. miles	Sq. Km.	Sq. miles	Sq. Km.
1	2	3	4	5	6	7	8	9	10
Kaliabor Police Station	Kaliabor Police Station	..	..	..	2. 14 villages of Mauza Duar Baguri transferred to Mikir Hills Subdivision of Newly formed United Mikir and North Cachar Hills District	N. A.	N. A.	N. A.	N. A.
Marigaon Police Station	Marigaon Police Station	..	..	..	3. (i) 3 villages (Benteranggaon, Birangaon and Kari-Bonggaon) transferred to Mikir Hills Subdivision of newly formed United Mikir and North Cachar Hills District	N. A.	N. A.	N. A.	N. A.
					(ii) 128 villages of Mauza Duar Amla transferred to Mikir Hills subdivision of newly formed United Mikir and North Cachar Hills District				
Samaguri Police Station	Samaguri Police Station	..	..	..	4. (i) 55 villages of Mauza Duar Salona transferred to Mikir Hills Subdivision of newly formed United Mikir and North Cachar Hills District	N. A.	N. A.	N. A.	N. A.
					(ii) 88 villages of Mauza Duar Bamuni transferred to Mikir Hills Subdivision of newly formed United Mikir and North Cachar Hills District	N. A.	N. A.	N. A.	N. A.
Jamunamukh Police Station	Jamunamukh Police Station	..	..	..	5. (i) 33 villages of Mauza Namati transferred to Mikir Hills Subdivision of United Mikir and North Cachar Hills District	N. A.	N. A.	N. A.	N. A.
					(ii) 38 villages of Mauza Lanka transferred to Mikir Hills Subdivision of United Mikir and North Cachar Hills District	N. A.	N. A.	N. A.	N. A.
					(iii) 503 villages of Mauza Rangkhang transferred to Mikir Hills Subdivision of United Mikir and North Cachar Hills District	N. A.	N. A.	N. A.	N. A.
					(iv) 199 villages transferred to form a new Police Station known as Lanka Police Station	242.0	626.8	−242.0	−626.8

APPENDIX I

District/Police Station	1951 Territorial units	Details of gains in territories			Details of loss in territories			Net Area (gain '+' loss '–')	
		Brief Description	Area		Brief Description	Area			
			Sq. miles	Sq. Km.		Sq. miles	Sq. Km.	Sq. miles	Sq. Km.
1	2	3	4	5	6	7	8	9	10
Lanka Police Station	—	6. Newly formed 199 villages of Jamunamukh Police Station	242.0	626.8	—	—	—	+242.0	+626.8
Lumding Police Station	Lumding Police Station	..	..	..	7. (i) 12 villages of Mauza Lumding transferred to Mikir Hills Subdivision of United Mikir and North Cachar Hills District	N. A.	N. A.	N. A.	N. A.
					(ii) 63 villages of Mauza Jamunapar transferred to Mikir Hills Subdivision of United Mikir and North Cachar Hills District	N. A.	N. A.	N. A.	N. A.
					(iii) 17 villages of Mauza Longfer transferred to Mikir Hills Subdivision of United Mikir and North Cachar Hills District	N. A.	N. A.	N. A.	N. A.
					(iv) B. and C. Hills transferred to Mikir Hills Subdivision of United Mikir and North Cachar Hills District				

Note :—(1) '+' Non-censused area has been derived by substracting the area figures supplied by the Assam Survey Department in 1951 from those supplied by the Surveyor General of India

(2) 'N. A.' Denotes 'Not Available'

ANNEXURE I

TO APPENDIX I TO TABLE A-I

Showing The Details Of Villages Transferred

NOWGONG DISTRICT

Symbol No.	Serial No.	Name	Location Code No.	Revenue No.	Area
1	1(a)	2	3	4	5
1	1	Sarthe Ingtigaon	1	N.A.	N.A.
	2	Duar Salona	2	,,	,,
	3	Mutiar Ingti	3	,,	,,
	4	Chartharongphar	4	,,	,,
	5	Kamjatror Dijapahar	5	,,	,,
	6	Phungong	6	,,	,,
	7	Kalangneng Dejopahar	7	,,	,,
	8	Charmatakbi	8	,,	,,
	9	Bohomochincow Burapahar	9	,,	,,
	10	Charkhabey Choripahar	10	,,	,,
	11	Sarth Luchagaon	11	,,	,,
	12	Saphabagaon	12	,,	,,
	13	Rongbong Gaon	13	,,	,,
	14	Sarmon Ingti	14	,,	,,
	15	Hontharagaon	15	,,	,,
	16	Kania Onglang	16	,,	,,
	17	Clang Thussa	17	,,	,,
	18	Kania Engjoy	18	,,	,,
	19	Saburabouygaon	19	,,	,,
	20	Sarthe Krogaon	20	,,	,,
	21	Jwartakbigaon	21	,,	,,
	22	Sarthebegaon	22	,,	,,
	23	Rahrangfar	23	,,	,,
	24	Sarthe Ingti	24	,,	,,
	25	Nihang Gaon	25	,,	,,
	26	Rekapahar	26	,,	,,
	27	Sabar Rongpigaon	27	,,	,,
	28	Haspani Hongsongpahar	28	,,	,,
	29	Parkup Pahar No. 3	29	,,	,,
	30	Parkup Pahar	30	,,	,,
	31	Lindak	31	,,	,,
	32	Charabgaon	32	,,	,,
	33	Ronghong Hongsong Pahar	33	,,	,,
	34	Khaiga Singer	34	,,	,,
	35	Jarbasti Rekhapahar (Jarrongfar)	35	,,	,,
	36	Nopanijan Pahar	36	,,	,,
	37	Bajongbey	37	,,	,,
	38	Ulu Basti	38	,,	,,
	39	Sarthe Basti	39	,,	,,
	40	Sarashbari	40	,,	,,
	41	No. 4. Rihlu	41	,,	,,
	42	Kania Kro-Chong	42	,,	,,
	43	Burapahar	43	,,	,,
	44	Charat Terangaon	44	,,	,,
	45	Chapang Pahar No. 6	45	,,	,,
	46	Thrilong Song Gaon N.C.	46	,,	,,
	47	Parkup Pahar No. 5	47	N.A.	N.A
	48	Thengkurgaon	48	,,	,,
	49	Bura Timeng	49	,,	,,
	50	Kheng Gaon	50	,,	,,
	51	Mohori Rongfar	51	,,	,,
	52	Rah Terongaon	52	,,	,,
	53	Parkup Pahar No. 1	53	,,	,,
	54	Sarmen Terang	54	,,	,,
	55	Donibargaon (No. 2 Rekha Pahar)	55	,,	,,
1 (ii)	1	Takbiso	56	,,	,,
	2	Lang Teron	57	,,	,,
	3	Sinrai Teron	58	,,	,,
	4	Fulen Takbi	59	,,	,,
	5	Pela Terongaon	60	,,	,,
	6	Habe-Ronghong	61	,,	,,
	7	Jungri-be	62	,,	,,
	8	Bura Teron	63	,,	,,
	9	Dharam Habai	64	,,	,,
	10	Lang Tukgaon	65	,,	,,
	11	Man Rongp	66	,,	,,
	12	Mai Ronghong	67	,,	,,
	13	Sarthe Takbi	68	,,	,,
	14	Dambigaon	69	,,	,,
	15	Loksogaon	70	,,	,,
	16	Elso Teron	71	,,	,,
	17	Rong Honggaon	72	,,	,,
	18	Dighalagaon	73	,,	,,
	19	Narikbe	74	,,	,,
	20	Hampojuri	75	,,	,,
	21	Mauza Hanchy	76	,,	,,
	22	Bhalukjan Pathar	77	,,	,,
	23	Panjuri Pathar N. C.	78	,,	,,
	24	Matikhola	79	,,	,,
	25	Palamgaon	80	,,	,,
	26	Diliramgaon	81	,,	,,
	27	Sang Teron	82	,,	,,
	28	Bhakkilling	83	,,	,,
	29	Men Teron	84	,,	,,
	30	Nalagaon	85	,,	,,
	31	Mungkrongaon	86	,,	,,
	32	Lengthing Rongfar	87	,,	,,
	33	Ram Hanchey	88	,,	,,
	34	Long Thong Engly	89	,,	,,
	35	Aju Terongaon	90	,,	,,
	36	Nala Engli	91	,,	,,

ANNEXURE_I_(Contd.)

TO APPENDIX I TO TABLE A-I

Showing The Details Of Villages Transferred

NOWGONG DISTRICT

Symbol No.	Serial No.	Name	Location Code No.	Revenue No.	Area
1	1(a)	2	3	4	5
	37	Kawar Hanchey	92	N.A.	N.A.
	38	Long Engli	93	,,	,,
	39	Hampojuri N. C.	94	,,	,,
	40	Naka Gaon	95	,,	,,
	41	Jurman	96	,,	,,
	42	Killing Goan	97	,,	,,
	43	Bajong Gaon	98	,,	,,
	44	Chai Engtigaon	99	,,	,,
	45	Bam Engti	100	,,	,,
	46	Arok Hanchey	101	,,	,,
	47	Dingso Terang	102	,,	,,
	48	Aubey Gaon	103	,,	,,
	49	Merak Rongpi	104	,,	,,
	50	Atpo Terang	105	,,	,,
	51	Dakhang Tuso	106	,,	,,
	52	Han Timung	107	,,	,,
	53	Englug	108	,,	,,
	54	Mahan Takbi	109	,,	,,
	55	Maja Takbi	110	,,	,,
	56	Salhan Gaon	111	,,	,,
	57	Erchang Engti	112	,,	,,
	58	Gobor Kachari	113	,,	,,
	59	Bajong Rongpi	114	,,	,,
	60	Longhin Kro	115	,,	,,
	61	Koibong Kro	116	,,	,,
	62	Pohansing Panchey	117	,,	,,
	63	Dankai Teron	118	,,	,,
	64	Parton Rongpi	119	,,	,,
	65	Sarlip Takbi	120	,,	,,
	66	Lut Fongtha	121	,,	,,
	67	Chebi Rongpi	122	,,	,,
	68	Tamai Teron	123	,,	,,
	69	Majaram Rongpi	124	,,	,,
	70	Sarketor	125	,,	,,
	71	Garubasti	126	,,	,,
	72	Lakhon Kro	127	,,	,,
	73	Sarthe Teron	128	,,	,,
	74	Sarpo Ingti	129	,,	,,
	75	Naret Khangchal	130	,,	,,
	76	Chikanbey	131	,,	,,
	77	Jergbey	132	,,	,,
	78	Chinthan Takbi	133	,,	,,
	79	Har Terang	134	,,	,,
	80	Jabor Gaon	135	,,	,,
	81	Wafang Teron	136	,,	,,
	82	Natun Basti	137	,,	,,
	83	Sarthe Engti	138	,,	,,
	84	Den Ronghong	139	N.A.	N.A.
	85	Mandhu Timung	140	,,	,,
	86	Koibong Tuso	141	,,	,,
	87	Meng Krong	142	,,	,,
	88	Koibong Gaon	143	,,	,,
1 (iii)	1	Bardeka Gaon	144	,,	,,
	2	Kiding Tukbi Gaon	145	,,	,,
	3	Charbura Ingti	146	,,	,,
	4	Sarpo Kathari	147	,,	,,
	5	Burabam Gaon	148	,,	,,
	6	Ardeng Gaon	149	,,	,,
	7	Paisa Rongphi	150	,,	,,
	8	Kiding Gaon	151	,,	,,
	9	Sarthe Engti	152	,,	,,
	10	Harmoti Fangso	153	,,	,,
	11	Charthey Bey	154	,,	,,
	12	Lungtok Tarokatha	155	,,	,,
	13	Man Terang	156	,,	,,
	14	Sinthu Rogpang	157	,,	,,
1 (iv)	1	Rongbong Teron	158	,,	,,
	2	Soban Miji	159	,,	,,
	3	Dimlakte	160	,,	,,
	4	Santola Gaon	161	,,	,,
	5	Lotasing	162	,,	,,
	6	Hanche Gaon	163	,,	,,
	7	Senteng Gaon	164	,,	,,
	8	Daborsenger	165	,,	,,
	9	Dehatakbe	166	,,	,,
	10	Pongti Gaon	167	,,	,,
	11	Kalamengti	168	,,	,,
	12	Sarkro Gaon	169	,,	,,
	13	Majabi Gaon	170	,,	,,
	14	Majidoloi Gaon	171	,,	,,
	15	Anguri Kro Gaon	172	,,	,,
	16	Sarteron Gaon	173	,,	,,
	17	Sankro Gaon	174	,,	,,
	18	Burakiding	175	,,	,,
	19	Samdoloi Gaon	176	,,	,,
	20	Punja Ronghang	177	,,	,,
	21	Renkagaon	178	,,	,,
	22	Takbigaon	179	,,	,,
	23	Morton Ronggaon	180	,,	,,
	24	Jwarden Terongaon	181	,,	,,
	25	Jwarkapgaon	182	,,	,,
	26	Phulong Gaon	183	,,	,,

ANNEXURE I (Contd.)

TO APPENDIX 1 TO TABLE A-I

Showing The Details Of Villages Transferred

NOWGONG DISTRICT

Symbol No.	Serial No.	Name	Location Code No.	Revenue No.	Area
1	1(a)	2	3	4	5
	27	Burajanthang	184	N.A.	N.A.
	28	Landengaon	185	,,	,,
	29	Sarpro—Ronghang	186	,,	,,
	30	Santerongaon	187	,,	,,
	31	Dhuidigaon	188	,,	,,
	32	Bajinggaon	189	,,	,,
	33	Lometgaon	190	,,	,,
	34	Bilogaon	191	,,	,,
	35	Thol Krogaon	192	,,	,,
	36	Kangkatgaon	193	,,	,,
	37	Barimgaon	194	,,	,,
	38	Bargaon	195	,,	,,
	39	Saidiligaon	196	,,	,,
	40	Ahom-Boroigaon	197	,,	,,
	41	Bepang Gaon	198	,,	,,
	42	There Senfer	199	,,	,,
	43	Bar Amli	200	,,	,,
	44	Saru Amli	201	,,	,,
	45	Bijithurgaon	202	,,	,,
	46	Khumtai Khara	203	,,	,,
	47	Majang Gaon	204	,,	,,
	48	Khumoldbagaon	205	,,	,,
	49	Amdharagaon	206	,,	,,
	50	Habeterongaon	207	,,	,,
	51	Lakhongaon	208	,,	,,
	52	Utham-Khunsi	209	,,	,,
	53	Majora Fanso	210	,,	,,
	54	Kejabat	211	,,	,,
	55	Sarasabegaon	212	,,	,,
	56	Gamarasan	213	,,	,,
	57	Northong Gaon	214	,,	,,
	58	Sar-Kro-Gaon	215	,,	,,
	59	Terang Sarbey	216	,,	,,
	60	Rongkepai, Rongkhang	217	,,	,,
	61	Agrakuchi	218	,,	,,
	62	Amsereli	219	,,	,,
	63	Bilehyat Takbi	220	,,	,,
	64	Saon-Ronghanggaon	221	,,	,,
	65	Rongbong Takbi	222	,,	,,
	66	Habe-Hanchgaon	223	,,	,,
	67	Harengti	224	,,	,,
	68	Sarbura Hanche	225	,,	,,
	69	Tratusogaon	226	,,	,,
	70	Barei Terongaon	227	,,	,,
	71	Habe Rongfar	228	,,	,,
	72	Tikichir Jongbi	229	,,	,,
	73	Tikichir Jarbi	230	,,	,,
	74	Sarengti Gaon	231	N.A.	N.A.
	75	Bihirpatargaon	232	,,	,,
	76	Jwarfangso	233	,,	,,
	77	Sarhaigaon	234	,,	,,
	78	Tikasogaon	235	,,	,,
	79	Sarthe Tosogaon	236	,,	,,
	80	Lindok-Rongpi	237	,,	,,
	81	Wayhanchegaon	238	,,	,,
	82	Hajang Rofergaon	239	,,	,,
	83	Rongfar Marchogaon	240	,,	,,
	84	Longbeparigaon	241	,,	,,
	85	Baigaon	242	,,	,,
	86	Bongtop Kajepgaon	243	,,	,,
	87	Longkapgaon	244	,,	,,
	88	Milikgaon	245	,,	,,
	89	Harterongaon	246	,,	,,
	90	Sangat Terongaon	247	,,	,,
	91	Harjanggaon	248	,,	,,
	92	Mairongpigaon	249	,,	,,
	93	Thengbigaon	250	,,	,,
	94	Farsengergaon	251	,,	,,
	95	Barai Karo Gaon	252	,,	,,
	96	Suhanggaon	253	,,	,,
	97	Harchengar	254	,,	,,
	98	Dalimbarigaon	255	,,	,,
	99	Mau-Rongpigaon	256	,,	,,
	100	Krombamungaon	257	,,	,,
	101	Buramajarigaon	258	,,	,,
	102	Ongaon	259	,,	,,
	103	Timunggaon	260	,,	,,
	104	Jangfang Ronghong	261	,,	,,
	105	Beltalagaon	262	,,	,,
	106	Sarurongkhoigaon	263	,,	,,
	107	Ingtigaon	264	,,	,,
	108	Kongkatgaon	265	,,	,,
	109	Khumari Khuagaon	266	,,	,,
	110	Longbigaon	267	,,	,,
	111	Kepsogaon	268	,,	,,
	112	Barai Ronghong	269	,,	,,
	113	Amguri II	270	,,	,,
	114	Bolanguo	271	,,	,,
	115	Pamakuchigaon	272	,,	,,
	116	Maja-Ronghong	273	,,	,,
	117	Timung Mahajon	274	,,	,,
	118	Inglenggaon	275	,,	,,
	119	Monthi Rongpi	276	,,	,,
	120	Bongham	277	,,	,,
	121	Rong Jangfa	278	,,	,,

ANNEXURE I (Contd.)

TO APPENDIX I TO TABLE A-I

Showing The Details Of Villages Transferred

NOWGONG DISTRICT

Symbol No.	Serial No.	Name	Location Code No.	Revenue No.	Area
1	1(a)	2	3	4	5
	122	Bi-Rongfar	279	N.A.	N.A.
	123	Morteron	280	,,	,,
	124	Makarakhmsi	281	,,	,,
	125	Besai Rongpi	282	,,	,,
	126	Sarpalakthegaon	283	,,	,,
	127	Tharebegaon	284	,,	,,
	128	Biran Hanche	285	,,	,,
1(v)	1	Benteranggaon	286	,,	,,
	2	Birangaon	287	,,	,,
	3	Kari-Bonggaon	288	,,	,,
1(vi)	1	Howraghat	289	,,	,,
	2	Barbil	290	,,	,,
	3	Sildharampargaon	291	,,	,,
	4	Sonarijan	292	,,	,,
	5	Chalabargaon	293	,,	,,
	6	Phulani	294	,,	,,
	7	Gajalipar	295	,,	,,
	8	Dakmaka	296	,,	,,
	9	Kalachara	297	,,	,,
	10	Chalabor N. C.	298	,,	,,
	11	Phuloni N.C.	299	,,	,,
	12	Uttar Tarabessa	300	,,	,,
	13	Tarabessa	301	,,	,,
	14	Karkak	302	,,	,,
	15	Barbil N.C.	303	,,	,,
	16	Silpukuri N.C.	304	,,	,,
	17	Dhanjukha	305	,,	,,
	18	Boligaon	306	,,	,,
	19	Howraghat N.C.	307	,,	,,
	20	Pub-Dikharumukh	308	,,	,,
	21	Okrang Kacharigaon	309	,,	,,
	22	Hatipara	310	,,	,,
	23	Mistribali	311	,,	,,
	24	Okreng Pathar	312	,,	,,
	25	Meteka	313	,,	,,
	26	Matikhola No. 1	314	,,	,,
	27	Humbong	315	,,	,,
	28	Kuligaon	316	,,	,,
	29	Harinapur	317	,,	,,
	30	Jamuna Pagalathan	318	,,	,,
	31	Jamuna Japangthan	319	,,	,,
	32	Dighaliali N.C.	320	,,	,,
	33	Theregaon	321	,,	,,
1 (vii)	1	Masaka No. 1	322	N.A.	N.A.
	2	Upper Lankajan	323	,,	,,
	3	Haza-Gafer	324	,,	,,
	4	No. 2 Masaka	325	,,	,,
	5	Jamuguri	326	,,	,,
	6	Habaipar Reserve	327	,,	,,
	7	Dikrong Gaon	328	,,	,,
	8	Dikhlem Gaon	329	,,	,,
	9	Mailoo	330	,,	,,
	10	Maijia-Habi	331	,,	,,
	11	Daokhowa-Habi	332	,,	,,
	12	Bacha Terang	333	,,	,,
	13	Kuthem Habi	334	,,	,,
	14	Harbi Gaon	335	,,	,,
	15	Mailoogang Quartergaon	336	,,	,,
	16	Lankajan	337	,,	,,
	17	Dayang Mukh	338	,,	,,
	18	Kauri Pathar	339	,,	,,
	19	Chakali	340	,,	,,
	20	Garukata N.C.	341	,,	,,
	21	Lencukgaon	342	,,	,,
	22	Majigaon	343	,,	,,
	23	Samdinggaon	344	,,	,,
	24	Lengtenggaon	345	,,	,,
	25	Dengaon	346	,,	,,
	26	Denteranggaon	347	,,	,,
	27	Sarthegaon	348	,,	,,
	28	Banglang Gaon	349	,,	,,
	29	Chibong Terang	350	,,	,,
	30	Jhoisugaon	351	,,	,,
	31	Sildharampur N.C.	352	,,	,,
	32	Letuagaon	353	,,	,,
	33	Belguri	354	,,	,,
	34	Dighol Rani	355	,,	,,
	35	Pankumargaon	356	,,	,,
	36	Barganga	357	,,	,,
	37	Langhin	358	,,	,,
	38	Dumukhi Baligaon	359	,,	,,
1 (viii)	1	Sarbura Ronghong	360	,,	,,
	2	Sarik Habi	361	,,	,,
	3	Sator Terang	362	,,	,,
	4	Longchek	363	,,	,,
	5	Bonghomgaon	364	,,	,,
	6	Rongbong Kro	365	,,	,,
	7	Kehai Kro	366	,,	,,
	8	Bura Engti	367	,,	,,
	9	Sarbura Kramsa	368	,,	,,

ANNEXURE I (Contd.)

TO APPENDIX I TO TABLE A-I

Showing The Details Of Villages Transferred

NOWGONG DISTRICT

Symbol No.	Serial No.	Name	Location Code No.	Revenue No.	Area
1	1(a)	2	3	4	5
	10	Sarthe Rongfer	369	N.A.	N.A.
	11	Bura Teron	370	,,	,,
	12	Rongbong Teron	371	,,	,,
	13	Seng Teron	372	,,	,,
	14	Men Engti Habai	373	,,	,,
	15	Sarthe Kramsa	374	,,	,,
	16	Bengeri	375	,,	,,
	17	Man Rangfer	376	,,	,,
	18	Mongbe Teron	377	,,	,,
	19	Men Teron	378	,,	,,
	20	Nthang Be	379	,,	,,
	21	Phankri Tiso	380	,,	,,
	22	Lungse Tiso	381	,,	,,
	23	Sarik Hanche	382	,,	,,
	24	Kekongaon	383	,,	,,
	25	Be Sarthe	384	,,	,,
	26	Sarding Teron	385	,,	,,
	27	Long Teron	386	,,	,,
	28	Rongbong Be	387	,,	,,
	29	Jang Hanche	388	,,	,,
	30	Rongbong Habai	389	,,	,,
	31	Pidong Ronghang	390	,,	,,
	32	Long Teron Siloni Natun Gaon	391	,,	,,
	33	Dili Teron No. 2	392	,,	,,
	34	Arak Hanche	393	,,	,,
	35	Bara Timung	394	,,	,,
	36	Longse Engti	395	,,	,,
	37	Rongkhong	396	,,	,,
	38	Rongbong Be	397	,,	,,
	39	Borfura.	398	,,	,,
	40	Bura Hanche	399	,,	,,
	41	Miji Teron	400	,,	,,
	42	Makhim Engti	401	,,	,,
	43	Longbe	402	,,	,,
	44	Monfunso	403	,,	,,
	45	Sangtiso	404	,,	,,
	46	Basabe	405	,,	,,
	47	Ramsing Englang	406	,,	,,
	48	Pangpang	407	,,	,,
	49	Basa Takbi	408	,,	,,
	50	Jeng Habdi	409	,,	,,
	51	Habi Khong Deragaon	410	,,	,,
	52	Kania Ronghang	411	,,	,,
	53	Bhoy Ronghang	412	,,	,,
	54	Englang Par	413	,,	,,
	55	Ronghong Kayetgaon	414	,,	,,
	56	Makhim Borgaobura	415	N.A.	N.A.
	57	Ingleng Kejoy	416	,,	,,
	58	Bonghom Ronghang	417	,,	,,
	59	Jang Kro	418	,,	,,
	60	Theng Long	419	,,	,,
	61	Sarbura Terang	420	,,	,,
	62	Therebe	421	,,	,,
	63	Oheng Terang	422	,,	,,
	64	Omoph Kuki	423	,,	,,
	65	Long Koicha Kuki	424	,,	,,
	66	Soc-Heng-Khuti	425	,,	,,
	67	Longpai	426	,,	,,
	68	Muching Jock	427	,,	,,
	69	Hepi-Alo-Banc Chenotgaon	428	,,	,,
	70	Badong	429	,,	,,
	71	Rongkat Terang	430	,,	,,
	72	Sarder Teron	431	,,	,,
	73	Kuligaon	432	,,	,,
	74	Sarthe Teron	433	,,	,,
	75	Men Pathar	434	,,	,,
	76	Long Terang	435	,,	,,
	77	Mirsing Teron	436	,,	,,
	78	Long Terang	437	,,	,,
	79	Seng Be	438	,,	,,
	80	Sarbura Tiso	439	,,	,,
	81	Senat Tiso	440	,,	,,
	82	Sarbura Terangrong Rupaigaon	441	,,	,,
	83	Sarmen Engti	442	,,	,,
	84	Sarbura Dera	443	,,	,,
	85	Senot Be	444	,,	,,
	86	Menkro	445	,,	,,
	87	Sarpo Terang	446	,,	,,
	88	Rong Long Hobai No. 1	447	,,	,,
	89	Phangso Gaon	448	,,	,,
	90	Dokpa Ronghang	449	,,	,,
	91	Bura Bey	450	,,	,,
	92	Rongbong Ronghang	451	,,	,,
	93	Long Ronghang	452	,,	,,
	94	Har Ronghang	453	,,	,,
	95	Han Tiso	454	,,	,,
	96	Bihin Tiso	455	,,	,,
	97	Kat-Ronghang	456	,,	,,
	98	Ramsing	457	,,	,,
	99	Sarthe Terang	458	,,	,,
	100	Haba Kramsa	459	,,	,,
	101	Men Habai	460	,,	,,
	102	Longpar Pangaon	461	,,	,,

ANNEXURE I (Contd.)

TO APPENDIX I TO TABLE A-I

Showing The Details Of Villages Transferred

NOWGONG DISTRICT

Symbol No.	Serial No.	Name	Location Code No.	Revenue No.	Area
1	1(a)	2	3	4	5
	103	Kania Timung	462	N.A.	N.A.
	104	Sarpo Ronghang	463	,,	,,
	105	Sarthe Terang	464	,,	,,
	106	Dim Rongpi	465	,,	,,
	107	Sarmung Dera	466	,,	,,
	108	Sarbura Dera	467	,,	,,
	109	Sarmung Cha	468	,,	,,
	110	Long Pai	469	,,	,,
	111	Borpo Timung	470	,,	,,
	112	Rajagaon	471	,,	,,
	113	Baithalongso	472	,,	,,
	114	Bagari Gaon	473	,,	,,
	115	Garo Gaon	474	,,	,,
	116	Ghilani	475	,,	,,
	117	Khanajan	476	,,	,,
	118	No. 1 Dankagaon N. C	477	,,	,,
	119	No. 2 Dankagaon N. C.	478	,,	,,
	120	Padumpukhuri N. C.	479	,,	,,
	121	Sarubarthal N. C.	480	,,	,,
	122	Sankramgaon N. C. No. 1	481	,,	,,
	123	No. 1. Terangaon	482	,,	,,
	124	No. 2. Terangaon N. C.	483	,,	,,
	125	No. 1. Men & Mejikro Gaon	484	,,	,,
	126	No. 2. Men & Mejikrogaon	485	,,	,,
	127	Ingleng Gaon N. C.	486	,,	,,
	128	Foradubigaon N. C.	487	,,	,,
	129	No. 2 Dera Mukamgaon	488	,,	,,
	130	Omteligaon N.C. No. 2	489	,,	,,
	131	Rongden Inglenggaon	490	,,	,,
	132	Cheng Terang Gaon	491	,,	,,
	133	Men Ingleng Gaon	492	,,	,,
	134	Sing Ingti Gaon	493	,,	,,
	135	Norteng Timung	494	,,	,,
	136	Charmon Killing	495	,,	,,
	137	Kadai Gaon	496	,,	,,
	138	Rongbong Ronghang Gaon	497	,,	,,
	139	Kania Ingtigaon	498	,,	,,
	140	Prang Terongaon	499	,,	,,
	141	Lonfer Ingtigaon	500	,,	,,
	142	Bonglong Tisogaon	501	,,	,,
	143	Nor Ingtigaon	502	,,	,,
	144	Kandang Ingtigaon	503	,,	,,
	145	Indrasing Gaon N.C.	504	,,	,,
	146	Sai Ingleng Gaon	505	,,	,,
	147	Rongman Bijan Hobai-Gaon	506	,,	,,
	148	Sarthe Ronghong Gaon	507	,,	,,
	149	Bura-Tiso-Gaon	508	,,	,,
	150	Sarbura Matiagaon	509	N.A.	N.A.
	151	Rongbong Tiso Gaon	510	,,	,,
	152	Thongbe Gaon	511	,,	,,
	153	Chang Terongaon No. 1	512	,,	,,
	154	Ronghi Gaon	513	,,	,,
	155	Non Hobaigaon	514	,,	,,
	156	Kangsek Ingtigaon	515	,,	,,
	157	Rongke Begaon	516	,,	,,
	158	Sarbura Deragaon	517	,,	,,
	159	Lunsoy Terang Gaon	518	,,	,,
	160	Cheng Tisogaon	519	,,	,,
	161	Bena Gaon	520	,,	,,
	162	Rongbong Ingti	521	,,	,,
	163	Bena Timung	522	,,	,,
	164	Thongju Teron	523	,,	,,
	165	Norteng-Be-Gaon	524	,,	,,
	166	Sarpo-Be-Gaon	525	,,	,,
	167	Sing Fanso	526	,,	,,
	168	Chang Fanso	527	,,	,,
	169	Beku-Be-Gaon	528	,,	,,
	170	Sarbura Ronghang	529	,,	,,
	171	Habai Timung	530	,,	,,
	172	Chang Teron Gaon	531	,,	,,
	173	Sarpa Hebaigaon	532	,,	,,
	174	Sarmung Timung	533	,,	,,
	175	Dili Teron Gaon	534	,,	,,
	176	Mouza Ingtigaon	535	,,	,,
	177	Sarthe Ronghong	536	,,	,,
	178	Sarthe Timung	537	,,	,,
	179	Men-Be-Gaon	538	,,	,,
	180	Rong-Tung-Timung	539	,,	,,
	181	Atop Teron Gaon	540	,,	,,
	182	Sarpo Timung	541	,,	,,
	183	Sarder Ingti	542	,,	,,
	184	Sarthe Long-Be	543	,,	,,
	185	Wadi Lungso	544	,,	,,
	186	Larsing Gaon	545	,,	,,
	187	Longmet Gaon	546	,,	,,
	188	Bacha Timung	547	,,	,,
	189	Sarder Timung	548	,,	,,
	190	Seng Rongpi	549	,,	,,
	191	Long Hanche	550	,,	,,
	192	Bajong Teron Gaon	551	,,	,,
	193	Basa Dera Gaon	552	,,	,,
	194	Kolonga Mokamgaon	553	,,	,,
	195	Mansing Hebaigaon	554	,,	,,
	196	Bafong Asargaon	555	,,	,,

ANNEXURE I (Contd.)

TO APPENDIX I TO TABLE A-I

Showing The Details Of Villages Transferred

NOWGONG DISTRICT

Symbol No.	Serial No.	Name	Location Code No.	Revenue No.	Area
1	1(a)	2	3	4	3
	197	Batheli Ronghong	556	N.A.	N.A.
	198	Fura Timung Gaon	557	,,	,,
	199	Habeso Timung	558	,,	,,
	200	Mansing Ingti	559	,,	,,
	201	Mugachang Natun Kachari Gaon	560	,,	,,
	202	Nam-Taradubi Lalung Gaon	561	,,	,,
	203	Joyram Kachari Gaon	562	,,	,,
	204	Sithon Teron Gaon	563	,,	,,
	205	Bali Teron Gaon	564	,,	,,
	206	Men Rongpi Gaon	565	,,	,,
	207	Angpong Be Gaon	566	,,	,,
	208	Adhikari Nepali Gaon	567	,,	,,
	209	Sinot Tiso Gaon	568	,,	,,
	210	Uppor Taradubi	569	,,	,,
	211	Uppor Taradubi Hira Timung Gaon	570	,,	,,
	212	Basa Lindak Gaon	571	,,	,,
	213	Malasing Gaon	572	,,	,,
	214	Sithar Teron Gaon	573	,,	,,
	215	Singhom Timung Mukteer Gaon	574	,,	,,
	216	Long Kolar Tiso Gaon	575	,,	,,
	217	My Tiso Gaon	576	,,	,,
	218	Sarbura Ingleng	577	,,	,,
	219	Muzor Ingti Gaon	578	,,	,,
	220	Sarkeri Tiso Gaon	579	,,	,,
	221	Sarbura Hanche	580	,,	,,
	222	Habeso Gaon	581	,,	,,
	223	Bamon Ronghong	582	,,	,,
	224	Mouza Kramsa Gaon	583	,,	,,
	225	Dulani Rongbong Teron	584	,,	,,
	226	Dalani Lindak Ronghong	585	,,	,,
	227	Dulani Rongbong Teron	586	,,	,,
	228	Dalani Anjolebe	587	,,	,,
	229	Dalani Rongbong Timung	588	,,	,,
	230	Dalani Nahar Singh	589	,,	,,
	231	Natun Lalung Gaon	590	,,	,,
	232	Dalani Cheng Teron Gaon	591	,,	,,
	233	Dalani Sarder Kramsa	592	,,	,,
	234	Dalani Seng Borok Gaon	593	,,	,,
	235	Dalani Sarkru Gaon	594	,,	,,
	236	Dalani Sarbura Terang	595	,,	,,
	237	Dalani Sangbi Rongpi	596	,,	,,
	238	Dalani Senop Timung	597	,,	,,
	239	Omtele Rongbong Ronghong	598	,,	,,
	240	Rong Apang Singh Fangso Habaigaon	599	N.A.	N.A.
	241	Lantuktepi Sarthe Kramsa Gaon	600	N.A.	N.A.
	242	Sarbura Engti Natungaon	601	,,	,,
	243	Sangkrang Ronbon Engti	602	,,	,,
	244	Omtummeji Hancha	603	,,	,,
	245	Omphow Kukigaon	604	,,	,,
	246	Sung Ronghong Gaon	605	,,	,,
	247	Omchora Gaou	606	,,	,,
	248	Changkop Gaon	607	,,	,,
	249	Musalap Gaon	608	,,	,,
	250	Sengmam Seropgaon	609	,,	,,
	251	Thkpai Kanglemgaon	610	,,	,,
	252	Rongpur Dupgaon	611	,,	,,
	253	Mul rgaon	612	,,	,,
	254	Im Renchigaon	613	,,	,,
	255	Lanmek Thangaon	614	,,	,,
	256	Sarbura Timung	615	,,	,,
	257	Kehai Longhang Gaon	616	,,	,,
	258	Amsing Terongaon	617	,,	,,
	259	Siog Inglenggaon	618	,,	,,
	260	Mukteer Ranchi Teron	619	,,	,,
	261	Klengdung Gaon	620	,,	,,
	262	Bamon Terongaon	621	,,	,,
	263	Sarbura Rongfergaon	622	,,	,,
	264	Lindok Timunggaon	623	,,	,,
	265	Man Ronghang Gaon	624	,,	,,
	266	Dok Timunggaon	625	,,	,,
	267	Habe Timuggaon	626	,,	,,
	268	Sarbura Kramsagaon	627	,,	,,
	269	Rongbong Rongfergaon	628	,,	,,
	270	Dak Hanchegaon	629	,,	,,
	271	Habepi Gaon	630	,,	,,
	272	Long Anjbkan Terongaon	631	,,	,,
	273	Habe Rongfergaon	632	,,	,,
	274	Lindak Ronghanggaon	633	,,	,,
	275	Monkilling Hebaigaon	634	,,	,,
	276	Salam Ronghanggaon	635	,,	,,
	277	Sarthe Be Deroigaon	636	,,	,,
	278	Basa Terongaon	637	,,	,,
	279	Sarthe Begaon	638	,,	,,
	280	Surbura Terongaon	639	,,	,,
	281	Reraigaon	640	,,	,,
	282	Bikhaigaon	641	,,	,,
	283	Missagaon	642	,,	,,
	284	Atap Takbigaon	643	,,	,,

ANNEXURE I (Contd.)

TO APPENDIX 1 TO TABLE A-I

Showing The Details Of Villages Transferred

NOWGONG DISTRICT

Symbol No.	Serial No.	Name	Location Code No.	Revenue No.	Area
1	1(a)	2	3	4	5
	285	Sarthe Kramsagaon	644	N.A.	N.A.
	286	Basa Fangsogaon	645	,,	,,
	287	Ram Ingtigaon	646	,,	,,
	288	Sarlok Gaon	647	,,	,,
	289	Habe Ingtigaon	648	,,	,,
	290	Sarthe Begaon	649	,,	,,
	291	Wakeek Terongaon	650	,,	,,
	292	Sarmon Rongpigaon	651	,,	,,
	293	Lindak Ronghanggaon	652	,,	,,
	294	Hamari Ronghanggaon	653	,,	,,
	295	Dakap Timunggaon	654	,,	,,
	296	Dakap Ronghanggaon	655	,,	,,
	297	Sildubi Gaon	656	,,	,,
	298	Alum Timung Gaon	657	,,	,,
	299	Sarbura Timung Gaon	658	,,	,,
	300	Kania Terongaon	659	,,	,,
	301	Raja Gaon	660	,,	,,
	302	Bonglong Begaon	661	,,	,,
	303	Kania Terongaon	662	,,	,,
	304	Men Tisogaon	663	,,	,,
	305	Senot Tisogaon	664	,,	,,
	306	Sengbe Gaon	665	,,	,,
	307	Sing Terongaon	666	,,	,,
	308	Hong Tisogaon	667	,,	,,
	309	Hormen Tisogaon	668	,,	,,
	310	Sarbura Tisogaon	669	,,	,,
	311	Nakati Begaon	670	,,	,,
	312	Men Ingtigaon	671	,,	,,
	313	Habe Dengjo	672	,,	,,
	314	Terang Kanthegaon	673	,,	,,
	315	Basa Deragaon	674	,,	,,
	316	Ram Timung Gaon	675	,,	,,
	317	Sarat Ronghanggaon	676	,,	,,
	318	Dakap Ronghanggaon	677	,,	,,
	319	Katbe Gaon	678	,,	,,
	320	Kendeng Timung Gaon	679	,,	,,
	321	Bamon Terong Gaon	680	,,	,,
	322	Rasa Krubura Terangaon	681	,,	,,
	323	Seng Teran Gaon	682	,,	,,
	324	Kat Teron Gaon	683	,,	,,
	325	Hang Tiso Hebaigaon	684	,,	,,
	326	Be Ingtigaon	685	,,	,,
	327	Tesa Christiangaon	686	,,	,,
	328	Sir Sing Hebai Gaon	687	,,	,,
	329	Niz Rongkhong Buragaon	688	,,	,,
	330	Omrasi Habe Begaon	689	,,	,,
	331	Sarbora Terangaon	690	,,	,,
	332	Omchora Christiangaon	691	N.A.	N.A.
	333	Sir Rongpi Longpaigaon	692	,,	,,
	334	Longpi Christiangaon	693	,,	,,
	335	Sek Turang Sarman Ingtigaon	694	,,	,,
	336	Padum Pukhuri Sarmon Ingtigaon	695	,,	,,
	337	Sarbura Kramsagaon	696	,,	,,
	338	Donga Teranggaon	697	,,	,,
	339	Lindak Ronghang Gaon	698	,,	,,
	340	Minrit Gaon	699	,,	,,
	341	Sarat Hanchegaon	700	,,	,,
	342	Khajagaon	701	,,	,,
	343	Jeng Ronghang Gaon	702	,,	,,
	344	Sarthe Inglenggaon	703	,,	,,
	345	Rongpi Gaon	704	,,	,,
	346	Kalanga Mukam	705	,,	,,
	347	Rongmi Terongaon	706	,,	,,
	348	Thong Gaon	707	,,	,,
	349	Natun Ghilanijan	708	,,	,,
	350	Narang Ingtigaon	709	,,	,,
	351	Saifuragaon	710	,,	,,
	352	Engtikangthar Gaon	711	,,	,,
	353	Habe Rongfer Gaon	712	,,	,,
	354	Beko Hanchegaon	713	,,	,,
	355	Benglong Engtigaon	714	,,	,,
	356	Mauzadergaon	715	,,	,,
	357	Santang Ronghang Gaon	716	,,	,,
	358	Taikpig Gaon	717	,,	,,
	359	Changmi Hanchegaon	718	,,	,,
	360	Sarder Kra	719	,,	,,
	361	Tesang Renghanggaon	720	,,	,,
	362	Sarthe Fangso Muktiargaon	721	,,	,,
	363	Bura Kro Gaon	722	,,	,,
	364	Kamnong Gaon	723	,,	,,
	365	Baman Terang Gaon	724	,,	,,
	366	Bura Ronpigaon	725	,,	,,
	367	Cheng Boragaon	726	,,	,,
	368	Laret Henchagaon	727	,,	,,
	369	Sahak Ingtigaon	728	,,	,,
	370	Thon Terongaon	729	,,	,,
	371	Monsi Dera Bargaoburagaon	730	,,	,,
	372	Men Teranggaon	731	,,	,,
	373	Hebai Mohorigaon	732	,,	,,
	374	Nakti Krogaon	733	,,	,,
	375	Long Deragaon	734	,,	,,
	376	Sarsogaon	735	,,	,,
	377	Bachapigaon	736	,,	,,

ANNEXURE I (Contd.)

TO APPENDIX I TO TABLE A-I

Showing The Details Of Villages Transferred

NOWGONG DISTRICT

Symbol No.	Serial No.	Name	Location Code No.	Revenue No.	Area
1	1(a)	2	3	4	5
	378	Amligaon	737	N.A.	N.A.
	379	Rongpi Senatgaon	738	,,	,,
	380	Mai Injaigaon	739	,,	,,
	381	Falangpi Bura Terangaon	740	,,	,,
	382	Ampathar Habai Rongpi	741	,,	,,
	383	Kherani Dimidagaon	742	,,	,,
	384	Sarthe Ingtigaon	743	,,	,,
	385	Dera Muknm Sarthe Tisogaon	744	,,	,,
	386	Chang Teranggaon	745	,,	,,
	387	Sarthe Ingleng Gaon	746	,,	,,
	388	Ding Teran Gaon	747	,,	,,
	389	Basa Timung Gaon	748	,,	,,
	390	Sir Rongpi Makhim Gaon	749	,,	,,
	391	Bak-Be-Gaon	750	,,	,,
	392	Long Terang Gaon	751	,,	,,
	393	Sam Ingtigaon	752	,,	,,
	394	Mengaon	753	,,	,,
	395	There Be-Gaon	754	,,	,,
	396	Rongbong Be-Gaon	755	,,	,,
	397	Longbi Henche Gaon	756	,,	,,
	398	Samat Engtigaon	757	,,	,,
	399	Hebai Ttso Gaon	758	,,	,,
	400	Sarthe Be-Gaon	759	,,	,,
	401	Sikari Timung Gaon	760	,,	,,
	402	Sarej Ronghong Gaon	761	,,	,,
	403	Sirik Rongpigaon	762	,,	,,
	404	Natun Hojai Gaon	763	,,	,,
	405	Sarmong Gaon	764	,,	,,
	406	Sihok Ingtigaon	765	,,	,,
	407	Tepong Kramsagaon	766	,,	,,
	408	Cheng Be-Gaon	767	,,	,,
	409	Nakati Terangaon	768	,,	,,
	410	Sarat Begaon	769	,,	,,
	411	Mahim Timung Gaon	770	,,	,,
	412	Sajar Ronghang Gaon	771	,,	,,
	413	Makhim Ingtigaon	772	,,	,,
	414	Mugachung Gaon	773	,,	,,
	415	Umaru Gaon	774	,,	,,
	416	Umrentigaon	775	,,	,,
	417	Ramsingh Gaon	776	,,	,,
	418	Omsora Gaon	777	,,	,,
	419	No. 1 Dera Mukamgaon	778	,,	,,
	420	Sarding Engtigaon	779	,,	,,
	421	Kra Arlak Gaon	780	,,	,,
	422	Ranghi Gaon	781	,,	,,
	423	Thong Teran Gaon	782	,,	,,
	424	No. 2 Rongbong Hobai Gaon	783	,,	,,
	425	Thong Teron Gaon	784	N.A.	N.A.
	426	Cheng Timung Borgao Buragaon	785	,,	,,
	427	Sam Terang Mohori Gaon	786	,,	,,
	428	Sarik Timung Gaon	787	,,	,,
	429	Longfer Gaon	788	,,	,,
	430	Longoi Singfrigaon	789	,,	,,
	431	Tepong Gaon	790	,,	,,
	432	Ramta Kramsagaon	791	,,	,,
	433	Sammohorigaon	792	,,	,,
	434	Bamon Be-Gaon	793	,,	,,
	435	Sardera Gaon	794	,,	,,
	436	Sarbura Timung Hebai Gaon	795	,,	,,
	437	Seng Jeng Gaon	796	,,	,,
	438	Sarbura Terang Gaon	797	,,	,,
	439	Dalani Sing Deragaon	798	,,	,,
	440	Thong Knorigaon	799	,,	,,
	441	Omchetri Nepali Khuti	800	,,	,,
	442	Khilimilios Nirsul Kukigaon	801	,,	,,
	443	Lankagaon	802	,,	,,
	444	Kaleng Megaon	803	,,	,,
	445	Fasang Gaon	804	,,	,,
	446	Habesa Timung Gaon	805	,,	,,
	447	Basa Timung Gaon	806	,,	,,
	448	Rongbong Gaobura Gaon	807	,,	,,
	449	Sarthe Kragaon	808	,,	,,
	450	Men Killing Gaon	809	,,	,,
	451	Kang Timung Gaon	810	,,	,,
	452	Rengpo Timung Gaon	811	,,	,,
	453	Ratimung Gaon	812	,,	,,
	454	Thong Engtigaon	813	,,	,,
	455	Man Ronghong Gaon	814	,,	,,
	456	Sarbura Buratemengaon	815	,,	,,
	457	Sarthe Kramsagaon	816	,,	,,
	458	Daria Engti Gaon	817	,,	,,
	459	Sarthe Kragaon	818	,,	,,
	460	Maysenargaon	819	,,	,,
	461	Sarbura Tisogaon	820	,,	,,
	462	Sakdi Ranghang Gaon	821	,,	,,
	463	Kania Timnug Gaon	822	,,	,,
	464	Sing Teron Gaon	823	,,	,,
	465	Takala Rangdigaon	824	,,	,,
	466	Sing Tisogaon	825	,,	,,
	467	Jeng Ronghang Gaon	826	,,	,,
	468	Senot Be-Gaon	827	,,	,,
	469	Lindak Ronghang Gaon	828	,,	,,
	470	Sarmon Engtigaon	829	,,	,,

ANNEXURE I (Contd.)

TO APPENDIX I TO TABLE A-I

Showing The Details Of Villages Transferred

NOWGONG DISTRICT

Symbol No.	Serial No.	Name	Location Code No.	Revenue No.	Area
1	1(a)	2	3	4	5
	471	Ranfergaon	830	N.A.	N.A.
	472	Padumpukhuri Sarder Terongaon	831	,,	,,
	473	Padumpukhuri Kuki Engti-gaon	832	,,	,,
	474	Padumpukhuri Sarthe Terongaon	833	,,	,,
	475	Salmon Be-Gaon	834	,,	,,
	476	Han Engtigaon	835	,,	,,
	477	Rabe Gaon	836	,,	,,
	478	Klengdumgaon	837	,,	,,
	479	Thum Engtigaon	838	,,	,,
	480	Lonfer Bamun Teron Gaon	839	,,	,,
	481	Basa Be-Gaon	840	,,	,,
	482	Lumjung Kathergaon	841	,,	,,
	483	Rongbong Hobaigaon	842	,,	,,
	484	Long Engtigon	843	,,	,,
	485	Kang Engtigaon	844	,,	,,
	486	Saru Terongaon	845	,,	,,
	487	Lindak Sangaon	846	,,	,,
	488	Habe Keding Gaon	847	,,	,,
	489	Long Ronghanggaon	848	,,	,,
	490	Sarek Ronghanggaon	849	,,	,,
	491	Saret Gaoburagaon	850	,,	,,
	492	Sarik Rongpigaon	851	,,	,,
	493	Rongbong Begaon	852	,,	,,
	494	Basapgaon	853	,,	,,
	495	Arnamgaon	854	,,	,,
	496	Mauza Ronghang	855	,,	,,
	497	Rongkhong R. F.	856	,,	,,
	498	Sarman Engtigaon	857	,,	,,
	499	Rongbong Omsoret	858	,,	,,
	500	Mugachang Kachari Gaon	859	,,	,,
	501	Sorm Mohori Gaon	860	,,	,,
	502	Rongong Timung Gaon	861	,,	,,
	503	Dalani Kabiya Ranghang	862	,,	,,
1(ix)	1	Bar Longfer	863	,,	,,
	2	Thong Teron	864	,,	,,
	3	Chayang Gaon	865	,,	,,
	4	Rongbong Kro-Gaon Or (Sarder Kro)	866	,,	,,
	5	Borlangfer Station	867	,,	,,
	6	Rajmoni Gaon	868	,,	,,
	7	Ophang Gaon	869	,,	,,
	8	No. 1 Rajapathar	870	,,	,,
	9	No. 2 Rajapathar	871	,,	,,
	10	Lakhon Rongbong Kro	872	,,	,,
	11	Kiri Kro Gaon	873	,,	,,
	12	Langsoliet	874	,,	,,
1(x)	1	Lamkam Timung Gaon	875	,,	,,
	2	Kairam Timung	876	,,	,,
	3	Mangaon	877	,,	,,
	4	Dak Ronghang	878	,,	,,
	5	Kangar Teran Gaon	879	,,	,,
	6	Kania Ronghong	880	,,	,,
	7	Sadar Hanchey	881	,,	,,
	8	Sarbura Bey	882	,,	,,
	9	Nihang Kro	883	,,	,,
	10	Kang Timung	884	,,	,,
	11	Hawang Timung	885	,,	,,
	12	Charpo Engti	886	,,	,,
	13	Charbura Engti	887	,,	,,
	14	Sarlak Hanchey	888	,,	,,
	15	Rongbong Hanchey	889	,,	,,
	16	Charbura Teron	890	,,	,,
	17	Charan Ronghung	891	,,	,,
	18	Buracha Teron	892	,,	,,
	19	Kangran Timung	893	,,	,,
	20	Sarthey Hanchey	894	,,	,,
	21	Pangso Kramsa	895	,,	,,
	22	Mantiso	896	,,	,,
	23	Kehai Terangaon	897	,,	,,
	24	Deliram Gaon	898	,,	,,
	25	Nilalong	899	,,	,,
	26	Sar Terang Gaon	900	,,	,,
	27	Hemari Terang	901	,,	,,
	28	Hemari Rongpi	902	,,	,,
	29	Siten Terang Gaon	903	,,	,,
	30	Bura Kramsa	904	,,	,,
	31	Habe Engti	905	,,	,,
	32	Sarbura Hanchey	906	,,	,,
	33	Upengaon	907	,,	,,
	34	Sajer Timung	908	,,	,,
	35	Lonktuk Rongpi	909	,,	,,
	36	Rongbong Timung	910	,,	,,
	37	Bangali Basti No. 1 and No. 2	911	,,	,,
	38	Sarbura Ronghong	912	,,	,,
	39	Men Engti	913	,,	,,
	40	Thipti Timung	914	,,	,,
	41	Sukrang Ronghong	915	,,	,,
	42	Langkai Timung	916	,,	,,

ANNEXURE I (Contd.)

TO APPENDIX I TO TABLE A-I

Showing The Details Of Villages Transferred

NOWGONG DISTRICT

Symbol No.	Serial No.	Name	Location Code No.	Revenue No.	Area
1	1(a)	2	3	4	5
	43	Sarthey Timung	917	N.A.	N.A.
	44	Thana Ronghung	918	,,	,,
	45	Kachaii Hanchey	919	,,	,,
	46	Joyram Timung	920	,,	,,
	47	Parai Engti	921	,,	,,
	48	Long Timung	922	,,	,,
	49	Samar Ronghung	923	,,	,,
	50	Ras Teran	924	,,	,,
	51	Borgot Timung	925	,,	,,
	52	Thedang Gaon	926	,,	,,
	53	Dhuidigaon	927	,,	,,
	54	Daldalikuligaon	928	,,	,,
	55	Kania Hanchey	929	,,	,,
	56	Diphu Railway Station	930	,,	,,
	57	Daldali Station	931	,,	,,
	58	Hunai Timung	932	,,	,,
	59	Charet Terang Gaon	933	,,	,,
	60	Rangpahar Dhansirigaon	934	,,	,,
	61	Sarbura Timung	935	,,	,,
	62	Dasama R. F.	936	,,	,,
	63	Dhansiri R. F.	937	,,	,,
1 (xi)	1	Chikarighat	938	,,	,,
	2	Balijan Mikirgaon	939	,,	,,
	3	Bukalighat	940	,,	,,
	4	Eragaon	941	,,	,,
	5	Karkak Gaon	942	,,	,,
	6	Mahang Dijon	943	,,	,,
	7	Mithitang Gaon	944	,,	,,
	8	Duldali	945	,,	,,
	9	Dakhin Dhansiri	946	,,	,,
	10	Rangapahar	947	,,	,,
	11	Sibnagar N. C.	948	,,	,,
	12	Teteliguri N. C.	949	,,	,,
	13	Dhansirigaon	950	,,	,,
	14	Kheranigaon	951	,,	,,
	15	Duldoli R. F.	952	,,	,,
	16	Dhansiri R. F.	953	,,	,,
	17	Dhansiri Railway Station	954	,,	,,
1 (xii)	1	B. and C. Hills	17021	,,	,,

N. B.—Column 3, i.e. the location code no. in case of 1(xi) and 1(xii) corresponds to the existing code no. of United Mikir and North Cachar Hills District in 1951.

Symbol No.	Serial No.	Name	Location Code No.	Revenue No.	Area
1	1(a)	2	3	4	5
2		As Against 1 (iii)			
3 (i)		As Against 1 (v)			
3 (ii)		As Against 1 (iv)			
4 (i)		As Against 1 (i)			
4 (ii)		As Against 1 (ii)			
5 (i)		As Against 1 (vi)			
5 (ii)		As Against 1 (vii)			
5 (iii)		As Against 1 (viii)			
5 (iv)	1	Bherani	..	N.A.	N.A.
	2	Urdhagaon	148	,,	,,
	3	Parakhowa	159	,,	,,
	4	Tapatjuri	160	,,	,,
	5	Dikharumukh	158	,,	,,
	6	Pub Jamuna	125	,,	,,
	7	Pachim Jamuna	124	,,	,,
	8	Udmari	170	,,	,,
	9	Mikir Para	146	,,	,,
	10	Kachari Para	144	,,	,,
	11	Namati Gaon	145	,,	,,
	12	Pachim Jarani	147	,,	,,
	13	Karaiguri	169	,,	,,
	14	Pub Jarani	127	,,	,,
	15	Sadargaon	130	,,	,,
	16	Chandanpur	168	,,	,,
	17	Mobarak Basti	131	,,	,,
	18	Nilbagan	132	,,	,,
	19	Methigaon	133	,,	,,
	20	Sahran	134	,,	,,
	21	Dakhin Noabil	129	,,	,,
	22	Uttar Noabil	128	,,	,,
	23	Guniapar	153	,,	,,
	24	Pub Rowarpar	171(a)	,,	,,
	25	Rowarpar	171	,,	,,
	26	Pachim Mondonga	161	,,	,,
	27	Mondonga Gaon	143	,,	,,
	28	Mondonga Pathar	162	,,	,,
	29	Debastan	149	,,	,,
	30	Barhowr	164	,,	,,
	31	Hatikholi	166	,,	,,
	32	Ambari	167	,,	,,
	33	Malikhola	172	,,	,,
	34	Sawpur	136	,,	,,
	35	Singipar	137	,,	,,
	36	Padumani	165	,,	,,
	37	Sabajpur	173	,,	,,
	38	Sutarpur	135	,,	,,

ANNEXURE I (Contd.)

TO APPENDIX I TO TABLE A-I

Showing The Details Of Villages Transferred

NOWGONG DISTRICT

Symbol No.	Serial No.	Name	Location Code No.	Revenue No.	Area
1	1(a)	2	3	4	5
	39	Tarkata	138	N.A.	N.A.
	40	Tarapur	177	,,	,,
	41	Uttar Dimarupur	139	,,	,,
	42	Kapahbari	..	,,	,,
	43	Sibpur	140	,,	,,
	44	No. 2 Sibpur	154	,,	,,
	45	Padumpukhuri	141	,,	,,
	46	Pabhaijuri	178	,,	,,
	47	Karayani	182	,,	,,
	48	Barangatoli	179	,,	,,
	49	Barpukhuri	181	,,	,,
	50	Uttar Bandar Mela	175	,,	,,
	51	Rohini Pathar	166	,,	,,
	52	Dighal Jarani	163	,,	,,
	53	Oksek Pathar	174	,,	,,
	54	Bandarmela	180	,,	,,
	55	Tongatoli	..	,,	,,
	56	Pub Bandarmela	155	,,	,,
	57	Sarenghi Pathar	..	,,	,,
	58	Oksek Mikirgaon	156	,,	,,
	59	Oksek Trishghari	..	,,	,,
	60	Barbali	151	,,	,,
	61	Dakhin Devasthan	150	,,	,,
	62	Oksek	..	,,	,,
	63	Halibandha	..	,,	,,
	64	Pachim Samarali	..	,,	,,
	65	Uttar Samarali	..	,,	,,
	66	Samarali Bazargaon	..	,,	,,
	67	Samarali Tupgaon	..	,,	,,
	68	Pub Samarali	..	,,	,,
	69	Madhya Samarali	..	,,	,,
	70	Marjong Pathar	..	,,	,,
	71	Dhkhin Samarali (Pub Samarali N. C.)	..	,,	,,
	72	Jayantia Basti	213	,,	,,
	73	Islampur	215	,,	,,
	74	Fatehpur	216	,,	,,
	75	Alinagar	217	,,	,,
	76	Dimarupar	252	,,	,,
	77	Pachim Nandalalpur	251	,,	,,
	78	Tengeripar	214	,,	,,
	79	Pub Nandalalpur	250	,,	,,
	80	Hirabasti	253	,,	,,
	81	Bhakhow Basti	254	,,	,,
	82	Teli Basti	256	,,	,,
	83	Pub Dhaniram Pathar	256	,,	,,
	84	Pachim Dhaniram Pathar	249	,,	,,
	85	Danki Gaon	248	N.A.	N.A.
	86	Golaghatia Basti	258	,,	,,
	87	Fakira Basti	269	,,	,,
	88	Dhanuhar Basti	270	,,	,,
	89	Itakhola	271	,,	,,
	90	Jamuhandal	272	,,	,,
	91	Udaypur	259	,,	,,
	92	Pub Nandapur	260	,,	,,
	93	Pachim Nandapur	261	,,	,,
	94	Rampur	276	,,	,,
	95	Uttar Bidya Nagar	242	,,	,,
	96	Dakhin Bidya Nagar	243	,,	,,
	97	Singari Basti	236	,,	,,
	98	Amtola	262	,,	,,
	99	Pachim Amtola	263	,,	,,
	100	Moina Pathar	239	,,	,,
	101	Uttar Komorakata	237	,,	,,
	102	Dakhin Komorakata	238	,,	,,
	103	Dakhin Komorakata N. C.	279	,,	,,
	104	Bishnupur	241	,,	,,
	105	Dighalbali	264	,,	,,
	106	Habaipur	267	,,	,,
	107	Milik Basti	277	,,	,,
	108	Daria Basti	266	,,	,,
	109	Dakhin Udaypur	268	,,	,,
	110	Dakhin Jamuhandal	273	,,	,,
	111	Dalpukhuri	274	,,	,,
	112	Bhimar Ali	275	,,	,,
	113	Jorang Pathar N. C.	278	,,	,,
	114	Lankajan N. C.	283	,,	,,
	115	Raikata N. C.	240	,,	,,
	116	Pamgaon	296	,,	,,
	117	Sankar Basti	289	,,	,,
	118	Jorapukhuri	297	,,	,,
	119	Itagaon	299	,,	,,
	120	Lakhipur	298	,,	,,
	121	Ampukhuri	200	,,	,,
	122	Pub Bhalukmari	302	,,	,,
	123	Pachim Bhalukmari	301	,,	,,
	124	Balu Handar	331	,,	,,
	125	Pachim Baluhandar	288	,,	,,
	126	Uttar Laskar Pathar	341	,,	,,
	127	Dakhin Laskar Pathar	342	,,	,,
	128	Tentuli	306	,,	,,
	129	No. 2 Panchali	316	,,	,,
	130	No. 1 Panchali	305	,,	,,
	131	Pachim Lankagaon	344	,,	,,

ANNEXURE I (Concld.)

TO APPENDIX I TO TABLE A-I

Showing The Details Of Villages Transferred

NOWGONG DISTRICT

Symbol No.	Serial No.	Name	Location Code No.	Revenue No.	Area
1	1(a)	2	3	4	5
	132	Uttar Baluhandar	336	N.A.	N.A.
	133	Lahkeswari Bagan	317	,,	,,
	134	Lankagaon	319	,,	,,
	135	Dublong	314	,,	,,
	136	Pachim Dublong	315	,,	,,
	137	Akanthu	309	,,	,,
	138	Farmapar (Farmabil)	308	,,	,,
	139	Thaisugaon	..	,,	,,
	140	Kapilipar	310	,,	,,
	141	Maduli	..	,,	,,
	142	Khongkhong Basti	311	,,	,,
	143	Simlai Pathar	312	,,	,,
	144	Bardalang	322	,,	,,
	145	Kharikhana	..	,,	,,
	146	Kharikhana Bill	..	,,	,,
	147	Srikrishana Nagar	..	,,	,,
	148	Alichinga	323	,,	,,
	149	Laloong Dubi	324	,,	,,
	150	Sambaria	321	,,	,,
	151	Lankapatty	320	,,	,,
	152	Panjabi Basti	328	,,	,,
	153	Pach-Bhandar Gaon	..	,,	,,
	154	Jamuguri	..	,,	,,
	155	Padumpukhuri	..	,,	,,
	156	Lanka Bheta	338	,,	,,
	157	Singjuri	..	,,	,,
	158	Natun Alichinga	327	,,	,,
	159	Dagaon	337	,,	,,
	160	Barman Pathar	..	,,	,,
	161	Nangal Bhanga	326	,,	,,
	162	Barbahagaon	286	,,	,,
	163	Kandura	284	,,	,,
	164	Dakhin Kandura	287	,,	,,
	165	Pub Kandura	285	,,	,,
	166	Buragaon	290	,,	,,
	167	Khring Khreng	293	,,	,,
	168	Bowbengena Ati	292	,,	,,
	169	Azarbori	291	,,	,,
	170	Barpukhuri	295	,,	,,
	171	No. 1 Ramnagar	..	,,	,,
	172	No. 2 Ramnagar	..	,,	,,
	173	Jaysagar	..	,,	,,
	174	Ranipukhuri	..	,,	,,
	175	Lankeswari Grant	318	,,	,,
	176	No. 1 Piparpukhuri	330	,,	,,
	177	No. 2 Piparpukhuri			
	178	Bamun Gaon	..	,,	,,
	179	Barjaha Gaon	..	,,	,,
	180	Kachari Gaon	..	,,	,,
	181	Dakhin Odali	..	,,	,,
	182	Lachit Pathar	..	,,	,,
	183	Odaligaon	..	,,	,,
	184	Sing Gaon	..	,,	,,
	185	Bardalai Pathar	..	,,	,,
	186	Tiniali Bazar	..	,,	,,
	187	Jathang Basti	..	,,	,,
	188	Maj-Odali	..	,,	,,
	189	Barjarani	..	,,	,,
	190	Jaranigaon	..	,,	,,
	191	Dakhin Jarani	..	,,	,,
	192	Lankajan	283	,,	,,
	193	Pub-Odali	..	,,	,,
	194	Kaki Lalunggaon	334	,,	,,
	195	Kaki Kacharigaon	332	,,	,,
	196	Lalung Gaon N.C.	335	,,	,,
	197	Machaka	..	,,	,,
	198	Kakigaon N.C. Part II	..	,,	,,
	199	Kaki Kacharigaon N.C.	338	,,	,,
6		As Against 5 (iv)			
7 (i)		As Against 1 (ix)			
7 (ii)		As Against 1 (x)			
7 (iii)		As Against 1 (xi)			
7 (iv)		As Against 1 (xii)			

APPENDIX III

Houseless and Institutional Population

Units of territory which have nothing to show for this statement have been excluded

District/Subdivision/Police Station	Total Rural Urban	Houseless Population			Institutional Population		
		Persons	Males	Females	Persons	Males	Females
1	2	3	4	5	6	7	8
	T	17	17	..	926	702	224
Nowgong District	R	17	17	..	670	467	203
	U	..	..	..	256	235	21
Laharighat P.S.	R	..	..	..	5	4	1
Dhing P.S.	R	2	2	..	45	41	4
Marigaon P.S.	R	..	..	..	237	226	11
Raha P.S.	R	5	5	..	177	53	124
	T	..	..	..	104	80	24
Nowgong P.S.	R	..	..	..	10	7	3
	U	..	..	..	94	73	21
Samaguri P.S.	R	10	10	..	22	22	..
	T	..	..	..	282	230	52
Jamunamukh P.S.	R	..	..	..	124	72	52
	U	..	..	..	158	158	..
Lanka P.S.	R	..	..	..	27	19	8
	T	..	..	..	27	27	..
Lumding P.S.	R	..	..	..	23	23	..
	U	..	..	..	4	4	..

TABLE A-II—VARIATION IN POPULATION DURING SIXTY YEARS

This table furnishes population data for the last seven Censuses from 1901 to 1961 and the variation of population in each decade. This is a very important table as it gives the growth of population from decade to decade and in the absence of reliable vital statistical data, forms the main source for estimation of population. One of the main changes in this table since the last Census is that percentage variation is given from decade to decade.

District	Years	Persons	Decade Variation	Percentage Decade Variation	Males	Females
1	2	3	4	5	6	7
	1901	260,411	..	..	132,605	127,806
	1911	301,655	+ 41,244	+15.84	153,938	147,717
NOWGONG	1921	398,007	+ 96,352	+31.94	208,731	189,276
	1931	562,581	+164,574	+41.35	298,585	263,996
	1941	649,072	+ 86,491	+15.37	348,099	300,973
	1951	886,955	+237,883	+36.65	476,578	410,377
	1961	1,210,761	+323,806	+36.51	645,690	565,071

A-III—VILLAGES CLASSIFIED BY POPULATION

This table gives figures for the number and population of villages in the various population groups which are less than 200, 200-499, 500-999, 1000-1999, 2000-4999, 5000-9999 and 10,000 and above. The group less than 500 of the last Census has been split up into two groups namely, less than 200 and 200-499.

District/Subdivision/ Police Station	Total number of inhabited villages	Total Rural Population			I—Villages with less than 2,000 population—(Contd.)					
					Less than 200			200—499		
		Persons	Males	Females	Number	Population		Number	Population	
						Males	Females		Males	Females
1	2	3	4	5	6	7	8	9	10	11
Nowgong District	1,716	1,129,544	598,096	531,448	374	21,309	17,508	477	89,559	78,706
Laharighat P.S.	241	156,573	82,792	73,781	39	2,443	2,069	67	12,663	11,314
Dhing P.S.	65	69,333	36,377	32,956	4	189	166	7	1,193	1,068
Rupahihat P.S.	154	157,375	82,614	74,761	3	342	275	18	3,680	3,245
Kaliabor P.S.	110	68,621	36,650	31,971	19	1,140	892	40	6,471	5,378
Marigaon P.S.	313	123,764	65,605	58,159	117	5,771	4,762	120	19,975	17,895
Raha P.S.	152	101,805	53,481	48,324	39	2,227	1,804	42	7,546	6,886
Nowgong P.S.	142	122,033	64,045	57,988	21	824	711	37	7,117	6,218
Samaguri P.S.	114	87,6 7	46,158	41,529	29	1,448	1,239	20	6,071	5,481
Jamunamukh P.S.	177	106,402	56,716	49,686	41	2,613	2,128	57	11,209	9,949
Lanka P.S.	225	130,658	70,658	60,000	45	3,037	2,531	65	12,894	10,688
Lumding P.S.	23	5,293	3,000	2,293	17	1,275	931	4	740	584

A-III—VILLAGES CLASSIFIED BY POPULATION (Concld.)

District/Subdivision/ Police Station	I—Villages with less than 2,000 population—(Concld.)						II—Villages with a population of 2,000—9,999						III—Villages with a population of 10,000 and above		
	500—999			1,000—1,999			2,000—4,999			5,000—9,999			10,000 and above		
	Number	Population		Number	Population		Number	Population		Number	Population		Number	Population	
		Males	Females		Males	Females		Males	Females		Males	Females		Males	Females
1	12	13	14	15	16	17	18	19	20	21	22	23	24	25	26
Nowgong District	490	187,100	166,561	331	237,667	214,092	44	62,461	54,581	..	..	..	..	..	..
Laharighat P.S.	90	32,875	29,208	40	28,031	25,343	5	6,780	5,847	..	..	..	..	..	..
Dhing P.S.	16	6,301	5,822	35	25,067	22,695	3	3,627	3,205	..	..	..	..	..	..
Rupahihat P.S.	54	21,355	19,240	75	51,543	47,040	4	5,694	4,961	..	..	..	..	..	..
Kaliabor P.S.	29	11,335	9,827	21	15,177	13,490	1	2,527	2,384	..	..	..	..	..	..
Marigaon P.S.	50	18,546	16,316	20	13,696	12,436	6	7,617	6,750	..	..	..	..	..	..
Raha P.S.	34	13,825	12,667	32	21,827	19,746	5	8,056	7,221	..	..	..	..	..	..
Nowgong P.S.	41	15,805	14,658	39	34,109	30,800	4	6,190	5,601	..	..	..	..	..	..
Samaguri P.S.	34	12,337	11,071	24	16,802	15,259	7	9,500	8,479	..	..	..	..	..	..
Jamunamukh P.S.	51	19,780	17,971	24	17,357	15,222	4	5,757	4,416	..	..	..	..	..	..
Lanka P.S.	90	34,584	29,511	20	13,430	11,553	5	6,713	5,717	..	..	..	..	..	..
Lumding P.S.	1	357	270	1	628	508	..	..	..	..	..	..	..	..	..

A-IV—TOWNS (AND TOWN-GROUPS) CLASSIFIED BY POPULATION IN 1961 WITH VARIATION SINCE 1901

This table gives the growth of each town since 1901. This table furnishes the areas of the towns of the 1961 Census both in square miles and square kilometres. For the purpose of this table, all towns are divided into 6 classes according to population. As in table A-II, the percentage variation of each town is given from decade to decade.

Class I—100,000 and above
Class II—50,000-99,999
Class III—20,000-49,999
Class IV—10,000-19,999
Class V—5,000-9,999
Class VI—less than 5,000

District	Name of Town	Status of Town	Year	Area Sq. miles	Area Sq. Km.	Persons	Decade Variation	Percentage Decade Variation	Males	Females
1	2	3	4	5	6	7	8	9	10	11
			CLASS III—20,000-49,999							
Nowgong	Nowgong	Municipality	1901	..	..	4,430	..	..	2,659	1,771
			1911	..	..	5,433	+1,003	+22.64	3,145	2,288
			1921	..	..	6,885	+1,452	+26.73	4,129	2,756
			1931	..	..	10,413	+3,528	+51.24	6,660	3,753
			1941	..	..	12,972	+2,559	+24.58	8,069	4,903
			1951	..	..	28,257	+15,285	+117.83	16,599	11,658
			1961	2.34	6.06	38,600	+10,343	+36.60	23,295	15,305
	Lumding	Municipality	1921	..	..	2,654	..	..	1,832	822
			1931	..	..	3,098	+444	+16.73	2,101	997
			1941	..	..	3,864	+766	+24.73	2,503	1,361
			1951	..	..	15,278	+11,414	+295.39	8,614	6,664
			1961	1.61	4.17	23,186	+7,908	+51.76	12,935	10,251
			CLASS IV—10,000-19,999							
	Hojai	Town Committee	1961	1.65	4.27	12,857	..	..	7,584	5,273
			CLASS V—5,000-9,999							
	Dhing	..	1961	1.50	3.88	6,574	..	..	3,780	2,794

Note : Towns treated as such for the first time in 1961 are printed in italics

A-IV—TOWNS (AND TOWN-GROUPS) CLASSIFIED BY POPULATION IN 1961 WITH VARIATION SINCE 1901

APPENDIX

New Towns added in 1961 and Towns in 1951 Declassified in 1961

District	New towns added in 1961					Towns in 1951 which has been declassified as rural in 1961				
	Name of Town	Area		Population		Name of Town	Area		Population	
		Sp. miles	Sq. km.	1961	1951		Sq. miles	Sq. km.	1961	1951
1	2	3	4	5	6	7	8	9	10	11
Nowgong	Dhing	1.50	3.88	6,574	N.A.	..	..	..	..	..
	Hojai	1.65	4.27	12,857	6,455	..	..	..	..	..

B — GENERAL ECONOMIC TABLES

TABLE B-I

WORKERS AND NON-WORKERS CLASSIFIED BY SEX AND BROAD AGE-GROUPS

This table is prepared separately for total, rural and urban population and it gives the total population classifying the nine industrial categories of workers and non-workers. Each category is divided into five age-groups namely, 0-14, 15-34, 35-59, 60+ and Age not stated. This is the basic economic table. The classification of workers and non-workers by age-groups is a special feature of the 1961 Census. The age-groups correspond to the different stages of life which have special significance with reference to capacity to work, namely, children, young persons, middle-aged persons and elderly persons.

B-I—WORKERS AND NON-WORKERS CLASSIFIED BY SEX AND BROAD AGE-GROUPS

NOWGONG DISTRICT

Sl. No.	Total Rural Urban	Age-group	Total Population			Total Workers		Workers (Contd.) I As Cultivator		II As Agricultural Labourer		III In Mining, Quarrying, Livestock, Forestry, Fishing, Hunting and Plantations, Orchards and allied activities	
			Persons	Males	Females	Males	Females	Males	Females	Males	Females	Males	Females
1	2	3	4	5	6	7	8	9	10	11	12	13	14
1	TOTAL	TOTAL	1,210,761	645,690	565,071	341,630	107,428	252,543	73,418	21,439	1,113	9,895	7,454
2		0—14	562,983	283,280	279,703	19,977	10,347	15,629	7,029	2,022	103	786	500
3		15—34	375,789	196,193	179,596	166,999	63,317	119,484	42,335	11,243	644	4,807	4,682
4		35—59	216,406	132,779	83,627	128,230	31,227	95,206	22,236	7,182	330	3,748	2,159
5		60+	54,455	32,563	21,892	25,805	2,504	21,640	1,806	985	35	545	113
6		Age not stated	1,128	875	253	619	33	584	12	7	1	9	..
7	RURAL	TOTAL	1,129,544	598,096	531,448	316,863	106,266	251,186	73,281	21,366	1,113	9,779	7,450
8		0—14	529,342	265,894	263,448	19,511	10,234	15,607	7,028	2,022	103	782	500
9		15—34	346,555	178,084	168,471	153,697	62,735	118,854	42,271	11,197	644	4,754	4,678
10		35—59	201,177	122,393	78,784	118,301	30,804	94,661	22,167	7,158	330	3,695	2,159
11		60+	51,381	30,871	20,510	24,737	2,461	21,480	1,803	982	35	539	113
12		Age not stated	1,089	854	235	617	32	584	12	7	1	9	..
13	URBAN	TOTAL	81,217	47,594	33,623	24,767	1,162	1,357	137	73	..	116	4
14		0—14	33,641	17,386	16,255	466	113	22	1	..	..	4	..
15		15—34	29,234	18,109	11,125	13,302	582	630	64	46	..	53	4
16		35—59	15,229	10,386	4,843	9,929	423	545	69	24	..	53	..
17		60+	3,074	1,692	1,382	1,068	43	160	3	3	..	6	..
18		Age not stated	39	21	18	2	1	..	..	..	..	..	..

B-I—WORKERS AND NON-WORKERS CLASSIFIED BY SEX AND BROAD AGE-GROUPS—(Concld.)

NOWGONG DISTRICT

Sl. No.	Workers (Concld.)													
	IV At Household Industry		V In Manufacturing other than Household Industry		VI In Construction		VII In Trade and Commerce		VIII In Transport, Storage and Communications		IX In Other Services		X Non-workers	
	Males	Females	Males	Females	Males	Females	Males	Females	Males	Females	Males	Females	Males	Females
1	15	16	17	18	19	20	21	22	23	24	25	26	27	28
1	1,511	22,125	8,145	680	2,287	149	15,299	270	8,494	112	22,017	2,107	304,060	457,643
2	91	2,379	199	56	33	16	330	18	84	1	803	245	263,303	269,356
3	806	13,705	4,565	371	1,419	116	7,753	123	4,255	62	12,667	1,279	29,194	116,279
4	520	5,585	2,950	224	768	17	6,259	97	4,025	49	7,572	530	4,549	52,400
5	93	438	429	29	67	..	951	32	129	..	966	51	6,758	19,388
6	1	18	2	..	..	..	6	..	1	..	9	2	256	220
7	1,092	21,849	5,091	613	1,876	148	8,837	224	3,339	42	14,297	1,546	281,233	425,182
8	81	2,369	132	53	33	16	243	16	65	1	546	148	246,383	253,214
9	579	13,548	2,716	339	1,195	115	4,520	103	1,713	24	8,169	1,013	24,387	105,736
10	358	5,483	1,924	197	609	17	3,518	80	1,477	17	4,901	354	4,092	47,980
11	73	431	317	24	39	..	551	25	83	..	673	30	6,134	18,049
12	1	18	2	..	..	..	5	..	1	..	8	1	237	203
13	419	276	3,054	67	411	1	6,462	46	5,155	70	7,720	561	22,827	32,461
14	10	10	67	3	..	..	87	2	19	..	257	97	16,920	16,142
15	227	157	1,849	32	224	1	3,233	20	2,542	38	4,498	266	4,807	10,543
16	162	102	1,026	27	159	..	2,741	17	2,548	32	2,671	176	457	4,420
17	20	7	112	5	28	..	400	7	46	..	293	21	624	1,339
18	..	..	..	..	..	..	1	..	..	..	1	1	19	17

TABLE B-III

INDUSTRIAL CLASSIFICATION OF WORKERS AND NON-WORKERS BY EDUCATIONAL LEVELS

Part A of this table relates to urban areas only. Each of the nine categories of workers and non-workers is shown by literacy and educational levels. This is an important table as it shows the employment of persons of different educational levels among the various categories of workers. This information may be of much use for the assessment of educational qualification of available man-power.

Part B of this table relates to rural areas. The educational level is confined only to (i) Literate (without educational level), (ii) Primary or Junior Basic and (iii) Matriculation and above.

B-III PART A—INDUSTRIAL CLASSIFICATION OF WORKERS AND NON-WORKERS BY EDUCATIONAL LEVELS IN URBAN AREAS ONLY

NOWGONG DISTRICT

Sl. No.	Educational levels	Total Population of Workers and Non-workers			Workers (Contd.)					
					I As Cultivator		II As Agricultural Labourer		III In Mining, Quarrying, Livestock, Forestry, Fishing, Hunting and Plantations, Orchards and allied activities	
		Persons	Males	Females	Males	Females	Males	Females	Males	Females
1	2	3	4	5	6	7	8	9	10	11
1	Total	81,217	47,594	33,623	1,357	137	73	..	116	4
2	Illiterate	36,598	17,628	18,970	452	96	59	..	63	3
3	Literate (without educational level)	26,869	16,981	9,888	717	32	13	..	28	1
4	Primary or Junior Basic	12,855	8,713	4,142	159	8	1	..	7	..
5	Matriculation or Higher Secondary	3,670	3,082	588	24	1	..	..	16	..
6	Technical diploma not equal to degree	19	19	..	..	..	..	..	..	..
7	Non-technical diploma not equal to degree	576	575	1	3	..	..	..	..	..
8	University degree or post-graduate degree other than technical degree	532	499	33	2	..	..	..	2	..
9	Technical degree or diploma equal to degree or post-graduate degree	98	97	1	..	..	..	..	..	..
(a)	Engineering	7	7	..	..	..	..	..	..	..
(b)	Medicine	78	77	1	..	.	..	..	..	..
(c)	Agriculture	..	..	..	..	..	..	..	..	..
(d)	Veterinary and Dairying	1	1	..	..	..	..	..	..	..
(e)	Technology	..	..	..	..	..	..	..	..	..
(f)	Teaching	5	5	..	..	..	..	..	..	..
(g)	Others	7	7	..	..	..	..	..	..	..

B-III PART A—INDUSTRIAL CLASSIFICATION OF WORKERS AND NON-WORKERS BY EDUCATIONAL LEVELS IN URBAN AREAS ONLY (Concld.)

NOWGONG DISTRICT

Sl. No.	Workers (Concld.)													
	IV At Household Industry		V In Manufacturing other than Household Industry		VI In Construction		VII In Trade and Commerce		VIII In Transport, Storage and Communications		IX In Other Services		X Non-workers	
	Males	Females	Males	Females	Males	Females	Males	Females	Males	Females	Males	Females	Males	Females
1	12	13	14	15	16	17	18	19	20	21	22	23	24	25
1	419	276	3,054	67	411	1	6,462	46	5,155	70	7,720	561	22,827	32,461
2	133	128	1,006	38	128	..	1,301	31	1,234	27	2,822	356	10,430	18,291
3	192	115	1,454	29	209	..	3,453	12	1,828	10	2,628	70	6,459	9,619
4	85	25	496	..	39	..	1,344	2	1,229	18	948	54	4,405	4,035
5	8	8	79	..	25	..	300	1	814	9	734	81	1,082	488
6	..	..	1	..	..	..	..	..	..	..	10	..	8	..
7	..	..	12	..	4	1	41	..	..	..	187	..	328	..
8	1	..	6	..	6	..	19	..	23	5	341	..	99	28
9	..	..	..	..	..	..	4	..	27	1	50	..	16	..
(a)	..	..	..	..	..	..	..	..	..	..	6	.	1	..
(b)	..	..	..	..	..	..	4	..	16	1	44	..	13	..
(c)	..	..	..	..	..	..	..	..	..	..	..	..	..	..
(d)	..	..	..	..	..	..	..	..	..	..	..	..	1	..
(e)	..	..	..	..	..	..	..	..	..	..	..	..	..	..
(f)	..	..	..	..	..	..	..	..	5	..	..	..	..	..
(g)	..	..	..	..	..	..	..	..	6	..	..	..	1	..

B-III PART B

INDUSTRIAL CLASSIFICATION OF WORKERS AND NON-WORKERS BY EDUCATIONAL LEVELS IN RURAL AREAS ONLY

B-III PART B—INDUSTRIAL CLASSIFICATION OF WORKERS AND NON-WORKERS

Educational Levels	Total Population of Workers and Non-workers			WOR							
				I As Cultivator		II As Agricultural Labourer		III In Mining, Quarrying, Livestock, Forestry, Fishing, Hunting, Plantations, Orchards and allied activities		IV At Household Industry	
	Persons	Males	Females	Males	Females	Males	Females	Males	Females	Males	Females
1	2	3	4	5	6	7	8	9	10	11	12
										NOWGONG	
TOTAL	1,129,544	598,096	531,448	251,186	73,281	21,366	1,113	9,779	7,450	1,092	21,849
Illiterate	844,138	392,934	451,204	168,981	58,753	19,479	1,050	8,078	7,264	534	16,705
Literate (Without Educational Level)	210,950	147,411	63,539	61,645	11,523	1,649	55	1,432	165	479	3,689
Primary or Junior Basic	69,107	52,858	16,249	19,783	2,993	219	8	178	20	76	1,428
Matriculation and Above	5,349	4,893	456	777	12	19	..	91	1	3	27
										LAHARIGHAT	
TOTAL	156,573	82,792	73,781	36,841	4,525	3,470	67	77	14	51	2,643
Illiterate	132,329	63,910	68,419	29,697	4,023	3,409	67	66	14	51	1,715
Literate (Without Educational Level)	18,910	14,307	4,603	5,442	453	56	..	7	..	..	865
Primary or Junior Basic	5,059	4,301	758	1,677	49	5	..	4	..	..	63
Matriculation and Above	275	274	1	25	..	..	..	..	..	..	..
										DHING	
TOTAL	69,333	36,377	32,956	15,441	447	1,940	37	2	..	7	802
Illiterate	56,533	26,744	29,789	11,429	381	1,824	30	..	..	5	602
Literate (Without Educational Level)	10,774	7,969	2,805	3,486	53	101	3	1	..	2	107
Primary or Junior Basic	1,806	1,448	358	498	13	15	4	..	..	..	93
Matriculation and Above	220	216	4	28	..	..	..	1	..	..	..
										RUPAHIHAT	
TOTAL	157,375	82,614	74,761	34,149	1,475	6,391	41	93	1	83	347
Illiterate	129,279	62,432	66,847	24,162	1,475	5,990	41	55	1	30	342
Literate (Without Educational Level)	22,341	15,867	6,474	8,020	..	332	..	23	..	50	5
Primary or Junior Basic	5,330	3,920	1,410	1,911	..	69	..	11	..	3	..
Matriculation and Above	425	395	30	56	..	..	..	4	..	..	..
										KALIABOR	
TOTAL	68,621	36,650	31,971	12,645	6,733	933	151	3,752	2,606	32	1,340
Illiterate	49,910	23,614	26,296	7,808	5,785	824	151	2,795	2,517	24	816
Literate (Without Educational Level)	14,261	9,479	4,782	3,137	792	100	..	348	71	8	393
Primary or Junior Basic	4,074	3,211	863	1,695	155	9	..	85	18	..	128
Matriculation and Above	376	346	30	5	1	..	..	24	..	..	3

BY EDUCATIONAL LEVELS IN RURAL AREAS ONLY

KERS

V In Manufacturing other than Household Industry		VI In Construction		VII In Trade and Commerce		VIII In Transport, Storage and Communications		IX In Other Services		X Non-workers		Educational Levels
Males	Females	Males	Females	Males	Females	Males	Females	Males	Females	Males	Females	
13	14	15	16	17	18	19	20	21	22	23	24	1
DISTRICT												
5,091	613	1,876	148	8,837	224	3,339	42	14,297	1,546	281,233	425,182	TOTAL
2,109	577	883	41	2,792	193	1,155	17	5,594	897	183,329	365,707	Illiterate
2,270	22	591	84	4,497	25	1,394	15	3,724	141	69,730	47,821	Literate (Without Educational Level)
624	12	272	21	1,395	6	547	9	3,085	438	26,679	11,313	Primary or Junior Basic
88	2	130	2	153	..	243	1	1,894	70	1,495	341	Matriculation and Above
POLICE STATION												
569	62	45	77	1,160	11	176	..	1,048	33	39,355	66,349	TOTAL
292	62	19	..	394	11	88	..	418	..	29,476	62,527	Illiterate
179	..	14	63	484	..	42	..	206	16	7,877	3,206	Literate (Without Educational Level)
97	..	8	14	257	..	31	..	297	17	1,925	615	Primary or Junior Basic
1	..	4	..	25	..	15	..	127	..	77	1	Matriculation and Above
POLICE STATION												
125	..	3	..	233	1	28	..	502	19	18,096	31,650	TOTAL
33	..	..	..	51	1	17	..	153	6	13,232	28,769	Illiterate
79	..	..	..	155	..	10	..	119	6	4,016	2,636	Literate (Without Educational Level)
12	..	2	..	23	..	1	..	126	7	771	241	Primary or Junior Basic
1	..	1	..	4	..	..	..	104	..	77	4	Matriculation and Above
POLICE STATION												
484	11	51	..	894	9	165	..	1,183	59	39,120	72,818	TOTAL
227	11	35	..	376	9	105	..	499	59	30,953	64,909	Illiterate
221	..	7	..	397	..	44	..	260	..	6,513	6,469	Literate (Without Educational Level)
34	..	2	..	105	..	9	..	251	..	1,524	1,410	Primary or Junior Basic
2	..	7	..	15	..	8	..	173	..	130	30	Matriculation and Above
POLICE STATION												
644	15	114	19	669	33	409	..	1,231	234	16,721	20,840	TOTAL
283	9	58	19	193	32	182	..	690	179	10,757	16,788	Illiterate
264	2	31	..	390	1	189	..	263	18	4,749	3,505	Literate (Without Educational Level)
62	2	13	..	73	..	17	..	138	30	1,119	530	Primary or Junior Basic
35	2	12	..	13	..	21	..	140	7	96	17	Matriculation and Above

B-III PART B—INDUSTRIAL CLASSIFICATION OF WORKERS AND NON-WORKERS

Educational Levels	Total Population of Workers and Non-Workers			WOR I As Cultivator		II As Agricultural Labourer		III In Mining, Quarrying, Livestock, Forestry, Fishing, Hunting, Plantations, Orchards and allied activities		IV At Household Industry	
	Persons	Males	Females	Males	Females	Males	Females	Males	Females	Males	Females
1	2	3	4	5	6	7	8	9	10	11	12
											MARIGAON
TOTAL	123,764	65,605	58,159	30,439	12,609	698	68	827	252	368	6,813
Illiterate	90,538	40,021	50,517	23,740	11,544	633	49	609	202	172	6,012
Literate (Without Educational Level)	28,217	21,713	6,504	5,288	886	65	19	215	50	196	617
Primary or Junior Basic	4,601	3,638	963	1,238	179	..	..	2	..	..	180
Matriculation and Above	408	233	175	173	..	..	..	..	..	..	4
											RAHA
TOTAL	101,805	53,481	48,324	22,920	11,668	811	146	481	285	61	4,837
Illiterate	69,062	30,082	38,980	12,783	10,053	689	135	384	285	36	3,694
Literate (Without Educational Level)	20,880	14,499	6,381	6,976	1,035	108	8	67	..	14	748
Primary or Junior Basic	11,165	8,247	2,918	3,091	580	14	3	17	..	9	393
Matriculation and Above	698	653	45	70	..	..	..	13	..	2	2
											NOWGONG
TOTAL	122,033	64,045	57,988	25,737	14,390	987	141	189	253	96	2,962
Illiterate	70,338	32,053	38,285	12,478	8,078	832	139	113	251	33	2,023
Literate (Without Educational Level)	28,925	14,405	14,520	8,163	4,957	125	1	53	2	33	519
Primary or Junior Basic	21,313	16,210	5,103	4,898	1,346	13	1	16	..	30	408
Matriculation and Above	1,457	1,377	80	198	9	17	..	7	..	..	12
											SAMAGURI
TOTAL	87,687	46,158	41,529	16,591	6,153	993	70	3,719	3,434	8	253
Illiterate	63,582	29,448	34,134	9,977	5,008	869	70	2,996	3,391	1	116
Literate (Without Educational Level)	16,050	11,136	4,914	4,261	716	89	..	650	40	5	50
Primary or Junior Basic	7,512	5,076	2,436	2,295	428	35	..	37	2	2	87
Matriculation and Above	543	498	45	58	1	..	..	36	1	..	..
											JAMUNAMUKH
TOTAL	106,402	56,716	49,686	22.500	8,674	2,297	279	833	552	126	1,004
Illiterate	77,918	35,890	42,028	14,075	7,657	1,895	261	833	552	71	657
Literate (Without Educational Level)	24,148	17,326	6,822	7,307	853	381	18	..	..	44	292
Primary or Junior Basic	3,780	2,972	808	1,031	163	19	..	..	..	11	51
Matriculation and Above	556	528	28	87	1	2	..	..	..	..	4

BY EDUCATIONAL LEVELS IN RURAL AREAS ONLY (Contd.)

KERS												
V In Manufacturing other than Household Industry		VI In Construction		VII In Trade and Commerce		VIII In Transport, Storage and Communications		IX In Other Services		X Non-workers		Educational Levels
Males	Females	Males	Females	Males	Females	Males	Females	Males	Females	Males	Females	
13	14	15	16	17	18	19	20	21	22	23	24	1
POLICE STATION												
295	1	483	21	796	38	425	28	1,194	142	30,080	38,187	TOTAL
148	1	211	10	223	26	186	13	506	64	13,593	32,596	Illiterate
147	..	228	7	527	8	235	9	688	44	14,123	4,864	Literate (Without Educational Level)
..	..	44	3	46	4	4	6	..	28	2,304	563	Primary or Junior Basic
..	..	..	1	..	..	..	..	..	6	60	164	Matriculation and Above
POLICE STATION												
580	82	130	2	1,018	4	593	6	1,551	245	25,336	31,049	TOTAL
132	78	47	2	303	2	185	2	417	38	15,106	24,691	Illiterate
347	2	42	..	444	1	226	1	321	12	5,954	4,574	Literate (Without Educational Level)
99	2	25	..	243	1	108	3	545	172	4,096	1,764	Primary or Junior Basic
2	..	16	..	28	..	74	..	268	23	180	20	Matriculation and Above
POLICE STATION												
498	18	260	1	695	7	453	..	2,423	176	32,707	40,040	TOTAL
217	4	117	..	276	7	..	..	224	61	17,763	27,722	Illiterate
147	12	16	1	236	..	274	..	672	12	4,686	9,016	Literate (Without Educational Level)
127	2	97	..	173	..	134	..	938	91	9,784	3,255	Primary or Junior Basic
7	..	30	..	10	..	45	..	589	12	474	47	Matriculation and Above
POLICE STATION												
460	33	251	1	513	10	239	1	1,422	225	21,962	31,349	TOTAL
168	31	108	1	128	8	96	..	602	134	14,503	25,375	Illiterate
201	1	90	..	229	2	92	1	291	19	5,228	4,085	Literate (Without Educational Level)
65	1	39	..	143	..	38	..	327	58	2,095	1,860	Primary or Junior Basic
26	..	14	..	13	..	13	..	202	14	136	29	Matriculation and Above
POLICE STATION												
715	100	390	27	1,436	16	328	5	2,027	295	26,064	38,734	TOTAL
311	100	218	9	473	12	116	..	1,205	265	16,693	32,515	Illiterate
348	..	112	13	824	4	123	4	421	7	7,766	5,631	Literate (Without Educational Level)
51	..	25	4	113	..	63	..	232	20	1,427	570	Primary or Junior Basic
5	..	35	1	26	..	26	1	169	3	178	18	Matriculation and Above

B-III PART B—INDUSTRIAL CLASSIFICATION OF WORKERS AND NON-WORKERS

WOR

Educational Levels	Total Population of Workers and Non-workers			I As Cultivator		II As Agricultural Labourer		III In Mining, Quarrying, Livestock Forestry, Fishing, Hunting and Plantations, Orchards and allied activities		IV At Ho sehold Industry	
	Persons	Males	Females	Males	Females	Males	Females	Males	Females	Males	Females
1	2	3	4	5	6	7	8	9	10	11	12
											LANKA
TOTAL	130,658	70.658	60,000	32,906	6,324	2,647	100	227	28	260	821
Illiterate	101,387	47,106	54,281	22,015	4,501	2,315	94	166	26	111	701
Literate (Without Educational Level)	24,963	19,735	5,228	9,397	1,747	292	6	50	2	127	92
Primary or Junior Basic	3,991	3,504	487	1,417	76	40	..	5	..	21	26
Matriculation and Above	317	313	4	77	..	..	..	6	..	1	2
											LUMDING
TOTAL	5,293	3,000	2,293	1,017	283	199	13	79	25	..	27
Illiterate	3,262	1,634	1,628	817	248	199	13	61	25	..	27
Literate (Without Educational Level)	1,481	975	506	168	31	..	..	17	..	..	..
Primary or Junior Basic	476	331	145	32	4	..	..	1	..	..	..
Matriculation and Above	74	60	14	..	..	..	..	..	..	..	..

BY EDUCATIONAL LEVELS IN RURAL AREAS ONLY (Concld.)

KERS

V In Manufacturing other than Household Industry		VI In Construction		VII In Trade and Commerce		VIII In Transport, Storage and Communications		IX In Other Services		X Non-workers		Educational Levels
Males	Females	Males	Females	Males	Females	Males	Females	Males	Females	Males	Females	
13	14	15	16	17	18	19	20	21	22	23	24	1
POLICE STATION												
699	291	121	..	1,342	86	229	1	1,572	110	30,655	52,239	TOTAL
286	281	53	..	356	76	94	1	794	88	20,916	48,513	Illiterate
327	5	45	..	749	9	68	..	440	5	8,240	3,362	Literate (Without Educational Level)
77	5	14	..	218	1	55	..	229	15	1,428	364	Primary or Junior Basic
9	..	9	..	19	..	12	..	109	2	71	..	Matriculation and Above
POLICE STATION												
22	..	28	..	81	9	293	1	144	8	1,137	1,927	TOTAL
12	..	17	..	19	9	86	1	86	3	337	1,302	Illiterate
10	..	6	..	62	..	91	..	43	2	578	473	Literate (Without Educational Level)
..	..	3	..	..	..	87	..	2	..	206	141	Primary or Junior Basic
..	..	2	..	..	..	29	..	13	3	16	11	Matriculation and Above

TABLE B-IV

INDUSTRIAL CLASSIFICATION OF PERSONS AT WORK OTHER THAN AT CULTIVATION BY SEX AND CLASS OF WORKER

This table corresponds more or less to the Union Table B-III of the 1951 Census.

It divides the working population, other than persons at work in cultivation, industrially into 9 Divisions, 45 Major Groups, 343 Minor Groups and into four statuses of employment. The Indian Census Economic Classification adopted at the 1951 Census was neither a purely industrial nor occupational classification of the population but was a combination of both. There were only ten divisions and eighty subdivisions of industries and services. The present classification follows the National Classification of Industries adopted by the Government of India with some suitable minor modifications within the framework. This table deals only with the industrial classification of workers. The workers in Household Industries are classified into two employment statuses, namely, Employee and Others. The workers in Non-Household Industries are classified by the four statuses of employment, namely, Employer, Employee, Single Worker and Family Worker against Employer, Employee and Independent Worker in the 1951 Census. An Employer is a person who has to employ other persons in order to carry on the business from which he secures his livelihood. He is not only responsible for his own personal work but also for giving work to others in the business. But a person who employs domestic servants for household duties or has subordinates under him in an office where he is employed by others is not an employer, even if he has the power to employ another person (s) in his office on behalf of his own employer (s).

An Employee is a person who usually works under some other person for salary or wages in cash or kind. Persons employed as Manager, Superintendents, Agents, etc. and in that capacity employ or control other workers on behalf of their own employers are only employees.

A Single Worker is a person who works by himself but not as Head of household in a Household Industry. He is not employed by any one else and in his turn does not employ anybody else, not even members of his household except casually. This definition of a Single Worker will include a person who works in joint partnership with one or several persons hiring no employees and also a member of a Producers' Co-operative. Each one of the partners or members of such Producers' Co-operatives is treated as a Single Worker.

A Family Worker is a member who works without receiving wages in cash or kind, in an industry, business or trade conducted mainly by members of the family and ordinarily does at least one hour of work everyday during the working season. For the purpose of this definition, members of a family may be drawn from beyond the limits of the household by ties of blood or marriage. The Family Worker may not be entitled to a share of the profits in the work of the business carried on either by the person or head of the household or other relatives.

This table has three parts. Part A restricts itself to an account solely of persons at work at Household Industry. It presents data for employee and others only for major groups separately for total, rural and urban.

Part B deals with the persons at work in non-household industry, trade, business, profession or service by the four statuses of employment only for total and urban. This part of the table also gives data only for major groups.

Part C of the table furnishes data for each minor group of the Industrial Classification in respect of persons at work other than cultivation for total and urban. It does not classify the workers by status of employment.

This is a very important economic table as it gives the employment position in various sectors of the economy.

The Indian Standard Industrial Classification is reproduced below :—

STANDARD INDUSTRIAL CLASSIFICATION

DIVISION 0 : AGRICULTURE, LIVESTOCK, FORESTRY, FISHING AND HUNTING

Major Group	Description	Minor Group
00	**Field Produce & Plantation Crops**	
	Production of other crops (including vegetables) not covered by production of cereal crops, pulses, fibres, oil seeds, sugarcane and other cash crops	005
	Production of wood, bamboo, cane, reeds, thatching grass, etc	007
	Production of other agricultural produce (including fruits & nuts not covered by fruits and nuts in plantations, vines orchards and flowers) not covered above	009
01	**Plantation Crops**	
	Production of tea in plantation	010
	Production of tobacco, in plantation	013
	Production of plantation crops other than coffee, rubber, ganja, chinchona and opium	015
02	**Forestry and Logging**	
	Planting, replanting and conservation of forests	020
	Felling and cutting of trees and transportation of logs	021
	Preparation of timber	022
	Production of fuel including charcoal by exploitation of forest	023
	Production and gathering of other forest products not covered above	026
03	**Fishing**	
	Production of fish by fishing in inland waters including the operation of fish farms and fish hatcheries	031
04	**Livestock and Hunting**	
	Production and rearing of livestock (large heads only) mainly for milk and animal power such as cow, buffalo, goat	040
	Rearing and production of other animals (mainly for slaughter) such as pig	042
	Production of ducks, hens and other small birds, eggs by rearing and poultry farming	043
	Rearing of silk-worms and production of cocoons and raw silk	045
	Production of other animal husbandry products such as skin, bone, ivory and teeth	048

DIVISION 1 : MINING AND QUARRYING

10	**Mining and Quarrying**	
	Mining of coal	100
	Mining of crude petroleum and natural gas	106
	Quarrying of stone (including slate), clay, sand, gravel, limestone	107

Major Group	Description	Minor Group
20	**Food-Stuffs**	
	Production of rice, atta, flour, etc. by milling, dehusking and processing of crops and foodgrains	200
	Production of indigenous sugar, gur from sugarcane or palm juice and production of candy	202
	Production of fruit products such as jam, jelly, sauce and canning and preservation of fruits	203
	Production of bread, biscuits, cake and other bakery products	205
	Production of butter, ghee, cheese and other dairy products	206
	Production of edible fats and oil (other than hydrogenated oil)	207
	Production of other food products such as sweetmeat and condiments, muri, murki, chira, khoi, cocoa, chocolate, toffee, lozenge	209
21	**Beverages**	
	Production of country liquor	211
	Production of aerated and mineral water	214
	Production of ice	215
	Processing of tea in factories	217
22	**Tobacco Products**	
	Manufacture of bidi	220
	Manufacture of hookah tobacco	223
	Manufacture of other tobacco products	226
23	**Textile-Cotton**	
	Cotton spinning (other than in mills)	231
	Cotton dyeing, bleaching	233
	Cotton weaving in power looms	234
	Cotton weaving in handlooms	235
	Manufacturing of khadi textile in handlooms	236
	Manufacturing of cotton nets	238
	Mannfacturing of cotton, cordage, rope and twine	239
24	**Textile-Jute**	
	Jute pressing and baling	240
	Manufacture of other products like rope, cordage from jute and similar fibre such as hemp, mesta	244
25	**Textile-Wool**	
	Embroidery and art work in woolen textile	256
26	**Textile-Silk**	
	Weaving of silk textile by handloom	264
	Printing of silk textile	265
	Manufacture of silk cordage, rope & twine	266
27	**Textile-Miscellaneous**	
	Manufacture of hosiery and other knitted fabrics and garments	271
	Embroidery and making of crepe lace and fringes	272
	Making of textile garments including rain coats and headgear	273

Major Group	Description	Minor Group
	Manufacture of made-up textile goods except wearing apparel such as curtains, pillow cases, bedding materials, mattress, textile bags	274
	Manufacture of coir and coir products	277
	Manufacture of umbrellas	278
28	**Manufacture of Wood and Wooden Products**	
	Sawing and planning of wood	280
	Manufacture of wooden furniture and fixtures	281
	Manufacture of structural wooden goods (including treated timber) such as beams, posts, doors, windows	282
	Maunfacture of wooden industrial goods other than transport equipment such as bobbin and similar equipment and fixtures	283
	Manufacture of other wooden products such as utensils, toys, artwares	284
	Manufacture of veneer and plywood	285
	Manufacture of boxes and packing cases other than plywood	287
	Manufacture of materials from cork, bamboo, cane, leaves and other allied products	288
	Manufacture of other wood and allied products not covered above	289
29	**Paper and Paper Products**	
	Manufacture of pulp from wood, rags, wastepaper and other fibres and the conversion of such pulp into any kind of paper & paper board—handmade	291
	Manufacture of products, such as paper bags, boxes, cards, envelopes and moulded pulp goods from paper, paper board and pulp	292
30	**Printing and Publishing**	
	Printing and publishing of newspapers and periodicals	300
	All other types of printing including lithography, engraving, block making and other works connected with printing industry	302
	All types of binding, stitching and sizing and other allied works connected with binding industry	303
31	**Leather and Leather Products**	
	Currying, tanning and finishing of hides and skins and preparation of finished leather	310
	Manufacture of shoes and other leather footwear	311
	Manufactur of clothing and wearing apparel (except footwear) made of leather and fur	312
	Repair of shoes & other leather footwear	314
32	**Rubber, Petroleum and Coal Products**	
	Manufacture of tyres and tubes	320
	Manufacture of rubber footwear	321
	Production of petroleum, kerosene and other petroleum products in petroleum refineries	324
33	**Chemicals and Chemical Products**	
	Manufacture of fertilizers	332
	Manufacture of matches	334

Major Group	Description	Minor Group
	Manufacture of medicines, pharmaceutical preparations, perfumes, cosmetics and other toilet preparations except soap	335
	Manufacture of soap and other washing and cleaning compounds	336
	Manufacture of other chemicals and chemical products not covered above (including inedible oils and fats)	339
34-35	**Non-Metallic Mineral Products Other than Petroleum and Coal**	
	Manufacture of structural clay products such as brick, tile	340
	Manufacture of lime	342
	Manufacture of structural stone goods, stone dressing and stone crushing	343
	Manufacture of stone images	345
	Manufacture of asbestos products	347
	Manufacture of mica products	348
	Manufacture of earthenware and earthen pottery	350
	Manufacture of chinaware and crockery	351
	Manufacture of glass bangles and beads	353
	Manufacture of earthen image, busts and statues	355
	Manufacture of earthen toys and artwares except those covered by minor group 355	356
	Manufacture of glass and glass products except optical and photographic lenses and glass products covered above	357
	Manufacture of other non-metallic mineral products not elsewhere specified	359
36	**Basic Metals and their Products except Machinery and Transport Equipment**	
	Manufacture of iron and steel including smelting, refining, rolling, conversion into basic forms such as billets, blooms, tubes, rods	360
	Manufacture including smelting, refining of non-ferrous metals and alloys in basic forms	361
	Manufacture of armaments	362
	Manufacture of iron and steel furniture	364
	Manufacture of brass and bell metal products	365
	Manufacture of metal products (other than of iron brass, bell metal and aluminium) such as tin can	367
	Enamelling, galvanising, plating (including electroplating) polishing and welding of metal products	368
	Manufacture of sundry hardwares such as G. I. pipe, wire net, bolt, screw, bucket, cutlery (this will also include the manufacture of sundry ferrous engineering products done by jobbing engineering concerns which cannot be classified in major groups 36, 37, 38 and 39)	369
37	**Machinery (All kinds other than Transport and Electrical Equipment)**	
	Manufacture and assembling of machinery other than electrical, except textile machinery	370
	Manufacture of machine tools	372
	Manufacture of electric machinery and apparatus, appliances not specified above	379
38	**Transport Equipment**	
	Manufacture of wagons, coaches, tramway and other rail road equipment other than that covered by structural steel products such as joist, rail, sheet, plate	381

Division 2 & 3 :	MANUFACTURING (Concluded)	
Major Group	**Description**	**Minor Group**
	Manufacture and assembling of motor vehicles of all types (excepting motor engines)	382
	Repairing and servicing of motor vehicles	384
	Manufacture of bicycles and tricycles and accessories such as saddle, seat frame, gear	385
	Repairing of bicycles and tricycles	388
	Manufacture of other transport equipments such as animal drawn and hand drawn vehicles	389
39	**Miscellaneous Manufacturing Industries**	
	Assembling and repairing of watches and clocks	392
	Manufacture of jewellery, silverware and wares using gold and other precious metal	393
	Manufacture and tuning of musical instruments	394
	Manufacture of sports goods	396
	Manufacture and repair work of goods not assignable to any other group	399

DIVISION 4 :	CONSTRUCTION	
40	**Construction**	
	Construction and maintenance of buildings including erection, flooring, decorative constructions, electrical & sanitary installations	400
	Construction and maintenance of roads, railways, bridges, tunnels	401
	Construction and maintenance of telegraph and telephone lines	402
	Construction and maintenance of waterways and water reservoirs such as bund, embankments, dam, canal, tank, tubewell, wells	403

DVISION 5 :	ELECTRICITY, GAS, WATER & SANITARY SERVICES	
50	**Electricity and Gas**	
	Generation and transmission of electric energy	500
51	**Water supply and Sanitary Services**	
	Collection, purification and distribution of water to domestic and industrial consumers	510

DIVISION 6 :	TRADE AND COMMERCE	
60-63	**Wholesale Trade**	
	Wholesale trading in cereals and pulses	600
	Wholesale trading in vegetables, fruits, sugar, spices, oil, fish, dairy products, eggs, poultry and other food-stuff (not covered elsewhere)	601

Major Group	Description	Minop Group
	Wholesale trading in all kinds of fabrics and textile products such as garments, hessian, gunny bag, silk and woolen yarn, shirtings, suitings, hosiery products	602
	Wholesale trading in beverages, such as tea (leaf) coffee (seed and powder), aerated water	603
	Wholesale trading in tobacco, bidi, cigarettes and other tobacco products	606
	Wholesale trading in animals	607
	Wholesale trading in straw and fodder	608
	Wholesale trading in medicines and chemicals	610
	Wholesale trading in fuel and lighting products such as coke, coal, kerosene, candle	611
	Wholesale trading in toilets, perfumery and cosmetics	612
	Wholesale trading in metal, porcelain and glass utensils, crockery, chinaware	613
	Wholesale trading in wooden, steel and other metallic furniture and fittings	614
	Wholesale trading in other household equipments not covered above	618
	Wholesale trading in wood, bamboo, cane, thatches and similar products	621
	Wholesale trading in paper and other stationery goods	630
	Wholesale trading in agricultural and industrial machinery equipment and tools and appliances other than electrical	631
	Wholesale trading in electrical machinery and equipment, like motor, battery, electric fan, bulb	632
	Wholesale trading in all kinds of transport and storage equipments	633
	Wholesale trading in skins, leather and fur	634
	Wholesale trading in clocks, eye glasses, frames	635
	Wholesale trading in precious metals and stones, gold and silverwares and jewellery	638
	Wholesale trading in all goods not covered above	639
64-68	**Retail Trade**	
	Retail trading in cereals, pulses, vegetables, fruits, sugar, spices, oil, fish, dairy products, eggs, poultry	640
	Retail trading in beverages such as tea (leaf), coffee (seed and powder), aerated water	641
	Retail trading in other intoxicants such as opium, ganja, etc.	643
	Retail trading in tobacco, bidi, cigarettes and other tobacco products	644
	Retail trading in fuel such as coke, coal, firewood and kerosene	645
	Retail trading in food-stuff like sweetmeat, condiments, cakes, biscuits, etc.	646
	Retail trading in animals	647
	Retail trading in straw and fodder	648
	Retail trading in fibres, yarns, dhoti, saree, readymade garments of cotton, wool, silk and other textile and hosiery products : (this includes retail trading in piece-goods of cotton, wool, silk and other textiles)	650
	Retail trading in toilet goods, perfumes and cosmetics	651
	Retail trading in medicines and chemicals	652
	Retail trading in footwear, headgear such as hat, umbrella, shoes and chappals	653
	Retail trading in tyres, tube and allied rubber products	654
	Retail trading in petrol, mobiloil and allied products	655
	Retail trading in wooden, steel and other metallic furniture and fittings	660
	Retail trading in stationery goods and paper	661
	Retail trading in metal, porcelain and glass utensils	662
	Retail trading in earthenware and earthen toys	663
	Retail trading in other household equipments not covered above	664
	Retail trading in bricks, tile and other building materials	670
	Retail trading in hardware and sanitary equipments	671

Division 6 : TRADE AND COMMERCE (Concluded)

Major Group	Description	Minor Group
	Retail trading in wood, bamboo, cane, bark and thatches	672
	Retail trading in other building materials	673
	Retail trading in agricultural and industrial machinery equipments, tools and appliances	680
	Retail trading in transport and storage equipments	681
	Retail trading in electrical goods like electric fan, bulb	682
	Retail trading in skins, leather and furs and their products excluding footwear and headgear	683
	Retail trading in clock & watch, eye glass, frame	684
	Retail trading in scientific, medical and surgical instruments	685
	Retail trading in precious stones and jewellery	686
	Retail trading in musical instruments, gramophone records, pictures and paintings including curio dealing	687
	Book-selling	688
	Retail trading in goods unspecified	689
69	**Trade and Commerce Miscellaneous**	
	Importing and exporting of goods and commodities	690
	Providents and insurances	693
	Money lending (indigenous)	694
	Banking and similar type of financial operation	695
	All other activities connected with trade and commerce not covered above, including hiring out of durable goods such as electric fan, microphone, rickshaw, etc.	699

DIVISION 7 : TRANSPORT, STORAGE AND COMMUNICATIONS

70-71	**Transport**	
	Transporting by railways	700
	Transporting by tramway and bus service	701
	Transporting by motor vehicles (other than omnibus)	702
	Transporting by road through other means of transport such an hackney carriage, bullock cart, ekka	703
	Animal transporting by animals such as horses, elephant, mule, camel	704
	Transporting by man such as carrying of luggage, hand-cart driving, rickshaw pulling, cycle rickshaw driving	705
	Transporting by boat, steamer, ferry, etc., by river, canal	706
	Transporting by air	708
	Transporting by other means not covered above	709
	Services incidental to transport such as packing, crating travel agency	710
72	**Storage and Ware Housing**	
	Operation of storage such as ware-houses	720
73	**Communications**	
	Postal, telegraphic, wireless and signal communication	730
	Telephone communication	731
	Information and broadcasting	732

Major Group	Description	Minor Group
80	**Public Service**	
	(This does not include Govt., Quasi Govt. or local body activities, other than administrative, in such fields as transport, communication, information and broadcasting, education and scientific services, health, industries, production, construction, marketing and operation of financial institutions each of which is classified in the appropriate industry groups)	
	Public service in police	803
	Public service in administrative departments and offices of Central Government	804
	Public service in administrative departments and offices of quasi-government organisation, municipalities, local boards, etc.	805
	Public service in administrative departments and offices of State Governments	809
81	**Educational and Scientific Services**	
	Educational services such as those rendered by technical colleges, techincal schools and similar technical and vocational institutions	810
	Educational services such as those rendered by colleges, schools and similar other institutions of non-technical type	811
	Scientific services and research institutions not capable of classification under any individual group	812
82	**Medical and Health Services**	
	Public health and medical services rendered by organisations and individuals such as by hospitals, sanatoria, nursing homes, maternity and child welfare clinic as also by hakimi, unani, ayurvedic, allopathic and homoepathic practitioners	820
	Veterinary services rendered by organisations and individuals	821
83	**Religious and Welfare Services**	
	Religious services rendered by religious organisations and their establishments maintained for worship or promotion of religious activities, (this includes missions, ashrams and other allied organisations)	830
	Religious and allied services rendered by pandit, priest, preceptors, fakir, monk	831
	Welfare services rendered by organisations operating on a non-profit basis for the promotion of welfare of the community such as relief societies, red-cross organisation for the collection and allocation of contributions for charity	832
84	**Legal Services**	
	Legal services rendered by barrister, advocate, solicitor, mukteer, pleader, muhurie, munshi	840
	Matrimonial services rendered by organisations and individuals	841
85	**Business Services**	
	Engineering services rendered by professional organisations or individuals	850
	Business, services rendered by organisations of accountants, auditors, book-keepers or like individuals	851
	Business services rendered by professional organisations or individuals such as those of advertising and publicity agencies	852
	Business services rendered by professional organisations or individuals such as those rendered by news-agency, newspaper correspondent, columnist, journalists, editors, authors	853

Division 8 :	SERVICES (Concluded)	
Major Group	**Description**	**Minor Group**
86	**Community Services and Trade & Labour Association**	
	Services rendered by trade associations, chambers of commerce, trade unions and similar other organisations	860
	Services rendered by civic, social, cultural, political and fraternal organisation such as rate-payers' association, club, library	861
	Community services such as those rendered by public libraries, museums, botanical and zoological gardens, etc.	862
87	**Recreation Services**	
	Recreation services rendered by cinema houses by exhibition of motion pictures	871
	Recreation services rendered by organisations and individuals such as those of theatres, opera companies, ballet and dancing parties, musicians, exhibitions, circus carnivals	872
88	**Personal Services**	
	Services rendered to households such as those by domestic servants, cooks	880
	Services rendered to households such as those by governess, tutor, private secretary	881
	Services rendered by hotels, boarding houses, eating houses, cafe restaurants and similar other organisations to provide lodging and boarding facilities	882
	Laundry service rendered by organisations and individuals, this includes all types of cleaning, dyeing, bleaching, drycleaning services	883
	Hair dressing, other services rendered by organisation and individuals such as those by barber, hairdressing saloon and beauty shops	884
	Services rendered by portrait and commercial photographic studios	885
89	**Services (Not Elsewhere Classified)**	
	Services rendered by organisations or individuals not elsewhere classified	890

DIVISION 9 :	ACTIVITIES NOT ADEQUATELY DESCRIBED	
90	**Activties unspecified and not adequately described (This includes new entrants to the Labour market)**	
	Activities unspecified and not adequately described including activities of such individuals who fail to provide sufficient information about their industrial affiliation to enable them to be classified	900

B-IV PART A—INDUSTRIAL CLASSIFICATION BY SEX AND CLASS OF WORKER OF PERSONS AT WORK AT HOUSEHOLD INDUSTRY

NOWGONG DISTRICT

Branch of Industry		TOTAL RURAL URBAN	TOTAL		EMPLOYEE		OTHERS	
Division & Major Group of I. S. I. C.			Males	Females	Males	Females	Males	Females
1		2	3	4	5	6	7	8
All Divisions		T	1,511	22,125	267	385	1,244	21,740
		R	1,092	21,849	185	385	907	21,464
		U	419	276	82	..	337	276
Division	0	T	27	..	..	..	27	..
		R	27	..	..	..	27	..
		U	..	..	..	..	..	..
Major Group	00	T	23	..	..	..	23	..
		R	23	..	..	..	23	..
		U	..	..	..	..	..	..
" "	03	T	4	..	..	..	4	..
		R	4	..	..	..	4	..
		U	..	..	..	..	..	..
Division	2 & 3	T	1,484	22,125	267	385	1,217	21,740
		R	1,065	21,849	185	385	880	21,464
		U	419	276	82	..	337	276
Major Group	20	T	35	30	2	2	33	28
		R	19	24	..	2	19	22
		U	16	6	2	..	14	6
" "	22	T	9	..	7	..	2	..
		R	..	..	..	..	..	..
		U	9	..	7	..	2	..
" "	23	T	591	22,050	150	383	441	21,667
		R	542	21,802	139	383	403	21,419
		U	49	248	11	..	38	248
" "	25	T	..	2	..	..	..	2
		R	..	2	..	..	..	2
		U	..	..	..	..	..	..
" "	27	T	123	21	15	..	108	21
		R	53	10	..	..	53	10
		U	70	11	15	..	55	11
" "	28	T	354	15	51	..	303	15
		R	266	10	23	..	243	10
		U	88	5	28	..	60	5
" "	29	T	..	1	..	..	..	1
		R	..	1	..	..	..	1
		U	..	..	..	..	..	..
" "	31	T	10	..	2	..	8	..
		R	2	..	1	..	1	..
		U	8	..	1	..	7	..

B-IV PART A—INDUSTRIAL CLASSIFICATION BY SEX AND CLASS OF WORKER OF PERSONS AT WORK AT HOUSEHOLD INDUSTRY

NOWGONG DISTRICT

Branch of Industry		TOTAL RURAL URBAN	TOTAL		EMPLOYEE		OTHERS	
Division & Major Group of I. S. I. C.			Males	Females	Males	Females	Males	Females
1		2	3	4	5	6	7	8
Major Group	32	T	2	..	1	..	1	..
		R	..	..	..	..	..	..
		U	2	..	1	..	1	..
" "	33	T	5	1	1	..	4	1
		R	..	..	..	..	..	..
		U	5	1	1	..	4	1
" "	34-35	T	106	5	2	..	104	5
		R	42	..	1	..	41	..
		U	64	5	1	..	63	5
" "	36	T	62	..	6	..	56	..
		R	43	..	1	..	42	..
		U	19	..	5	..	14	..
" "	38	T	98	..	10	..	88	..
		R	9	..	..	..	9	..
		U	89	..	10	..	79	..
" "	39	T	89	..	20	..	69	..
		R	89	..	20	..	69	..
		U	..	..	..	..	..	..

B-IV PART A—INDUSTRIAL CLASSIFICATION BY SEX AND CLASS OF WORKER OF PERSONS AT WORK AT HOUSEHOLD INDUSTRY

NOWGONG DISTRICT (DOWN TO POLICE STATION) RURAL

BRANCH OF INDUSTRY		TOTAL		EMPLOYEE		OTHERS	
DIVISION OF I.S.I.C.		Males	Females	Males	Females	Males	Females
1		2	3	4	5	6	7
			LAHARIGHAT P.S.				
Division	2 & 3	51	2,643	7	44	44	2,599
			DHING P.S.				
Division	2 & 3	7	802	..	13	7	789
			RUPAHIHAT P.S.				
Division	0	3	..	..	..	3	..
"	2 & 3	80	347	13	5	67	342
			KALIABOR P.S.				
Division	2 & 3	32	1,340	4	26	28	1,314
			MARIGAON P.S.				
Division	0	9	..	..	..	9	..
"	2 & 3	359	6,813	64	117	295	6,696
			RAHA P.S.				
Division	0	2	..	..	..	2	..
"	2 & 3	59	4,837	9	86	50	4,751
			NOWGONG P.S.				
Division	0	3	..	..	..	3	..
"	2 & 3	93	2,962	18	49	75	2,913
			SAMAGURI P.S.				
Division	2 & 3	8	253	1	3	7	250
			JAMUNAMUKH P.S.				
Division	0	4	..	..	..	4	..
"	2 & 3	122	1,004	23	24	99	980
			LANKA P.S.				
Division	0	6	..	..	..	6	..
"	2 & 3	254	821	46	15	208	806
			LUMDING P.S.				
Division	2 & 3	..	27	..	3	..	24

B-IV PART B –INDUSTRIAL CLASSIFICATION BY SEX AND CLASS OF WORKER OF PERSONS AT WORK IN NON-HOUSEHOLD INDUSTRY, TRADE, BUSINESS, PROFESSION OR SERVICE

NOWGONG DISTRICT

Branch of Industry: Division and Major Group of I.S.I.C.		Total Urban	Total		Employer		Employee		Single-Worker		Family-Worker	
			Males	Females	Males	Females	Males	Females	Males	Females	Males	Females
1		2	3	4	5	6	7	8	9	10	11	12
All Divisions		T	66,137	10,772	1,217	23	36,949	8,142	18,067	1,105	9,904	1,502
		U	22,913	749	588	2	13,716	493	6,837	194	1,777	60
Division	0	T	9,893	7,199	27	..	8,163	6,187	655	354	1,048	658
		U	114	4	8	..	57	4	28	..	21	..
Major Group	00	T	82	..	3	..	33	..	4	..	42	..
		U	20	..	3	..	15	..	..	..	2	..
,, ,,	01	T	7,218	7,105	4	..	6,962	6,166	93	342	159	597
		U	25	..	2	..	18	..	3	..	2	..
,, ,,	02	T	158	5	1	..	112	1	17	3	28	1
		U	13	..	1	..	6	..	6	..	..	..
,, ,,	03	T	669	4	4	..	158	3	210	..	297	1
		U	23	1	..	..	1	1	7	..	15	..
,, ,,	04	T	1,766	85	15	..	898	17	331	9	522	59
		U	33	3	2	..	17	3	12	..	2	..
Division	1	T	2	255	..	..	1	255	1	..	..	..
		U	2	..	..	..	1	..	1	..	..	..
Major Group	10	T	2	255	..	..	1	255	1	..	..	..
		U	2	..	..	..	1	..	1	..	..	..
Division	2 & 3	T	8,145	680	315	4	3,127	189	2,942	119	1,761	368
		U	3,054	67	97	..	1,569	17	1,041	45	347	5
Major Group	20	T	1,434	402	48	4	701	47	529	55	156	296
		U	656	14	19	..	480	..	132	14	25	..
,, ,,	21	T	111	7	..	..	24	3	14	4	73	..
		U	9	..	..	..	..	..	9	..	..	..
,, ,,	22	T	43	..	..	..	38	..	3	..	2	..
		U	25	..	..	..	21	..	2	..	2	..
,, ,,	23	T	133	73	2	..	87	20	26	46	18	7
		U	119	49	2	..	82	15	19	31	16	3
,, ,,	24	T	114	..	4	..	82	..	24	..	4	..
		U	112	..	4	..	80	..	24	..	4	..
,, ,,	26	T	4	23	..	..	1	..	2	..	1	23
		U	3	..	..	..	1	..	1	..	1	..
,, ,,	27	T	1,639	9	38	..	628	3	606	3	367	3
		U	600	1	20	..	295	..	223	..	62	1
,, ,,	28	T	2,041	10	137	..	583	8	845	1	476	1
		U	505	..	6	..	145	..	279	..	75	..
,, ,,	29	T	1	..	..	..	..	..	1	..	..	..
		U	1	..	..	..	..	..	1	..	..	..
,, ,,	30	T	41	..	3	..	26	..	8	..	4	..
		U	41	..	3	..	26	..	8	..	4	..
,, ,,	31	T	261	2	3	..	32	1	164	1	62	..
		U	114	..	2	..	5	..	72	..	35	..
,, ,,	32	T	32	..	1	..	13	..	15	..	3	..
		U	24	..	1	..	12	..	8	..	3	..

B-IV PART B—INDUSTRIAL CLASSIFICATION BY SEX AND CLASS OF WORKER OF PERSONS AT WORK IN NON-HOUSEHOLD INDUSTRY, TRADE, BUSINESS, PROFESSION OR SERVICE (Contd.)

NOWGONG DISTRICT

Branch of Industry: Division and Major Group of I.S.I.C.		Total Urban	Total		Employer		Employee		Single-Worker		Family-Worker	
			Males	Females	Males	Females	Males	Females	Males	Females	Males	Females
1		2	3	4	5	6	7	8	9	10	11	12
Major Group	33	T	122	3	24	..	75	2	15	..	8	1
		U	70	2	7	..	44	1	11	..	8	1
,, ,,	34-35	T	478	149	8	..	101	103	209	9	160	37
		U	31	..	4	..	15	..	6	..	6	..
,, ,,	36	T	457	1	15	..	215	1	120	..	107	..
		U	145	1	5	..	62	1	43	.	35	..
,, ,,	37	T	22	..	1	..	16	..	2	..	3	..
		U	18	..	1	..	14	..	1	..	2	..
,, ,,	38	T	574	..	15	..	262	..	204	..	93	..
		U	349	..	9	..	164	..	137	..	39	..
,, ,,	39	T	638	1	16	..	243	1	155	..	224	..
		U	232	..	14	..	123	..	65	..	30	..
Division	4	T	2,287	149	48	..	757	23	1,482	126	..	..
		U	411	1	31	..	180	..	200	1	..	..
Major Group	40	T	2,287	149	48	..	757	23	1,482	126	..	..
		U	411	1	31	..	180	..	200	1	..	..
Division	5	T	49	..	..	..	44	..	5	..	..	..
		U	49	..	..	..	44	..	5	..	..	..
Major Group	50	T	41	..	..	..	41	..	..	..	..	..
		U	41	..	..	..	41	..	..	..	..	..
,, ,,	51	T	8	..	..	..	3	..	5	..	..	..
		U	8	..	..	..	3	..	5	..	..	..
Division	6	T	15,299	270	544	10	3,449	24	7,069	80	4,237	156
		U	6,462	46	319	..	1,423	8	3,627	30	1,093	8
Major Group	60-63	T	571	2	14	..	143	2	207	..	207	..
		U	120	..	8	..	62	..	39	..	11	..
,, ,,	64-68	T	14,671	259	527	10	3,261	22	6,854	71	4,029	156
		U	6,285	46	308	..	1,316	8	3,580	30	1,081	8
,, ,,	69	T	57	9	3	..	45	..	8	9	1	..
		U	57	..	3	..	45	..	8	..	1	..
Division	7	T	8,494	112	57	..	6,693	80	1,148	6	596	26
		U	5,155	70	49	..	4,276	66	733	2	97	2
Major Group	70-71	T	8,121	105	57	..	6,320	73	1,148	6	596	26
		U	5,025	66	49	..	4,146	62	733	2	97	2
,, ,,	72	T	1	..	..	..	1	..	..	..	..	..
		U	..	..	..	..	..	..	..	..	..	..
,, ,,	73	T	372	7	..	..	372	7	..	..	..	..
		U	130	4	..	..	130	4	..	..	..	..
Division	8	T	20,103	2,016	213	6	14,412	1,377	3,300	408	2,178	225
		U	7,671	561	84	2	6,166	398	1,202	116	219	45
Major Group	80	T	4,296	258	..	..	4,296	258	..	..	..	..
		U	1,206	58	..	..	1,206	58	..	..	..	..
,, ,,	81	T	4,063	637	9	1	3,190	610	569	12	295	14
		U	536	147	2	1	472	138	54	1	8	7

B-IV PART B—INDUSTRIAL CLASSIFICATION BY SEX AND CLASS OF WORKER OF PERSONS AT WORK IN NON-HOUSEHOLD INDUSTRY, TRADE, BUSINESS, PROFESSION OR SERVICE (Concld.)

NOWGONG DISTRICT

Branch of Industry		Total Urban	Total		Employer		Employee		Single-Worker		Family-Worker	
Division and Major Group of I.S.I.C.			Males	Females	Males	Females	Males	Females	Males	Females	Males	Females
1		2	3	4	5	6	7	8	9	10	11	12
Major Group	82	T	1,562	137	16	..	901	117	309	15	336	5
		U	218	28	6	..	114	26	80	2	18	..
,, ,,	83	T	500	60	2	2	127	4	319	52	52	2
		U	109	8	..	..	44	2	54	6	11	..
,, ,,	84	T	299	..	4	..	59	..	234	..	2	..
		U	175	..	4	..	27	..	142	..	2	..
,, ,,	85	T	265	19	9	2	83	8	147	7	26	2
		U	89	1	4	..	51	..	33	1	1	..
,, ,,	86	T	507	107	1	..	92	107	98	..	316	..
		U	17	1	1	..	11	1	4	..	1	..
,, ,,	87	T	188	5	1	..	105	1	73	2	9	2
		U	143	1	..	..	87	1	54	..	2	..
,, ,,	88	T	4,992	542	141	1	2,565	240	1,253	172	1,033	129
		U	1,843	189	37	1	1,160	140	565	14	81	34
,, ,,	89	T	3,431	251	30	..	2,994	32	298	148	109	71
		U	3,335	128	30	..	2,994	32	216	92	95	4
Division	9	T	1,865	91	13	3	303	7	1,465	12	84	69
		U	..	..	..	..	..	..	..	..	..	..
Major Group	90	T	1,865	91	13	3	303	7	1,465	12	84	69
		U	..	..	..	..	..	..	..	..	..	..

B-IV PART B—INDUSTRIAL CLASSIFICATION BY SEX AND CLASS OF WORKER OF PERSONS AT WORK IN NON-HOUSEHOLD INDUSTRY, TRADE, BUSINESS, PROFESSION OR SERVICE

NOWGONG DISTRICT (Down to Police Station) RURAL

Branch of Industry		Total		Employer		Employee		Single-Worker		Family-Worker	
Division of I.S.I.C.		Males	Females	Males	Females	Males	Females	Males	Females	Males	Females
1		2	3	4	5	6	7	8	9	10	11
LAHARIGHAT POLICE STATION											
ALL DIVISIONS		3,075	197	67	..	1,254	61	987	80	767	56
DIVISION	0	77	14	2	..	59	11	7	1	9	2
,,	2 & 3	569	62	23	..	168	14	225	7	153	41
,,	4	45	77	..	..	12	12	33	65	..	..
,,	6	1,160	11	29	..	256	1	443	1	432	9
,,	7	176	..	..	..	125	..	25	..	26	..
,,	8	910	33	11	..	609	23	149	6	141	4
,,	9	138	..	2	..	25	..	105	..	6	..
DHING POLICE STATION											
ALL DIVISIONS		893	20	19	..	420	11	270	5	184	4
DIVISION	0	2	..	..	..	2	..	..	..	..	..
,,	2 & 3	125	..	6	..	43	..	40	..	36	..
,,	4	3	..	..	..	1	..	2	..	..	..
,,	6	233	1	7	..	61	..	96	..	69	1
,,	7	28	..	1	..	17	..	6	..	4	..
,,	8	441	17	5	..	284	11	80	4	72	2
,,	9	61	2	..	..	12	..	46	1	3	1
RUPAHIHAT POLICE STATION											
ALL DIVISIONS		2,871	80	57	2	1,301	42	878	18	635	18
DIVISION	0	93	1	1	..	77	..	6	..	9	1
,,	2 & 3	484	11	19	..	154	4	167	5	144	2
,,	4	51	..	..	..	14	..	37	..	..	..
,,	6	894	9	21	1	212	2	355	3	306	3
,,	7	166	..	..	..	124	..	29	..	13	..
,,	8	1,030	53	12	1	695	35	168	10	155	7
,,	9	153	6	4	..	25	1	116	..	8	5
KALIABOR POLICE STATION											
ALL DIVISIONS		6,319	2,907	63	3	4,104	2,351	1,170	214	982	339
DIVISION	0	3,252	2,510	6	..	2,671	2,094	212	140	363	276
,,	1	..	96	..	..	..	96	..	..	..	..
,,	2 & 3	644	15	26	..	203	7	239	1	176	7
,,	4	114	19	2	..	35	3	77	16	..	..
,,	6	669	33	18	2	173	3	260	7	218	21
,,	7	409	..	1	..	303	..	41	..	64	..
,,	8	1,069	221	10	..	692	146	210	47	157	28
,,	9	162	13	..	1	27	2	131	3	4	7

B-IV PART B—INDUSTRIAL CLASSIFICATION BY SEX AND CLASS OF WORKER OF PERSONS AT WORK IN NON-HOUSEHOLD INDUSTRY, TRADE, BUSINESS, PROFESSION OR SERVICE (Contd.)

NOWGONG DISTRICT (Down to Police Station) RURAL

Branch of Industry		Total		Employer		Employee		Single-Worker		Family-Worker	
Division of I.S.I.C.		Males	Females	Males	Females	Males	Females	Males	Females	Males	Females
1		2	3	4	5	6	7	8	9	10	11
									1		
MARIGAON POLICE STATION											
ALL DIVISIONS		4,020	482	52	3	2,155	332	1,111	65	702	82
DIVISION	0	827	239	2	..	680	206	52	11	93	22
,,	1	..	13	..	..	..	13	..	..	..	..
,,	2 & 3	295	1	13	..	98	..	111	..	73	1
,,	4	483	21	5	..	147	4	331	17	..	..
,,	6	796	38	16	1	168	2	313	10	299	25
,,	7	425	28	..	..	299	8	57	4	69	16
,,	8	1,040	133	13	1	739	97	127	23	161	12
,,	9	154	9	3	1	24	2	120	..	7	6
RAHA POLICE STATION											
ALL DIVISIONS		4,353	624	63	2	2,168	427	1,241	74	881	121
DIVISION	0	481	276	1	..	381	234	28	13	71	29
,,	1	..	9	..	..	..	9	..	..	..	..
,,	2 & 3	580	82	28	1	173	22	225	8	154	51
,,	4	130	2	1	..	41	..	88	2	..	..
,,	6	1,018	4	20	..	213	..	423	1	362	3
,,	7	593	6	2	..	410	3	77	..	104	3
,,	8	1,333	230	11	..	916	159	221	47	185	24
,,	9	218	15	..	1	34	..	179	3	5	11
NOWGONG POLICE STATION											
ALL DIVISIONS		4,518	455	65	2	2,244	339	1,366	53	843	61
DIVISION	0	189	239	..	..	141	210	12	15	36	14
,,	1	..	14	..	..	..	14	..	..	..	..
,,	2 & 3	498	18	19	..	156	3	182	2	141	13
,,	4	260	1	2	..	81	1	177	..	..	..
,,	6	695	7	17	1	161	2	284	..	233	4
,,	7	453	..	2	..	330	..	57	..	64	..
,,	8	2,106	169	22	1	1,319	109	412	35	353	24
,,	9	317	7	3	..	56	..	242	1	16	6
SAMAGURI POLICE STATION											
ALL DIVISIONS		6,604	3,704	54	..	4,528	3,209	1,130	183	892	312
DIVISION	0	3,719	3,327	5	..	3,164	2,933	224	144	326	250
,,	1	..	107	..	..	..	107	..	..	..	..
,,	2 & 3	460	33	22	..	157	14	152	6	129	13
,,	4	251	1	2	..	81	..	168	1	..	..
,,	6	513	10	13	..	122	..	192	3	186	7
,,	7	239	1	..	..	171	1	30	..	38	..
,,	8	1,224	213	12	..	798	153	210	26	204	34
,,	9	198	12	..	..	35	1	154	3	9	8

B-IV PART B—INDUSTRIAL CLASSIFICATION BY SEX AND CLASS OF WORKER OF PERSONS AT WORK IN NON-HOUSEHOLD INDUSTRY, TRADE, BUSINESS, PROFESSION OR SERVICE (Concld.)

NOWGONG DISTRICT (Down to Police Station) RURAL

Branch of Industry		Total		Employer		Employee		Single-Worker		Family-Worker	
Division of I.S.I.C.		Males	Females	Males	Females	Males	Females	Males	Females	Males	Females
1		2	3	4	5	6	7	8	9	10	11
				JAMUNAMUKH POLICE STATION							
ALL DIVISIONS		5,729	995	97	2	2,770	689	1,682	125	1,180	179
DIVISION	0	833	537	2	..	676	462	67	22	88	53
"	1	..	15	..	..	..	15	..	..	..	..
"	2 & 3	715	100	34	1	201	29	278	11	202	59
"	4	390	27	3	..	119	3	268	24	..	..
"	6	1,436	16	38	1	313	2	552	1	533	12
"	7	328	5	1	..	234	2	48	..	45	3
"	8	1,759	273	18	..	1,186	175	261	67	294	31
"	9	268	22	1	..	41	1	208	..	18	21
				LANKA POLICE STATION							
ALL DIVISIONS		4,190	516	82	6	1,867	165	1,277	87	964	258
DIVISION	0	227	28	..	..	192	16	15	5	20	7
"	2 & 3	699	291	26	2	196	79	276	34	201	176
"	4	121	..	1	..	36	..	84	..	..	..
"	6	1,342	86	43	3	322	4	492	22	485	57
"	7	229	1	..	..	179	..	18	..	32	1
"	8	1,388	105	12	1	921	66	237	25	218	13
"	9	184	5	..	..	21	..	155	1	8	4
				LUMDING POLICE STATION							
ALL DIVISIONS		647	43	10	1	422	23	118	7	97	12
DIVISION	0	79	24	..	..	63	17	4	3	12	4
"	1	..	1	..	..	..	1	..	..	..	..
"	2 & 3	22	..	2	..	9	..	6	..	5	..
"	4	28	..	1	..	10	..	17	..	..	..
"	6	81	9	3	1	25	..	32	2	21	6
"	7	293	1	1	..	225	..	27	..	40	1
"	8	132	8	3	..	87	5	23	2	19	1
"	1	12	..	..	..	3	..	9	..	..	..

B-IV PART C—INDUSTRIAL CLASSIFICATION BY SEX AND DIVISIONS, MAJOR GROUPS AND MINOR GROUPS OF PERSONS AT WORK OTHER THAN CULTIVATION

Minor groups having less than 1% of workers of the respective Division (less than 0·5% in case of minor groups of Division 2 & 3), have not been shown in this table. Divisions thus affected are marked with an asterisk (*)

NOWGONG DISTRICT

Branch of Industry		Total Workers						Workers at Household Industry				Workers in Non-Household Industry etc.			
Division, Major Group and Minor Group of I. S. I. C.		Total			Urban			Total		Urban		Total		Urban	
		Persons	Males	Females	Persons	Males	Females	Males	Females	Males	Females	Males	Females	Males	Females
1		2	3	4	5	6	7	8	9	10	11	12	13	14	15
All Divisions		100,545	67,648	32,897	24,362	23,337	1,025	1,511	22,125	419	276	66,137	10,772	22,918	749
*Division	0	17,119	9,920	7,199	118	114	4	27	..	..	..	9,893	7,199	114	4
Major Group	00	105	105	..	20	20	..	23	..	..	..	82	..	20	..
,, ,,	01	14,323	7,218	7,105	25	25	..	..	..	..	..	7,218	7,105	25	..
Minor ,,	010	14,311	7,206	7,105	22	22	..	..	..	..	..	7,206	7,105	22	..
Major ,,	02	163	158	5	13	13	..	..	..	..	..	158	5	13	..
,, ,,	03	677	673	4	24	23	1	4	..	..	..	669	4	23	1
Minor ,,	031	677	673	4	24	23	1	4	..	..	..	669	4	23	1
Major ,,	04	1,851	1,766	85	36	33	3	..	..	..	..	1,766	85	33	3
Minor ,,	040	1,747	1,684	63	36	33	3	..	..	..	..	1,684	63	33	3
*Division	1	257	2	255	2	2	..	..	..	..	..	2	255	2	..
Major Group	10	257	2	255	2	2	..	..	..	..	..	2	255	2	..
Minor ,,	100	4	1	3	1	1	..	..	..	..	..	1	3	1	..
,, ,,	107	252	..	252	..	..	..	..	..	..	..	..	252	..	..
*Division	2&3	32,434	9,629	22,805	3,816	3,473	343	1,484	22,125	419	276	8,145	680	3,054	67
Major Group	20	1,901	1,469	432	692	672	20	35	30	16	6	1,434	402	656	14
Minor ,,	200	1,301	986	315	521	505	16	26	27	7	4	960	288	498	12
,, ,,	207	174	110	64	33	33	..	1	..	1	..	109	64	32	..
Major ,,	21	118	111	7	9	9	..	..	..	..	..	111	7	9	..
,, ,,	22	52	52	..	34	34	..	9	..	9	..	43	..	25	..
,, ,,	23	22,847	724	22,123	465	168	297	591	22,050	49	248	133	73	119	49
Minor ,,	231	524	156	368	2	..	2	156	352	..	1	..	16	..	1
,, ,,	235	22,223	521	21,702	422	140	282	429	21,664	49	244	92	38	91	38
Major ,,	24	114	114	..	112	112	..	..	..	..	..	114	..	112	..
,, ,,	25	2	..	2	..	..	..	..	2	..	..	..	..	..	..
,, ,,	26	27	4	23	3	3	..	..	..	..	..	4	23	3	..
,, ,,	27	1,792	1,762	30	682	670	12	123	21	70	11	1,639	9	600	1
Minor ,,	271	711	708	3	12	10	2	45	2	..	1	663	1	10	1
,, ,,	273	986	978	8	606	606	..	67	..	67	..	911	8	539	..
Major ,,	28	2,420	2,395	25	598	593	5	354	15	88	5	2,041	10	505	..
Minor ,,	280	457	452	5	45	45	..	1	..	1	..	451	5	44	..
,, ,,	281	1,293	1,293	..	474	474	..	184	..	79	..	1,109	..	395	..
,, ,,	282	332	332	..	39	39	..	1	..	..	..	331	..	39	..
,, ,,	288	208	194	14	19	19	..	162	10	8	..	32	4	11	..
Major ,,	29	2	1	1	1	1	..	..	1	..	..	1	..	1	..
,, ,,	30	41	41	..	41	41	..	..	..	..	..	41	..	41	..
,, ,,	31	273	271	2	122	122	..	10	..	8	..	261	2	114	..

B-IV PART C—INDUSTRIAL CLASSIFICATION BY SEX AND DIVISIONS, MAJOR GROUPS AND MINOR GROUPS OF PERSONS AT WORK OTHER THAN CULTIVATION (Contd.)

NOWGONG DISTRICT

Branch of Industry	Total Workers						Workers at Household Industry				Workers in Non-Household Industry etc.			
Division, Major Group and Minor Group of I. S. I. C.	Total			Urban			Total		Urban		Total		Urban	
	Persons	Males	Females	Persons	Males	Females	Males	Females	Males	Females	Males	Females	Males	Females
1	2	3	4	5	6	7	8	9	10	11	12	13	14	15
Minor Group 314	166	165	1	110	110	..	8	..	8	..	157	1	102	..
Major " 32	34	34	..	26	26	..	2	..	2	..	32	..	24	..
" " 33	131	127	4	78	75	3	5	1	5	1	122	3	70	..
" " 34-35	738	584	154	100	95	5	106	5	64	5	478	149	31	2
Minor " 350	439	288	151	27	22	5	14	5	9	5	274	146	13	..
Major " 36	520	519	1	165	164	1	62	..	19	..	457	1	145	..
Minor " 364	184	183	1	102	101	1	52	..	12	..	131	1	89	1
" " 365	216	216	..	21	21	..	8	..	6	..	208	..	15	1
Major " 37	22	22	..	18	18	..	..	..	..	..	22	..	18	..
" " 38	672	672	..	438	438	..	98	..	89	..	574	..	349	..
Minor " 384	277	277	..	244	244	..	72	..	72	..	205	..	172	..
" " 388	194	194	..	102	102	..	2	..	2	..	192	..	100	..
Major " 39	728	727	1	232	232	..	89	..	..	..	638	1	232	..
Minor " 393	545	544	1	168	168	..	89	..	..	..	455	1	168	..
*Division 4	2,436	2,287	149	412	411	1	..	..	..	..	2,287	149	411	..
Major Group 40	2,436	2,287	149	412	411	1	..	..	..	..	2,287	149	411	1
Minor " 400	1,043	934	109	311	310	1	..	..	..	..	934	109	310	1
" " 401	804	764	40	68	68	..	..	..	..	..	764	40	68	1
" " 403	567	567	..	33	33	..	..	..	..	..	567	..	33	..
Division 5	49	49	..	49	49	..	..	..	..	..	49	..	49	..
Major Group 50	41	41	..	41	41	..	..	..	..	..	41	..	41	..
Minor " 500	41	41	..	41	41	..	..	..	..	..	41	..	41	..
Major " 51	8	8	..	8	8	..	..	..	..	..	8	..	8	..
Minor " 510	8	8	..	8	8	..	..	..	..	..	8	..	8	..
*Division 6	15,569	15,299	270	6,508	6,462	46	..	..	..	..	15,299	270	6,462	46
Major Group 60-63	573	571	2	120	120	..	..	..	..	..	571	2	120	..
" " 64-68	14,930	14,671	259	6,331	6,285	46	..	..	..	..	14,671	259	6,285	46
Minor " 640	6,996	6,826	170	2,459	2,433	26	..	..	..	..	6,826	170	2,433	26
" " 641	324	323	1	41	41	..	..	..	..	..	323	1	41	..
" " 644	379	374	5	53	53	..	..	..	..	..	374	5	53	..
" " 645	288	288	..	44	44	..	..	..	..	..	288	..	44	..
" " 646	939	883	56	489	487	2	..	..	..	..	883	56	487	..
" " 650	1,219	1,210	9	793	788	5	..	..	..	..	1,210	9	788	2
" " 651	471	470	1	14	14	..	..	..	..	..	470	1	14	5
" " 652	170	170	..	117	117	..	..	..	..	..	170	..	117	..
" " 661	696	695	1	331	330	1	..	..	..	..	695	1	330	..
" " 664	346	345	1	11	11	..	..	..	..	..	345	1	11	1
" " 672	203	201	2	114	114	..	..	..	..	..	201	2	114	..
" " 680	220	220	..	3	3	..	..	..	..	..	220	..	3	..
" " 689	1,983	1,972	11	1,467	1,456	11	..	..	..	..	1,972	11	1,456	11
Major " 69	66	57	9	57	57	..	..	..	..	..	57	9	57	..

B-IV PART C—INDUSTRIAL CLASSIFICATION BY SEX AND DIVISIONS, MAJOR GROUPS AND MINOR GROUPS OF PERSONS AT WORK OTHER THAN CULTIVATION (Concld.)

NOWGONG DISTRICT

Branch of Industry		Total Workers						Workers at Household Industry				Workers in Non-Household Industry etc.			
Division, Major Group and Minor Group of I. S. I. C.		Total			Urban			Total		Urban		Total		Urban	
		Persons	Males	Females	Persons	Males	Females	Males	Females	Males	Females	Males	Females	Males	Females
1		2	3	4	5	6	7	8	9	10	11	12	13	14	15
*Division	7	8,606	8,494	112	5,225	5,155	70	..	..	..	..	8,494	112	5,155	70
Major Group	71	8, 26	8,121	105	5,091	5,025	66	..	..	..	..	8,121	105	5,025	66
Minor "	700	5,415	5,315	100	3,700	3,634	66	..	..	..	..	5,315	100	3,634	66
" "	701	230	226	4	83	83	..	..	..	..	..	226	4	83	..
" "	702	963	962	.1	501	501	..	..	..	..	..	962	1	501	..
" "	703	367	367	..	200	200	..	..	..	..	..	367	..	200	..
" "	704	120	120	..	21	21	..	..	..	..	..	120	..	21	..
" "	705	752	772	..	546	546	..	..	..	..	..	772	..	546	..
" "	706	187	187	..	2	2	..	..	..	..	..	187	..	2	..
" "	709	107	107	..	32	32	..	..	..	..	..	107	..	32	..
Major "	72	1	1	..	..	..	..	..	..	..	..	1	..	..	..
" "	73	379	372	7	134	130	4	..	..	..	..	372	7	130	4
Minor "	730	352	347	5	120	118	2	..	..	..	..	347	5	118	2
*Division	8	22.119	20,103	2,016	8,232	7,671	561	..	..	..	..	20,103	2,016	7,671	561
Major Group	80	4,554	4,296	258	1,254	1,206	58	..	..	..	..	4,296	258	1,206	58
Minor "	803	762	762	..	130	130	..	..	..	..	..	762	..	130	..
" "	804	606	586	20	136	134	2	..	..	..	..	586	20	134	2
" "	805	639	418	221	196	155	41	..	..	..	..	418	221	155	41
" "	809	2,547	2,530	17	802	787	15	..	..	..	..	2,530	17	787	15
Major "	81	4,700	4,063	637	683	536	147	..	..	..	..	4,063	637	536	147
Minor "	810	778	772	6	27	26	1	..	..	..	..	772	6	26	1
" "	811	3,921	3,290	631	656	510	146	..	..	..	..	3,290	631	510	146
Major "	82	1,699	1,562	137	246	218	28	..	..	..	..	1,562	137	218	28
Minor "	820	1,169	1,036	133	223	196	27	..	..	..	..	1,036	133	196	27
" "	821	530	526	4	23	22	1	..	..	..	..	526	4	22	1
Major "	83	560	500	60	117	109	8	..	..	..	..	500	60	109	8
Minor "	830	239	234	5	38	35	3	..	..	..	..	234	5	35	3
Major "	84	299	299	..	175	175	..	..	..	..	..	299	..	175	..
" "	85	284	265	19	90	89	1	..	..	..	..	265	19	89	1
" "	86	614	507	107	18	17	1	..	..	..	..	507	107	17	1
Minor "	862	246	246	..	1	1	..	..	..	..	..	246	..	1	..
Major "	87	103	188	5	144	143	1	..	..	..	..	188	5	143	1
" "	88	5,534	4,992	542	2,032	1,843	189	..	..	..	..	4,992	542	1,843	189
Minor "	880	3,665	3,215	450	1,139	975	164	..	..	..	..	3,215	450	975	164
" "	881	335	277	58	49	44	5	..	..	..	..	277	58	44	5
" "	882	572	571	1	466	465	1	..	..	..	..	571	1	465	1
" "	883	339	306	33	143	124	19	..	..	..	..	306	33	124	19
" "	884	601	601	..	214	214	..	..	..	..	..	601	..	214	..
Major "	89	3,682	3,431	251	3,463	3,335	128	..	..	..	..	3,431	251	3,335	128
Minor "	890	3,682	3,431	251	3,463	3,335	128	..	..	..	..	3,431	251	3,335	128
Division	9	1,956	1,865	91	..	..	..	..	..	..	..	1,865	91	..	..
Major Group	90	1,956	1,865	91	..	..	..	..	..	..	..	1,865	91	..	..
Minor "	900	1,956	1,865	91	..	..	..	..	..	..	..	1,865	91	..	..

APPENDIX TO TABLE B-IV PART C

NOWGONG DISTRICT

Minor groups having less than 1% of workers of the respective Division (Less than 0.5% in case of Minor Groups of Division 2 & 3), have been shown in this appendix.

The following abbreviations have been used :—

HI—Household Industry

NHI—Non-Household Industry

M—Males

F—Females

005 Total NHI (M 10), Urban NHI (M 7) ; 007 Total HI (M 23), NHI (M 59) ; 009 Total NHI (M 13), Urban NHI (M 13) ; 013 Total NHI (M 2) ; 015 Total NHI (M 10), U ban NHI (M 3) ; 020 Total NHI (M 66) ; 021 Total NHI (M 12), Urban NHI (M 11) ; 022 Total NHI (M 3), Urban NHI (M 1) ; 023 Total NHI (M 29 F 3), Urban NHI (M 1) ; 026 Total NHI (M 48 F 2) ; 042 Total NHI (F 4) ; 043 Total NHI (M 82 F 10) ; 045 Total NHI (F 7) ; 048 Total NHI (F 1) ; 106 Total NHI (M 1), Urban NHI (M 1) ; 202 Total NHI (M 118 F 2) ; 203 Total NHI (M 2), Urban NHI (M 1) ; 205 Total HI (M 3 F 1), NHI (M 135 F 1), Urban HI (M 3 F 1), NHI (M 89) ; 206 Total HI (M 1), NHI (M 17), Urban HI (M 1), NHI (M 1) ; 209 Total HI (M 4 F 2), NHI (M 93 F 47), Urban HI (M 4 F 1), NHI (M 35 F 2) ; 211 Total NHI (M 22 F 7) ; 214 Total NHI (M 8), Urban NHI (M 8) ; 215 Total NHI (M 1), Urban NHI (M 1) ; 217 Total NHI (M 80) ; 220 Total HI (M 9), NHI (M 35), Urban HI (M 9), NHI (M 18) ; 223 Total NHI (M 6), Urban NHI (M 5) ; 226 Total NHI (M 2), Urban NHI (M 2) ; 233 Total HI (F 4), NHI (M 11), Urban NHI (M 11) ; 234 Total HI (M 1), NHI (M 13 F 10), U ban NHI (M 13 F 10) ; 236 Total HI (M 2 F 11), NHI (F 1) ; 238 Total HI (M 3 F 18), NHI (M 5 F 5), Urban HI (F 2), NHI (M 3) ; 239 Total HI (F 1), NHI (M 12 F 3), Urban HI (F 1), NHI (M 1) ; 240 Total NHI (M 100), Urban NHI (M 100) ; 244 Total NHI (M 14), Urban NHI (M 12) ; 256 Total HI (F 2) ; 264 Total NHI (M 1 F 23), Urban NHI (M 1) ; 265 Total NHI (M 2), Urban NHI (M 2) ; 266 Total NHI (M 1) ; 272 Total HI (M 7 F 19), NHI (M 17), Urban HI (F 10), NHI (M 17) ; 274 Total HI (M 2), NHI (M 8), Urban HI (M 1), NHI (M 5) ; 277 Total NHI (M 26), Urban NHI (M 20) ; 278 Total HI (M 2), NHI (M 14), Urban HI (M 2), NHI (M 9) ; 283 Total NHI (M 7), Urban NHI (M 6) ; 284 Total NHI (M 10), Urban NHI (M 10) ; 285 Total HI (M 6), NHI (F 1) ; 287 Total NHI (M 31) ; 289 Total HI (F 5), NHI (M 70), Urban HI (F 5) ; 291 Total HI (F 1) ; 292 Total NHI (M 1), Urban NHI (M 1) ; 300 Total NHI (M 22), U ban NHI (M 22); 302 Total NHI (M6), Urban NHI (M 6) ; 303 Total NHI (M 13), Urban NHI (M 13) ; 310 Total HI (M 1), NHI (M 31), Urban NHI (M 4) ; 311 Total HI (M 1), NHI (M 72 F 1), Urban NHI (M 8) ; 312 Total NHI (M 1) ; 320 Total HI (M 2), NHI (M 8), Urban HI (M 2), NHI (M 8) ; 321 Total NHI (M 7) ; 324 Total NHI (M 17), Urban NHI (M 16) ; 332 Total NHI (M 1), Urban NHI (M 1) ; 334 Total NHI (M 10), Urban NHI (M 10) ; 335 Total HI (M 2), NHI (M 7), Urban HI (M 2), NHI (M 6) ; 336 Total HI (M 3 F 1), NHI (M 59 F 3), Urban HI (M 3 F 1), NHI (M 53 F 2) ; 339 Total NHI (M 45) ; 340 Total HI (M 59), NHI (M 54), Urban HI (M 50), NHI (M 10) ; 342 Total NHI (M 9) ; 343 Total HI (M 27), NHI (M 1) ; 345 Total NHI (M 1) ; 347 Total NHI (M 35) ; 348 Total NHI (M 4) ; 351 Total NHI (M 1), Urban NHI (M 1) ; 353 Total NHI (M 1), Urban NHI (M 1) ; 355 Total HI (M 5), NHI (M 20 F 3), Urban HI (M 4), NHI (M 6) ; 356 Total HI (M 1), Urban HI (M 1) ; 357 Total NHI (M 57) ; 359 Total NHI (M 21) ; 360 Total NHI (M 27) ; 361 Total NHI (M 4) ; 362 Total NHI (M 10), Urban NHI (M 10) ; 367 Total HI (M 1), NHI (M 33), Urban NHI (M 10) ; 368 Total HI (M 1), NHI (M 43),

Urban HI (M 1), NHI (M 20); 369 Total NHI (M 1), Urban NHI (M 1); 370 Total NHI (M 14), Urban NHI (M 12); 372 Total NHI (M 1); 379 Total NHI (M 7), Urban NHI (M 6); 381 Total NHI (M 3), Urban NHI (M 3); 382 Total HI (M 3), NHI (M 57), Urban HI (M 3); 385 Total HI (M 11), NHI (M 44); Urban HI (M 2), NHI (M 19); 389 Total HI (M 10), NHI (M 73), Urban HI (M 10), NHI (M 55); 392 Total NHI (M 117), Urban NHI (M 23); 394 Total NHI (M 22), Urban NHI (M 3); 396 Total NHI (M 1); 399 Total NHI (M 43), Urban NHI (M 38); 402 Total NHI (M 22); 600 Total NHI (M 91), Urban NHI (M 36); 601 Total NHI (M 40), Urban NHI (M 26); 602 Total NHI (M 13), Urban NHI (M 2); 603 Total NHI (M 24), Urban NHI (M 8); 606 Total NHI (M 75), Urban NHI (M 13); 607 Total NHI (M 20); 608 Total NHI (M 15); 610 Total NHI (M 6), Urban NHI (M 2); 611 Total NHI (M 46); 612 Total NHI (M 24), Urban NHI (M 1); 613 Total NHI (M 4), Urban NHI (M 1); 614 Total NHI (M 28); 618 Total NHI (M 7); 621 Total NHI (M 15), Urban NHI (M 11); 630 Total NHI (M 75), Urban NHI (M 4); 631 Total NHI (M 5); 632 Total NHI (M 1), Urban NHI (M 1); 633 Total NHI (M 5); 634 Total NHI (M 7); 635 Total NHI (M 1), Urban NHI (M 1); 638 Total NHI (M 9); 639 Total NHI (M 60, F 2), Urban NHI (M 14); 643 Total NHI (M 2); 647 Total NHI (M 78), Urban NHI (M 8); 648 Total NHI (M 43), Urban NHI (M 2); 653 Total NHI (M 112 F 1), Urban NHI (M 73); 654 Total NHI (M 4), Urban NHI (M 3); 655 Total NHI (M 35), Urban NHI (M 35); 660 Total NHI (M 50), Urban NHI (M 2); 662 Total NHI (M 49, F 1), Urban NHI (M 40 F 1); 663 Total NHI (M 21); 670 Total NHI (M 16), Urban NHI (M 2); 671 Total NHI (M 47), Urban NHI (M 47); 673 Total NHI (M 3), Urban NHI (M 3); 681 Total NHI (M 57), Urban NHI (M 57); 682 Total NHI (M 11), Urban NHI (M 11); 683 Total NHI (M 45), Urban NHI (M 19); 684 Total NHI (M 14), Urban NHI (M 10); 685 Total NHI (M 3); 686 Total NHI (M 35), Urban NHI (M 29); 687 Total NHI (M 29), Urban NHI (M 19); 688 Total NHI (M 40), Urban NHI (M 34); 690 Total NHI (F 6); 693 Total NHI (M 23), Urban NHI (M 23); 694 Total NHI (M 3), Urban NHI (M 3); 695 Total NHI (M 31), Urban NHI (M 31); 699 Total NHI (F 3); 708 Total NHI (M 15), Urban NHI (M 5); 710 Total NHI (M 50), Urban NHI (M 1); 720 Total NHI (M 1); 731 Total NHI (M 23, F 2), Urban NHI (M 11, F 2); 732 Total NHI (M 2), Urban NHI (M 1); 812 Total NHI (M 1); 831 Total NHI (M 205 F 5), Urban NHI (M 69, F 4); 832 Total NHI (M 61, F 50), Urban NHI (M 5 F 1); 840 Total NHI (M 177), Urban NHI (M 175); 841 Total NHI (M 122); 850 Total NHI (M 106, F 3), Urban NHI (M 8); 851 Total NHI (M 92), Urban NHI (M 78); 852 Total NHI (M 49, F 13); 853 Total NHI (M 18, F 3), Urban NHI (M 3, F 1); 860 Total NHI (M 51, F 105), Urban NHI (M 4); 861 Total NHI (M 210, F 2), Urban NHI (M 12, F 1); 871 Total NHI (M 131, F 5), Urban NHI (M 92, F 1); 872 Total NHI (M 57), Urban NHI (M 51); 885 Total NHI (M 22), Urban NHI (M 21).

TABLE B-V

OCCUPATIONAL CLASSIFICATION BY SEX OF PERSONS AT WORK OTHER THAN CULTIVATION

This is a new table for the 1961 Census. As discussed earlier in case of table B-IV, the classification adopted at the 1951 Census was a combination of industrial and occupational. Two separate tables are therefore prepared on the basis of industry and occupation of the workers in this Census.

This table classifies the workers other than at cultivation into 11 Occupational Divisions, 75 Groups and 331 Families according to their occupations. This classification follows the National Classification of Occupations adopted with minor modifications within the frame work. It gives data for each family of the National Classification of Occupations separately for total and urban and for persons, males and females, and thus brings out the distribution of occupations among males and females.

B-V OCCUPATIONAL CLASSIFICATION BY SEX OF PERSONS AT WORK OTHER THAN CULTIVATION

NOWGONG DISTRICT

Families having less than 1% of the workers of the respective Division, (less than 0.5% in case of families of Division 7-8), have not been shown in this table, but are given in the appendix to this table. Divisions thus affected are marked with an asterisk (*).

DIVISION, GROUP AND FAMILY		Total Workers					
		Total			Urban		
CATEGORY		Persons	Males	Females	Persons	Males	Females
1		2	3	4	5	6	7
ALL DIVISIONS							
TOTAL		100,545	67,648	32,897	24,362	23,337	1,025
	III	17,349	9,895	7,454	120	116	4
	IV	23,636	1,511	22,125	695	419	276
	V	8,825	8,145	680	3,121	3,054	67
	VI	2,436	2,287	149	412	411	1
	VII	15,569	15,299	270	6,508	6,462	46
	VIII	8,606	8,494	112	5,225	5,155	70
	IX	24,124	22,017	2,107	8,281	7,720	561
*DIVISION	0	PROFESSIONAL, TECHNICAL AND RELATED WORKERS					
TOTAL		5,839	5,033	806	1,405	1,271	134
	III	14	14	..	14	14	..
	V	7	7	..	7	7	..
	VI	1	1	..	1	1	..
	VIII	126	102	24	126	102	24
	IX	5,691	4,909	782	1,257	1,147	110
GROUP	00	ARCHITECTS, ENGINEERS AND SURVEYORS					
TOTAL		126	126	..	90	90	..
	III	3	3	..	3	3	..
	VI	1	1	..	1	1	..
	VIII	5	5	..	5	5	..
	IX	117	117	..	81	81	..
FAMILY	007	SURVEYORS					
TOTAL		71	71	..	40	40	..
	IX	71	71	..	40	40	..
GROUP	01	CHEMISTS, PHYSICISTS, GEOLOGISTS AND OTHER PHYSICAL SCIENTISTS					
TOTAL		26	26	..	26	26	..
	IX	26	26	..	26	26	..
GROUP	02	BIOLOGISTS, VETERINARIANS, AGRONOMISTS AND RELATED SCIENTISTS					
TOTAL		57	57	..	26	26	..
	III	4	4	..	4	4	..
	IX	53	53	..	22	22	..
GROUP	03	PHYSICIANS, SURGEONS AND DENTISTS					
TOTAL		439	434	5	215	210	5
	III	2	2	..	2	2	..
	V	3	3	..	3	3	..
	VIII	23	22	1	23	22	1
	IX	411	407	4	187	183	4
FAMILY	030	PHYSICIANS AND SURGEONS, ALLOPATHIC					
TOTAL		93	90	3	24	21	3
	III	2	2	..	2	2	..
	VIII	8	7	1	8	7	1
	IX	83	81	2	14	12	2
FAMILY	031	PHYSICIANS, AYURVEDIC					
TOTAL		94	94	..	69	69	..
	V	3	3	..	3	3	..
	VIII	11	11	..	11	11	..
	IX	80	80	..	55	55	..
FAMILY	033	PHYSICIANS, OTHERS					
TOTAL		132	132	..	31	31	..
	IX	132	132	..	31	31	..
GROUP	04	NURSES, PHARMACIST, AND OTHER MEDICAL AND HEALTH TECHNICIANS					
TOTAL		441	356	85	161	121	40
	III	5	5	..	5	5	..
	V	1	1	..	1	1	..
	VIII	52	36	16	52	36	16
	IX	383	314	69	103	79	24

B-V OCCUPATIONAL CLASSIFICATION BY SEX OF PERSONS AT WORK OTHER THAN CULTIVATION (Contd.)

NOWGONG DISTRICT

DIVISION, GROUP AND FAMILY		Total Workers					
		Total			Urban		
CATEGORY		Persons	Males	Females	Persons	Males	Females
1		2	3	4	5	6	7
FAMILY	040	NURSES					
TOTAL		61	6	55	37	6	31
	VIII	16	3	13	16	3	13
	IX	45	3	42	21	3	18
FAMILY	041	MIDWIVES AND HEALTH VISITORS					
TOTAL		105	80	25	11	5	6
	V	1	1	..	1	1	..
	VIII	5	4	1	5	4	1
	IX	99	75	24	5	..	5
FAMILY	043	PHARMACISTS AND PHARMACEUTICAL TECHNICIANS					
TOTAL		151	150	1	82	82	..
	III	5	5	..	5	5	..
	VIII	6	6	..	6	6	..
	IX	140	139	1	71	71	..
FAMILY	049	MEDICAL AND HEALTH TECHNICIANS, N. E. C. (EXCLUDING LABORATORY ASSISTANTS)					
TOTAL		98	98	..	6	6	..
	VIII	2	2	..	2	2	..
	IX	96	96	..	4	4	..
GROUP	05	TEACHERS					
TOTAL		3,853	3,261	592	523	441	82
	VIII	44	37	7	44	37	7
	IX	3,809	3,224	585	479	404	75
FAMILY	051	TEACHERS, SECONDARY SCHOOLS					
TOTAL		907	853	54	253	226	27
	VIII	27	23	4	27	23	4
	IX	880	830	50	226	203	23
FAMILY	052	TEACHERS, MIDDLE AND PRIMARY SCHOOLS					
TOTAL		2,480	2,069	411	141	110	31
	VIII	1	..	1	1	..	1
	IX	2,479	2,069	410	140	110	30

DIVISION, GROUP AND FAMILY		Total Workers					
		Total			Urban		
CATEGORY		Persons	Males	Females	Persons	Males	Females
1		2	3	4	5	6	7
FAMILY	059	TEACHERS, N. E. C.					
TOTAL		409	295	114	87	65	22
	VIII	16	14	2	16	14	2
	IX	393	281	112	71	51	20
GROUP	06	JURISTS					
TOTAL		245	245	..	151	151	..
	IX	245	245	..	151	151	..
FAMILY	061	LEGAL PRACTITIONERS AND ADVISERS					
TOTAL		74	74	..	71	71	..
	IX	74	74	..	71	71	..
FAMILY	063	JURISTS AND LEGAL TECHNICIANS, ETC., N. E. C. (INCLUDING PETITION WRITERS)					
TOTAL		150	150	..	70	70	..
	IX	150	150	..	70	70	..
GROUP	07	SOCIAL SCIENTISTS AND RELATED WORKERS					
TOTAL		234	219	15	32	32	..
	V	1	1	..	1	1	..
	VIII	2	2	..	2	2	..
	IX	231	216	15	29	29	..
FAMILY	076	LABOUR AND SOCIAL WELFARE WORKERS (SOCIAL WORKERS NOT ELECTED)					
TOTAL		208	193	15	10	10	..
	VIII	2	2	..	2	2	..
	IX	206	191	15	8	8	..
GROUP	08	ARTISTS, WRITERS AND RELATED WORKERS					
TOTAL		78	78	..	76	76	..
	V	2	2	..	2	2	..
	IX	76	76	..	74	74	..
GROUP	09	DRAUGHTSMEN AND SCIENCE AND ENGINEERING TECHNICIANS, N.E.C.					
TOTAL		17	16	1	16	15	1
	IX	17	16	1	16	15	1

B-V OCCUPATIONAL CLASSIFICATION BY SEX OF PERSONS AT WORK OTHER THAN CULTIVATION (Contd.)

NOWGONG DISTRICT

DIVISION, GROUP AND FAMILY		Total Workers					
		Total			Urban		
CATEGORY		Persons	Males	Females	Persons	Males	Females
1		2	3	4	5	6	7
GROUP	0X	OTHER POFESSIONAL, TECHNICAL AND RELATED WORKERS					
TOTAL		323	215	108	89	83	6
	IX	323	215	108	89	83	6
FAMILY	0X0	ORDAINED RELIGIOUS WORKERS					
TOTAL		116	114	2	67	66	1
	IX	116	114	2	67	66	1
FAMILY	0X1	NON-ORDAINED RELIGIOUS WORKERS					
TOTAL		108	2	106	7	2	5
	IX	108	2	106	7	2	5
FAMILY	0X9	OTHER PROFESSIONAL TECHNICAL AND RELATED WORKERS N.E.C.					
TOTAL		84	84	..	..	..	..
	IX	84	84	..	..	..	..
•DIVISION	1	ADMINISTRATIVE, EXECUTIVE AND MANAGERIAL WORKERS					
TOTAL		635	633	2	591	590	1
	III	2	2	..	2	2	..
	V	40	40	..	40	40	..
	VI	84	84	..	84	84	..
	VII	29	29	..	29	29	..
	VIII	43	43	..	43	43	..
	IX	437	435	2	393	392	1
GROUP	10	ADMINISTRATORS AND EXECUTIVE OFFICIALS, GOVERNMENT					
TOTAL		80	78	2	37	36	1
	IX	80	78	2	37	36	1
FAMILY	100	ADMINISTRATORS AND EXECUTIVE OFFICIALS, CENTRAL GOVERNMENT					
TOTAL		32	32	..	26	26	..
	IX	32	32	..	26	26	..
FAMILY	101	ADMINISTRATORS AND EXECUTIVE OFFICIALS, STATE GOVERNMENT					
TOTAL		34	33	1	11	10	1
	IX	34	33	1	11	10	1
FAMILY	102	ADMINISTRATORS AND EXCUTIVE OFFICIALS, LOCAL BODIES					
TOTAL		11	11	..	..	..	..
	IX	11	11	..	..	..	..
GROUP	11	DIRECTORS AND MANAGERS, WHOLESALE AND RETAIL TRADE					
TOTAL		16	16	..	16	16	..
	VII	16	16	..	16	16	..
FAMILY	111	DIRECTORS AND MANAGERS, RETAIL TRADE					
TOTAL		15	15	..	15	15	..
	VII	15	15	..	15	15	..
GROUP	12	DIRECTORS, MANAGERS AND WORKING PROPRIETORS, FINANCIAL INSTITUTIONS					
TOTAL		4	4	..	4	4	..
	VII	4	4	..	4	4	..
GROUP	13	DIRECTORS, MANAGERS AND WORKING PROPRIETORS, OTHER					
TOTAL		535	535	..	534	534	..
	III	2	2	..	2	2	..
	V	40	40	..	40	40	..
	VI	84	84	..	84	84	..
	VII	9	9	..	9	9	..
	VIII	43	43	..	43	43	..
	IX	357	357	..	356	356	..
FAMILY	131	DIRECTORS, MANAGERS AND WORKING PROPRIETORS, CONSTRUCTION					
TOTAL		84	84	..	84	84	..
	VI	84	84	..	84	84	..

B-V OCCUPATIONAL CLASSIFICATION BY SEX OF PERSONS AT WORK OTHER THAN CULTIVATION (Contd.)

NOWGONG DISTRICT

DIVISION, GROUP AND FAMILY		Total Workers					
		Total			Urban		
CATEGORY		Persons	Males	Females	Persons	Males	Females
1		2	3	4	5	6	7
FAMILY	133 DIRECTORS, MANAGERS AND WORKING PROPRIETORS, MANUFACTURING						
TOTAL		33	33	..	33	33	..
	V	33	33	..	33	33	..
FAMILY	134 DIRECTORS, MANAGERS AND WORKING PROPRIETORS, TRANSPORT AND COMMUNICATION						
TOTAL		28	28	..	28	28	..
	VIII	28	28	..	28	28	..
FAMILY	135 DIRECTORS, MANAGERS AND WORKING PROPRIETORS, RECREATION, ENTERTAINMENT AND CATERING SERVICES						
TOTAL		54	54	..	54	54	..
	VIII	8	8	..	8	8	..
	IX	46	46	..	46	46	..
FAMILY	136 DIRECTORS, MANAGERS AND WORKING PROPRIETORS, OTHER SERVICES						
TOTAL		136	136	..	135	135	..
	IX	136	136	..	135	135	..
FAMILY	139 DIRECTORS, MANAGERS AND WORKING PROPRIETORS, N. E. C.						
TOTAL		199	199	..	199	199	..
	III	2	2	..	2	2	..
	V	7	7	..	7	7	..
	VII	9	9	..	9	9	..
	VIII	7	7	..	7	7	..
	IX	174	174	..	174	174	..
*DIVISION	2 CLERICAL AND RELATED WORKERS						
TOTAL		3,225	3,210	15	1,930	1,918	12
	III	10	10	..	10	10	..
	V	65	64	1	65	64	1
	VI	7	7	..	7	7	..
	VII	100	100	..	100	100	..
	VIII	619	617	2	619	617	2
	IX	2,424	2,412	12	1,129	1,120	9
GROUP	20 BOOK-KEEPERS AND CASHIERS						
TOTAL		110	110	..	59	59	..
	V	8	8	..	8	8	..
	VII	9	9	..	9	9	..
	IX	93	93	..	42	42	..
FAMILY	200 BOOK-KEEPERS, BOOK-KEEPING AND ACCOUNTS CLERKS						
TOTAL		85	85	..	35	35	..
	V	5	5	..	5	5	..
	VII	7	7	..	7	7	..
	IX	73	73	.	23	23	..
GROUP	21 STENOGRAPHERS AND TYPISTS						
TOTAL		30	28	2	29	28	1
	V	4	4	..	4	4	..
	VIII	13	12	1	13	12	1
	IX	13	12	1	12	12	..
GROUP	22 OFFICE MACHINE OPERATORS						
TOTAL		18	18	..	17	17	..
	IX	18	18	..	17	17	..
GROUP	28 CLERICAL WORKERS, MISCELLANEOUS						
TOTAL		2,282	2,269	13	1,484	1,473	11
	III	8	8	..	8	8	..
	V	53	52	1	53	52	1
	VI	7	7	..	7	7	..
	VII	86	86	..	86	86	..
	VIII	483	482	1	483	482	1
	IX	1,645	1,634	11	847	838	9

B-V OCCUPATIONAL CLASSIFICATION BY SEX OF PERSONS AT WORK OTHER THAN CULTIVATION (Contd.)

NOWGONG DISTRICT

DIVISION, GROUP AND FAMILY		Total Workers					
		Total			Urban		
CATEGORY		Persons	Males	Females	Persons	Males	Females
1		2	3	4	5	6	7
FAMILY	280	GENERAL AND OTHER MINISTERIAL ASSISTANTS AND CLERKS					
TOTAL		1,306	1,300	6	774	768	6
	III	6	6	..	6	6	..
	VIII	423	422	1	423	422	1
	IX	877	872	5	345	340	5
FAMILY	289	MISCELLANEOUS OFFICE WORKERS INCLUDING RECORD-KEEPERS, DESPATCHERS, PACKERS AND BINDERS OF OFFICE-PAPERS					
TOTAL		976	969	7	710	705	5
	III	2	2	..	2	2	..
	V	53	52	1	53	52	1
	VI	7	7	..	7	7	..
	VII	86	86	..	86	86	..
	VIII	60	60	..	60	60	..
	IX	768	762	6	502	498	4
GROUP	29	UNSKILLED OFFICE WORKERS					
TOTAL		785	785	..	341	341	..
	III	2	2	..	2	2	..
	VII	5	5	..	5	5	..
	VIII	123	123	..	123	123	..
	IX	655	655	..	211	211	..
FAMILY	290	OFFICE ATTENDANTS INCLUDING PEONS, MESSENGERS, USHERS, HALL-PORTERS, DARWANS, ETC., N. E. C.					
TOTAL		785	785	..	341	341	..
	III	2	2	..	2	2	..
	VII	5	5	..	5	5	..
	VIII	123	123	..	123	123	..
	IX	655	655	..	211	211	..
*DIVISION	3	SALES WORKERS					
TOTAL		15,409	15,140	269	6,348	6,303	45
	V	19	19	..	19	19	..
	VII	15,386	15,117	269	6,325	6,280	45
	IX	4	4	..	4	4	..
GROUP	30	WORKING PROPRIETORS, WHOLESALE AND RETAIL TRADE					
TOTAL		6,891	6,843	48	5,407	5,362	45
	VII	6,891	6,843	48	5,407	5,362	45
FAMILY	300	WORKING PROPRIETORS, WHOLESALE TRADE					
TOTAL		429	429	..	81	81	..
	VII	429	429	..	81	81	..
FAMILY	301	WORKING PROPRIETORS, RETAIL TRADE					
TOTAL		6,462	6,414	48	5,326	5,281	45
	VII	6,462	6,414	48	5,326	5,281	45
GROUP	31	INSURANCE AND REAL ESTATE SALESMEN, SALESMEN OF SECURITIES AND SERVICES AND AUCTIONEERS					
TOTAL		10	10	..	5	5	..
	VII	10	10	..	6	5	..
GROUP	32	COMMERCIAL TRAVELLERS AND MANUFACTURERS' AGENTS					
TOTAL		42	42	..	13	13	..
	V	5	5	..	5	5	..
	VII	35	35	..	6	6	..
	IX	2	2	..	2	2	..
GROUP	33	SALESMEN, SHOP ASSISTANTS AND RELATED WORKERS					
TOTAL		8,459	8,238	221	916	916	..
	V	14	14	..	14	14	..
	VII	8,443	8,222	221	900	900	..
	IX	2	2	..	2	2	..

B-V OCCUPATIONAL CLASSIFICATION BY SEX OF PERSONS AT WORK OTHER THAN CULTIVATION (Contd.)

NOWGONG DISTRICT

DIVISION, GROUP AND FAMILY		Total Workers					
		Total			Urban		
CATEGORY		Persons	Males	Females	Persons	Males	Females
1		2	3	4	5	6	7
FAMILY	330 SALESMEN AND SHOP ASSISTANTS, WHOLESALE AND RETAIL TRADE						
TOTAL		4,678	4,640	38	868	868	..
	V	11	11	..	11	11	..
	VII	4,667	4,629	38	857	857	..
FAMILY	331 HAWKERS, PEDLARS AND STREET VENDORS						
TOTAL		286	286	..	33	33	..
	V	2	2	..	2	2	..
	VII	284	284	..	31	31	..
FAMILY	339 SALESMEN, SHOP ASSISTANTS AND RELATED WORKERS, N. E. C.						
TOTAL		3,495	3,312	183	15	15	..
	V	1	1	..	1	1	..
	VII	3,492	3,309	183	12	12	..
	IX	2	2	..	2	2	..
GROUP	34 MONEY-LENDERS AND PAWN-BROKERS						
TOTAL		7	7	..	7	7	..
	VII	7	7	..	7	7	..
*DIVISION	4 FARMERS, FISHERMEN, HUNTERS, LOGGERS AND RELATED WORKERS						
TOTAL		17,291	9,837	7,457	64	60	4
	III	17,291	9,837	7,454	64	60	4
GROUP	40 FARMERS AND FARM MANAGERS						
TOTAL		773	750	23	7	7	..
	III	773	750	23	7	7	..
FAMILY	404 FARMERS AND FARM MANAGERS, ANIMALS, BIRDS AND INSECTS REARING						
TOTAL		636	613	23	..	..	..
	III	636	613	23	..	..	..
GROUP	41 FARM WORKERS						
TOTAL		12,700	5,305	7,395	41	38	3
	III	12,700	5,305	7,395	41	38	3
FAMILY	411 FARM WORKERS, ANIMALS, BIRDS AND INSECTS REARING						
TOTAL		3,920	433	3,487	23	20	3
	III	3,920	433	3,417	23	20	3
FAMILY	415 PLANTATION LABOURERS						
TOTAL		8,780	4,872	3,908	18	18	..
	III	8,780	4,872	3,908	18	18	..
GROUP	43 FISHERMEN AND RELATED WORKERS						
TOTAL		682	672	10	1	..	1
	III	682	672	10	1	..	1
FAMILY	431 FISHERMEN, INLAND AND COASTAL WATERS						
TOTAL		320	315	5	1	..	1
	III	320	315	5	1	..	1
FAMILY	439 FISHERMEN AND RELATED WORKERS, N.E.C.						
TOTAL		362	357	5	..	..	..
	III	362	357	5	..	..	..
GROUP	44 LOGGERS AND OTHER FORESTRY WORKERS						
TOTAL		3,136	3,110	26	15	15	..
	III	3,136	3,110	26	15	15	..
FAMILY	440 FOREST RANGERS AND RELATED WORKERS						
TOTAL		3,027	3,027	..	14	14	..
	III	3,027	3,027	..	14	14	..

B-V OCCUPATIONAL CLASSIFICATION BY SEX OF PERSONS AT WORK OTHER THAN CULTIVATION (Contd.)

NOWGONG DISTRICT

DIVISION, GROUP AND FAMILY		Total Workers					
		Total			Urban		
CATEGORY		Persons	Males	Females	Persons	Males	Females
1		2	3	4	5	6	7
DIVISION	5	MINERS, QUARRYMEN AND RELATED WORKERS					
TOTAL		12	12	..	10	10	..
	III	12	12	..	10	10	..
GROUP	50	MINERS AND QUARRYMEN					
TOTAL		12	12	..	10	10	..
	III	12	12	..	10	10	..
FAMILY	501	QUARRYMEN					
TOTAL		2	2	..	..	..	..
	III	2	2	..	..	..	..
FAMILY	509	MINERS AND QUARRYMEN N.E.C.					
TOTAL		10	10	..	10	10	..
	III	10	10	..	10	10	..
*DIVISION	6	WORKERS IN TRANSPORT AND COMMUNICATION OCCUPATIONS					
TOTAL		5,994	5,950	44	2,609	2,607	2
	VII	2	2	..	2	2	..
	VIII	5,945	5,901	44	2,564	2,562	2
	IX	47	47	..	43	43	..
GROUP	60	DECK OFEICERS, ENGINEER OFFICERS AND PILOTS, SHIP					
TOTAL		8	8	..	2	2	..
	VIII	8	8	..	2	2	..
GROUP	61	DECK AND ENGINE-ROOM RATINGS (SHIP), BARGE CREWS AND BOATMEN					
TOTAL		259	259	..	..	..	..
	VIII	259	259	..	..	..	..
FAMILY	610	DECK RATINGS (SHIP), BARGE CREWS AND BOATMEN					
TOTAL		151	151	..	..	..	..
	VIII	151	151	..	..	..	..
FAMILY	611	ENGINE-ROOM RATINGS, FIREMEN AND OILERS, SHIP					
TOTAL		108	108	..	..	..	..
	VIII	108	108	..	..	..	..
GROUP	63	DRIVERS AND FIREMEN, RAILWAY ENGINE					
TOTAL		348	348	..	204	204	..
	VIII	348	348	..	204	204	..
FAMILY	631	FIREMEN					
TOTAL		313	313	..	191	191	..
	VIII	313	313	..	191	191	..
GROUP	64	DRIVERS, ROAD TRANSPORT					
TOTAL		2,752	2,752	..	1,295	1,295	..
	VII	2	2	..	2	2	..
	VIII	2,703	2,703	..	1,250	1,250	..
	IX	47	47	..	43	43	..
FAMILY	641	MOTOR VEHICLE AND MOTOR CYCLE DRIVERS					
TOTAL		841	841	..	459	459	..
	VII	1	1	..	1	1	..
	VIII	800	800	..	422	422	..
	IX	40	40	..	36	36	..
FAMILY	642	CYCLE RICKSHAW DRIVERS AND RICKSHAW PULLERS					
TOTAL		783	783	..	524	524	..
	VIII	783	783	..	524	524	..
FAMILY	643	ANIMAL DRAWN VEHICLE DRIVERS					
TOTAL		712	712	..	238	238	..
	VIII	712	712	..	238	238	..
FAMILY	649	DRIVERS, ROAD TRANSPORT, N.E.C. (INCLUDING PALKI AND DOLI BEARERS)					
TOTAL		416	416	..	74	74	..
	VII	1	1	..	1	1	..
	VIII	408	408	..	66	66	..
	IX	7	7	..	7	7	..

B-V OCCUPATIONAL CLASSIFICATION BY SEX OF PERSONS AT WORK OTHER THAN CULTIVATION (Contd.)

NOWGONG DISTRICT

DIVISION, GROUP AND FAMILY		Total Workers					
		Total			Urban		
CATEGORY		Persons	Males	Females	Persons	Males	Females
1		2	3	4	5	6	7
GROUP	65	CONDUCTORS, GUARDS AND BRAKESMEN (RAILWAY)					
TOTAL		144	144	..	30	30	..
	VIII	144	144	..	30	30	..
FAMILY	652	BRAKESMEN					
TOTAL		72	72	..	..	..	..
	VIII	72	72	..	..	..	..
GROUP	66	INSPECTORS, SUPERVISORS, TRAFFIC CONTROLLERS AND DESPATCHERS, TRANSPORT					
TOTAL		544	544	..	147	147	..
	VIII	544	544	..	147	147	..
FAMILY	660	INSPECTORS, SUPERVISORS, STATION MASTERS AND PERMANENT WAY INSPECTORS, RAILWAY					
TOTAL		262	262	..	39	39	..
	VIII	262	262	..	39	39	..
FAMILY	662	SIGNALMEN AND POINTSMEN					
TOTAL		282	282	..	108	108	..
	VIII	282	282	..	108	108	..
GROUP	67	TELEPHONE, TELEGRAPH AND RELATED TELECOMMUNICATION OPERATORS					
TOTAL		57	56	1	42	42	..
	VIII	57	57	1	42	42	..
GROUP	68	POSTMEN AND MESSENGERS					
TOTAL		292	292	..	65	65	..
	VIII	292	292	..	65	65	..
FAMILY	680	POSTMEN					
TOTAL		155	155	..	45	45	..
	VIII	155	155	..	45	45	..
FAMILY	681	MESSENGERS (INCLUDING DAK PEONS)					
TOTAL		137	137	..	20	20	..
	VIII	137	137	..	20	20	..

DIVISION, GROUP AND FAMILY		Total Workers					
		Total			Urban		
CATEGORY		Persons	Males	Females	Persons	Males	Females
1		2	3	4	5	6	7
GROUP	69	WORKERS IN TRANSPORT AND COMMUNICATION OCCUPATIONS, N.E.C.					
TOTAL		1,590	1,547	43	824	822	2
	VIII	1,590	1,547	43	824	822	2
FAMILY	690	TICKET COLLECTORS, TICKET EXAMINERS, TICKET SELLERS AND INSPECTORS ON MOVING TRANSPORT					
TOTAL		214	214	..	82	82	..
	VIII	214	214	..	82	82	..
FAMILY	692	GANGMEN AND WORKERS IN TRANSPORT OCCUPATIONS, N.E.C.					
TOTAL		1,188	1,145	43	661	659	2
	VIII	1,118	1,145	43	661	659	2
FAMILY	694	WORKERS IN COMMUNICATION OCCUPATIONS N.E.C.					
TOTAL		105	105	..	..	..	..
	VIII	105	105	..	..	..	..
*DIVISION	7 & 8	CRAFTSMEN, PRODUCTION PROCESS WORKERS, AND LABOURERS NOT ELSEWHERE CLASSIFIED					
TOTAL		42,510	19,064	23,446	7,922	7,471	451
	III	20	20	..	20	20	..
	IV	23,636	1,611	22,125	695	419	276
	V	8,605	7,826	679	2,901	2,835	66
	VI	2,343	2,194	149	319	318	1
	VII	5	5	..	5	5	..
	VIII	1,392	1,389	3	1,392	1,389	3
	IX	6,509	6,019	490	2,590	2,485	105
GROUP	70	SPINNERS, WEAVERS, KNITTERS, DYERS AND RELATED WORKERS					
TOTAL		23,107	1,214	21,893	508	210	298
	IV	22,805	962	21,843	303	53	250
	V	302	252	50	205	157	48

B-V OCCUPATIONAL CLASSIFICATION BY SEX OF PERSONS AT WORK OTHER THAN CULTIVATION (Contd.)

NOWGONG DISTRICT

DIVISION, GROUP AND FAMILY		Total Workers					
		Total			Urban		
CATEGORY		Persons	Males	Females	Persons	Males	Females
1		2	3	4	5	6	7
FAMILY	704	DRAWERS AND WEAVERS					
TOTAL		16,641	497	16,144	131	60	71
	IV	16,509	378	16,131	79	21	58
	V	132	119	13	52	39	13
FAMILY	709	ROPE-MAKERS, SPINNERS, WEAVERS, KNITTERS, DYERS AND RELATED WORKERS, N.E.C.					
TOTAL		6,204	492	5,712	332	106	226
	IV	6,095	417	5,678	223	31	192
	V	109	75	34	109	75	34
GROUP	71	TAILORS, CUTTERS, FURRIERS AND RELATED WORKERS					
TOTAL		1,289	1,202	87	260	249	11
	IV	128	119	9	128	119	9
	V	1,158	1,082	76	129	129	..
	VIII	3	1	2	3	1	2
FAMILY	710	TAILORS, DRESS MAKERS AND GARMENT MAKERS					
TOTAL		1,165	1,086	79	258	249	9
	IV	126	119	7	126	119	7
	V	1,036	966	70	129	129	..
	VIII	3	1	2	3	1	2
GROUP	72	LEATHER CUTTERS, LASTERS AND SEWERS (EXCEPT GLOVES AND GARMENTS) AND RELATED WORKERS					
TOTAL		797	795	2	552	552	..
	IV	9	9	..	9	9	..
	V	788	786	2	543	543	..
FAMILY	720	SHOE MAKERS AND SHOE REPAIRERS					
TOTAL		755	754	1	552	552	..
	IV	9	9	..	9	9	..
	V	746	745	1	543	543	..
GROUP	73	FURNACEMEN, ROLLERS, DRAWERS, MOULDERS AND RELATED METAL MAKING AND TREATING WORKERS					
TOTAL		480	474	6	140	140	..
	IV	25	25	..	25	25	..
	V	413	407	6	73	73	..
	VIII	42	42	..	42	42	..
FAMILY	733	BLACKSMITHS, HAMMERSMITHS AND FORGEMEN					
TOTAL		342	342	..	131	131	..
	IV	23	23	..	23	23	..
	V	282	282	..	71	71	..
	VIII	37	37	..	37	37	..
GROUP	74	PRECISION INSTRUMENT MAKERS, WATCH MAKERS, JEWELLERS AND RELATED WORKERS					
TOTAL		972	971	1	230	230	..
	IV	49	49	..	49	49	..
	V	923	922	1	181	181	..
FAMILY	741	JEWELLERS, GOLDSMITHS AND SILVERSMITHS					
TOTAL		931	930	1	205	205	..
	IV	48	48	..	48	48	..
	V	883	882	1	157	157	..
GROUP	75	TOOL-MAKERS, MACHINISTS, PLUMBERS, WELDERS, PLATERS AND RELATED WORKERS					
TOTAL		1,007	1,005	2	903	901	2
	IV	24	24	..	24	24	..
	V	492	490	2	388	386	2
	VI	30	30	..	30	30	..
	VIII	449	449	..	449	449	..
	IX	12	12	..	12	12	..
FAMILY	750	FILTER MACHINISTS, TOOL MAKERS AND MACHINE TOOL SETTERS					
TOTAL		324	324	..	290	290	..
	V	57	57	..	23	23	..
	VIII	267	267	..	267	267	..

B-V OCCUPATIONAL CLASSIFICATION BY SEX OF PERSONS AT WORK OTHER THAN CULTIVATION (Contd.)

NOWGONG DISTRICT

DIVISION, GROUP AND FAMILY		Total Workers					
		Total			Urban		
CATEGORY		Persons	Males	Females	Persons	Males	Females
1		2	3	4	5	6	7
FAMILY	753	MECHANICS-REPAIRMEN (EXCEPT ELECTRICAL AND PRECISION INSTRUMENT REPAIRMEN					
TOTAL		392	392	..	365	365	..
	V	335	335	..	308	308	..
	VI	30	30	..	30	30	..
	VIII	27	27	..	27	27	..
GROUP	76	ELECTRICIANS AND RELATED ELECTRICAL AND ELECTRONICS WORKERS					
TOTAL		228	228	..	111	111	..
	V	126	126	..	9	9	..
	VII	1	1	..	1	1	..
	VIII	44	44	..	44	44	..
	IX	57	57	..	57	57	..
GROUP	77	CARPENTERS, JOINERS, CABINET MAKERS, COOPERS AND RELATED WORKERS					
TOTAL		2,216	2,216	..	670	670	..
	IV	83	83	..	83	83	..
	V	1,796	1,796	..	521	521	..
	VI	282	282	..	11	11	..
	VIII	55	55	..	55	55	..
FAMILY	770	CARPENTERS, JOINERS, PATTERN MAKERS (WOOD)					
TOTAL		1,472	1,472	..	608	608	..
	IV	78	78	..	78	78	..
	V	1,096	1,096	..	464	464	..
	VI	243	243	..	11	11	..
	VIII	55	55	..	55	55	..
FAMILY	772	SAWYERS AND WOOD WORKING MACHINISTS					
TOTAL		216	216	..	27	27	..
	V	216	216	..	27	27	..
FAMILY	779	CARPENTERS, JOINERS, CABINET MAKERS COOPERS AND RELATED WORKERS N.E.C.					
TOTAL		481	481	..	4	4	..
	IV	2	2	..	2	2	..
	V	440	440	..	2	2	..
	VI	39	39	..	..	..	..
GROUP	78	PAINTERS AND PAPER HANGERS					
TOTAL		4	4	..	4	4	..
	VIII	4	4	..	4	4	..
GROUP	79	BRICKLAYERS, PLASTERERS AND CONSTRUCTION WORKERS, N. E. C.					
TOTAL		1,982	1,834	148	248	248	..
	VI	1,978	1,830	148	244	244	..
	VIII	4	4	..	4	4	..
FAMILY	793	CEMENT FINISHERS AND TERRAZZO AND MOSAIC WORKERS					
TOTAL		254	254	..	160	160	..
	V	254	254	..	160	160	..
FAMILY	794	HUT BUILDERS AND THATCHERS					
TOTAL		402	397	5	..	..	..
	VI	402	397	5	..	..	..
FAMILY	799	BRICKLAYERS, PLASTERERS AND CONSTRUCTION WORKERS, N.E.C.					
TOTAL		1,191	1,072	119	3	3	..
	VI	1,191	1,072	119	3	3	..
GROUP	80	COMPOSITORS, PRINTERS, ENGRAVERS, BOOK-BINDERS AND RELATED WORKERS					
TOTAL		29	29	..	29	29	..
	V	29	29	..	29	29	..
GROUP	81	POTTERS, KILNMEN, GLASS AND CLAY FORMERS AND RELATED WORKERS					
TOTAL		701	571	130	38	33	5
	IV	19	14	5	19	14	5
	V	662	537	125	18	18	..
	VI	19	19	..	..	..	..
	VII	1	1	..	1	1	..

B-V OCCUPATIONAL CLASSIFICATION BY SEX OF PERSONS AT WORK OTHER THAN CULTIVATION (Contd.)

NOWGONG DISTRICT

DIVISION, GROUP AND FAMILY		Total Workers					
		Total			Urban		
CATEGORY		Persons	Males	Females	Persons	Males	Females
1		2	3	4	5	6	7
FAMILY	811 POTTERS AND RELATED CLAY FORMERS						
TOTAL		382	267	115	38	33	5
	IV	19	14	5	19	14	5
	V	362	252	110	18	18	..
	VII	1	1	..	1	1	..
FAMILY	819 POTTERS, KILNMEN, GLASS AND CLAY FORMERS AND RELATED WORKERS, N.E.C.						
TOTAL		276	261	15	..	..	..
	V	276	261	15	..	..	..
GROUP	82 MILLERS, BAKERS, BREWMASTERS AND RELATED FOOD AND BEVERAGE WORKERS						
TOTAL		1,255	850	405	255	235	20
	IV	20	13	7	20	13	7
	V	1,230	832	398	230	217	13
	VII	3	3	..	3	3	..
	IX	2	2	..	2	2	..
FAMILY	820 MILLERS, POUNDERS, HUSKERS AND PARCHERS, GRAINS AND RELATED FOOD WORKERS						
TOTAL		765	432	333	120	103	17
	IV	13	8	5	13	8	5
	V	752	424	328	107	95	12
FAMILY	824 BAKERS, CONFECTIONERS, CANDY AND SWEETMEAT MAKERS						
TOTAL		223	217	6	131	130	1
	IV	6	5	1	6	5	1
	V	214	209	5	122	122	..
	VII	3	3	..	3	3	..
GROUP	83 CHEMICAL AND RELATED PROCESS WORKERS						
TOTAL		101	98	3	50	48	2
	IV	4	4	..	4	4	..
	V	96	94	2	46	44	2
	IX	1	..	1	..	..	..
GROUP	84 TOBACCO PREPARERS AND PRODUCTS MAKERS						
TOTAL		62	51	11	28	28	..
	IV	9	9	..	9	9	..
	V	53	42	11	19	19	..
GROUP	85 CRAFTSMEN AND PRODUCTION PROCESS WORKERS, N. E. C.						
TOTAL		521	255	266	55	50	5
	IV	454	193	261	15	10	5
	V	67	62	5	40	40	..
FAMILY	850 BASKETRY WEAVERS AND RELATED WORKERS						
TOTAL		457	196	26	18	13	5
	IV	449	188	261	10	5	5
	V	8	8	..	8	8	..
GROUP	86 TESTERS, PACKERS, SORTERS AND RELATED WORKERS						
TOTAL		158	158	..	8	8	..
	VIII	6	6	..	6	6	..
	IX	152	152	..	2	2	..
GROUP	87 STATIONARY ENGINE AND EXCAVATING AND LIFTING EQUIPMENT OPERATORS AND RELATED WORKERS						
TOTAL		63	63	..	63	63	..
	V	20	20	..	20	20	..
	VIII	41	41	..	41	41	..
	IX	2	2	..	2	2	..
GROUP	89 LABOURERS, N.E.C.						
TOTAL		7,538	7,046	492	3,770	3,662	108
	III	20	20	..	20	20	..
	IV	7	7	..	7	7	..
	V	450	449	1	450	449	1
	VI	34	33	1	34	33	1
	VIII	744	743	1	744	743	1
	IX	6,283	5,794	489	2,515	2,410	105

B-V OCCUPATIONAL CLASSIFICATION BY SEX OF PERSONS AT WORK OTHER THAN CULTIVATION (Contd.)

NOWGONG DISTRICT

DIVISION, GROUP AND FAMILY		Total Workers					
		Total			Urban		
CATEGORY		Persons	Males	Females	Persons	Males	Females
1		2	3	4	5	6	7
FAMILY	899	LABOURERS, N. E. C.					
TOTAL		7,353	6,862	491	3,770	3,652	108
	III	20	20	..	20	20	..
	IV	7	7	..	7	7	..
	V	450	449	1	450	449	1
	VI	34	33	1	34	33	1
	VIII	744	743	1	744	743	1
	IX	6,098	5,610	488	2,515	2,410	105
*DIVISION	9	SERVICE, SPORT AND RECREATION WORKERS					
TOTAL		8,457	7,744	713	3,006	2,691	315
	V	38	38	..	38	38	..
	VI	1	1	..	1	1	..
	VII	35	34	1	35	34	1
	VIII	429	399	30	429	399	30
	IX	7,954	7,272	682	2,503	2,219	284
GROUP	90	FIRE FIGHTERS, POLICEMEN, GUARDS AND RELATED WORKERS					
TOTAL		3,101	3,101	..	919	919	..
	VIII	213	213	..	213	213	..
	IX	2,888	2,888	..	706	706	..
FAMILY	900	FIRE FIGHTERS AND RELATED WORKERS					
TOTAL		809	809	..	2	2	..
	VIII	2	2	..	2	2	..
	IX	807	807	..	..	..	..
FAMILY	901	POLICE CONSTABLES, INVESTIGATORS AND RELATED WORKERS					
TOTAL		1,176	1,176	..	603	603	..
	VIII	127	127	..	127	127	..
	IX	1,049	1,049	..	476	476	..
FAMILY	902	CUSTOMS EXAMINERS, PATROLLERS AND RELATED WORKERS					
TOTAL		681	681	..	..	..	..
	IX	681	681	..	..	..	..
FAMILY	903	WATCHMEN AND CHOWKIDARS					
TOTAL		427	427	..	314	314	..
	VIII	84	84	..	84	84	..
	IX	343	343	..	230	230	..
GROUP	91	HOUSE KEEPERS, COOKS, MAIDS AND RELATED WORKERS					
TOTAL		3,407	2,828	579	1,256	1,043	213
	V	38	38	..	38	38	..
	VII	35	34	1	35	34	1
	VIII	37	30	7	37	30	7
	IX	3,297	2,726	571	1,146	941	205
FAMILY	910	HOUSE KEEPERS, MATRONS, STEWARDS (DOMESTIC AND INSTITUTIONAL)					
TOTAL		243	155	88	33	6	27
	IX	243	155	88	33	6	27
FAMILY	911	COOKS, COOK-BEARERS (DOMESTIC AND INSTITUTIONAL)					
TOTAL		1,774	1,610	164	399	375	24
	V	36	36	..	36	36	..
	VII	30	30	..	30	30	..
	VIII	26	25	1	26	25	1
	IX	1,682	1,519	163	307	284	23
FAMILY	912	BUTLERS, BEARERS, WAITERS, MAIDS AND OTHER SERVANTS (DOMESTIC)					
TOTAL		1,265	970	295	812	659	153
	V	2	2	..	2	2	..
	VII	5	4	1	5	4	1
	VIII	5	5	..	5	5	..
	IX	1,253	959	294	800	648	152
FAMILY	919	HOUSE KEEPERS, COOKS, MAIDS AND RELATED WORKERS, N.E.C.					
TOTAL		94	93	1	3	3	..
	IX	94	93	1	3	3	..

B-V OCCUPATIONAL CLASSIFICATION BY SEX OF PERSONS AT WORK OTHER THAN CULTIVATION (Contd.)

NOWGONG DISTRICT

DIVISION, GROUP AND FAMILY		Total Workers					
		Total			Urban		
CATEGORY		Persons	Males	Females	Persons	Males	Females
1		2	3	4	5	6	7
GROUP	92	WAITERS, BARTENDERS AND RELATED WORKERS					
TOTAL		65	65	..	65	65	..
	VIII	1	1	..	1	1	..
	IX	64	64	..	64	64	..
GROUP	93	BUILDING CARE-TAKERS, CLEANERS AND RELATED WORKERS					
TOTAL		428	330	98	371	292	79
	VI	1	1	..	1	1	..
	VIII	178	155	23	178	155	23
	IX	249	174	75	192	136	56
FAMILY	931	CLEANERS, SWEEPERS AND WATERMEN					
TOTAL		427	329	98	371	292	79
	VI	1	1	..	1	1	..
	VIII	178	155	23	178	155	23
	IX	248	173	75	192	136	56
GROUP	94	BARBERS, HAIRDESSERS, BEAUTICIANS AND RELATED WORKERS					
TOTAL		766	766	..	216	216	..
	IX	766	766	..	216	216	..
FAMILY	940	BARBERS, HAIRDESSERS, BEAUTICIANS AND RELATED WORKERS					
TOTAL		766	766	..	216	216	..
	IX	766	766	..	216	216	..
GROUP	95	LAUNDERS, DRY CLEANERS AND PRESSERS					
TOTAL		390	354	36	143	120	23
	IX	390	354	36	143	120	23
FAMILY	950	LAUNDRYMEN, WASHERMEN AND DHOBIES					
TOTAL		363	327	36	143	120	23
	IX	363	327	36	143	120	23
GROUP	97	PHOTOGRAPHERS AND RELATED CAMERA OPERATORS					
TOTAL		22	22	..	16	16	..
	IX	22	22	..	16	16	..
GROUP	99	SERVICE, SPORT AND RECREATION WORKERS, N.E.C.					
TOTAL		278	278	..	20	20	..
	IX	278	278	..	20	20	..
FAMILY	999	SERVICE, SPORT AND RECREATION WORKERS, N.E.C.					
TOTAL		265	265	..	20	20	..
	IX	265	265	..	20	20	..
DIVISION	X	WORKERS NOT CLASSIFIABLE BY OCCUPATION					
TOTAL		1,173	1,025	148	477	416	61
	V	51	51	..	51	51	..
	VII	12	12	..	12	12	..
	VIII	52	43	9	52	43	9
	IX	1,058	919	139	362	310	52
GROUP	X8	WORKERS REPORTING OCCUPATIONS UNIDENTIFIABLE OR UNCLASSIFIABLE					
TOTAL		1,115	968	147	473	413	60
	V	48	48	..	48	48	..
	VII	12	12	..	12	12	..
	VIII	52	43	9	52	43	9
	IX	1,003	865	138	361	310	51

B-V OCCUPATIONAL CLASSIFICATION BY SEX OF PERSONS AT WORK OTHER THAN CULTIVATION (Concld.)

NOWGONG DISTRICT

DIVISION, GROUP AND FAMILY		Total Workers					
		Total			Urban		
CATEGORY		Persons	Males	Females	Persons	Males	Females
1		2	3	4	5	6	7
FAMILY	X80	WORKERS REPORTING OCCUPATION UNIDENTIFIABLE OR UNCLASSIFIABLE					
TOTAL		1,115	968	147	473	413	60
	V	48	48	..	48	48	..
	VII	12	12	..	12	12	..
	VIII	52	43	9	52	43	9
	IX	1,003	865	138	361	310	51

DIVISION, GROUP AND FAMILY		Total Workers					
		Total			Urban		
CATEGORY		Persons	Males	Females	Persons	Males	Females
1		2	3	4	5	6	7
GROUP	X9	WORKERS NOT REPORTING OCCUPATION					
TOTAL		58	57	1	4	3	1
	V	3	3	..	3	3	..
	IX	55	54	1	1	..	1
FAMILY	X90	WORKERS NOT REPORTING OCCUPATION					
TOTAL		58	57	1	4	3	1
	V	3	3	..	3	3	..
	IX	55	54	1	1	..	1

Note :—N.E.C. means Not Elsewhere Classified

APPENDIX TO TABLE B-V

NOWGONG DISTRICT

Families having less than 1% of workers of the respective Division (less than 0·5% in case of families of Division 7-8), have been shown in this appendix. The following abbreviations have been used :—

III—In Mining, Quarrying, Livestock, Forestry, Fishing, Hunting and Plantations, Orchards and allied activities

IV—At Household Industry

V—In Manufacturing other than Household Industry

VI—In Construction

VII—In Trade and Commerce

VIII—In Transport, Storage and Communications

IX—In Other Services

M—Males

F—Females

001 Total VIII (M 1), IX (M 42) Urban VIII (M 1) IX (M 37) ; 002 Total IX (M 4) Urban IX (M 4) ; 009 Total III (M 3), VI (M 1), VIII (M 4), Urban III (M 3), VI (M 1), VIII (M 4) ; 010 Total IX (M 22), Urban IX (M 22) ; 014 Total IX (M 1), Urban IX (M 1) ; 015 Total IX (M 3), Urban IX (M 3) ; 021 Total III (M 2), IX (M 50), Urban III (M 2), IX (M 19) ; 022 Total (M 1), Urban III (M 1) ; 023 Total III (M 1), IX (M 3), Urban III (M 1), IX (M 3) ; 032 Total IX (M 57), Urban IX (M 28) ; 035 Total VIII (M 1), IX (M 25), Urban VIII (M 1), IX (M 25) ; 039 Total VIII (M 3), IX (M 32, F 2), Urban VIII (M 3), IX (M 32, F 2) ; 042 Total VIII (M 18, F 2), IX (F 2), Urban VIII (M 18, F 2), IX (F 1) ; 046 Total VIII (M 3), IX (M 1), Urban VIII (M 3), IX (M 1) ; 050 Total IX (M 44, F 2), Urban IX (M 40, F 2), 053 Total IX (F 11) ; 060 Total IX (M 5), Urban IX (M 5) ; 062 Total IX (M 16), Urban IX (M 5) ; 071 Total V (M 1), IX (M 21), Urban V (M 1), IX (M 21) ; 079 Total IX (M 4) ; 083 Total V (M 2), IX (M 49), Urban V (M 2), IX (M 47) ; 086 Total IX (M 3), Urban IX (M 3) ; 089 Total IX (M 24), Urban IX (M 24) ; 090 Total IX (M 5), Urban IX (M 5) ; 091 Total IX (M 8), Urban IX (M 7) ; 099 Total IX (M 3, F 1) ; Urban IX (M 3, F 1) ; 0X2 Total IX (M 10), Urban IX (M 10) ; 0X3 Total IX (M 5), Urban IX (M 5) ; 104 Total IX (M 2, F 1) ; 110 Total VII (M 1) Urban VII (M 1) ; 120 Total VII (M 4), Urban VII (M 4) ; 132 Total IX (M 1), Urban IX (M 1) ; 201 Total V (M 3), VII (M 2), IX (M 19), Urban V (M 3), VII (M 2), IX (M 18) ; 202 Total IX (M 1), Urban IX (M 1) ; 210 Total V (M 2), VIII (M 4), IX (M 2), Urban V (M 2), VIII (M 4), IX (M 2) ; 211 Total V (M 2), VIII (M 8, F 1), IX (M 10, F 1), Urban V (M 2), VIII (M 8, F 1), IX (M 10) ; 220 Total IX (M 1) ; 229 Total IX (M 17), Urban IX (M 17) ; 310 Total VII (M 5), Urban VII (M 5) ; 319 Total VII (M 5) ; 320 Total VII (M 2), Urban VII (M 1) ; 321 Total V (M 5), VII (M 5), IX (M 2), Urban V, (M 5), VII (M 5), IX (M 2) ; 329 Total VII (M 28) ; 340 Total VII (M 7), Urban VII (M 7) ; 402 Total III (M 25) ; 403 Total III (M 3), Urban III (M 3) ; 409 Total III (M 109), Urban III (M 4) ; 442 Total III (M 83, F 26), Urban III (M 1) ; 600 Total VIII (M 6) ; 601 Total VIII (M 2), Urban VIII (M 2) ; 630 Total VIII (M 35), Urban VIII (M 13) ; 650 Total VIII (M 32), Urban VIII (M 1) ; 651 Total VIII (M 40), Urban VIII (M 29) ; 670 Total VIII (M 26), Urban VIII (M 19) ; 671 Total VIII (M 9), Urban VIII (M 7) ; 672 Total VIII (M 11), Urban VIII (M 9) ; 679 Total VIII (M 10, F 1), Urban VIII (M 7) ; 691 Total VIII (M 58), Urban VIII (M 56) ; 693 Total VIII (M 25), Urban VIII (M 25) ; 700 Total IV (M 1), V (M 56), Urban IV (M 1) V, (M 41) ; 702 Total IV (M 109) ; 706 Total IV (M 53) ; 707 Total IV (M 4, F 34), V (M 2, F 3), Urban V (M 2, F 1) ; 711 Total V (M 1, F 1) ; 714 Total V (M 5) ; 715 Total IV (F 2), V (M 1), Urban IV (F 2) ; 719 Total V (M 109, F 5) ; 721 Total V (M 4) ; 729 Total V (M 37, F 1) ; 734 Total V (M 2), VIII (M 2),

Urban V (M 2), VIII (M 2); 735 Total V (M 122, F 6), VIII (M 3) Urban VIII (M 3); 739 Total IV (M 2), V (M 1) Urban IV (M 2); 740 Total IV (M 1), V (M 40) Urban IV (M 1), V (M 24); 751 Total V (M 7), VIII (M 110) Urban V (M 7), VIII (M 110); 752 Total VIII (M 6) Urban VIII (M 6); 754 Total IV (M 1), V (M 16, F, 1) VIII (M 3) Urban IV (M 1), V (M 16, F, 1), VIII (M 3); 756 Total V (M 12), VIII (M 5), IX (M 5) Urban V (M 12), VIII (M 5), IX (M 5); 757 Total IV (M 21), V (M 34, F 1), VIII (M 3) Urban IV (M 21), V (M 13, F 1), VIII (M, 3); 759 Total IV (M 2), V (M 29) VIII (M 28), IX (M 7) Urban IV (M 2), V (M 7), VIII (M 28), IX (M 7); 760 Total V (M 30), VIII (M 2) IX (M 5) Urban VIII (M 2), IX (M 5); 761 Total V (M 2), VIII (M 10) Urban V (M 2), VIII (M 10); 762 Total V (M 51) Urban V (M 4); 763 Total VIII (M 1) Urban VIII (M 1); 764 Total VIII (M 8) Urban VIII (M 8); 769 Total V (M 43), VII (M 1), VIII (M 23), IX (M 52) Urban V (M 3), VII (M 1), VIII (M 23), IX (M 52); 771 Total V (M 2); 773 Total V (M 15) Urban V (M 1); 774 Total IV (M 3) V (M 27) Urban IV (M 3), V (M 27); 780 Total VIII (M 4) Urban VIII (M 4); 791 Total VI (M 105, F 24) Urban VI (M 80); 792 Total VI (M 1), VIII (M 4) Urban VI (M 1), VIII (M 4) 795 Total VI (M 1); 801 Total V (M 14) Urban V (M 14); 803 Total V (M 3) Urban V (M 3); 808 Total V (M 10) Urban V (M 10); 809 Total V (M 2) Urban V (M 2); 815 Total V (M 24), VI (M 19); 821 Total V (M 77, F 64); 822 Total V (M 11); 823 Total V (M 39); 826 Total V (M 3, F 1) Urban V (F 1) 827 Total IX (M 2) Urban IX (M 2); 829 Total IV (F 1), V (M 69) Urban IV (F 1); 831 Total IV (M 3), V (M 34, F 2), IX (F 1) Urban IV (M 3), V (M 34, F 2); 832 Total IV (M 1), V (M 4) Urban IV (M 1); 839 Total V (M 56) Urban V (M 10); 840 Total V (M 10) Urban V (M 10); 842 Total IV (M 9) V (M 25, F 11) Urban IV (M 9), V (M 8); 843 Total V (M 6); 849 Total V (M 1) Urban V (M 1); 851 Total IV (M 4), V (M 34) Urban IV (M 4), V (M 25); 854 Total V (M 8, F 3); 855 Total IV (M 1), V (M 10, F 2) Urban IV (M 1), V (M 5); 859 Total V (M 2) Urban V (M 2); 860 Total VIII (M 5), IX (M 2) Urban VIII (M 5), IX (M 2); 861 Total VIII (M 1), IX (M 150) Urban VIII (M 1); 870 Total V (M 4), VIII (M 4) Urban V (M 4), VIII (M 4); 871 Total V (M 16), VIII (M 30) Urban V (M 16), VIII (M 30); 872 Total VIII (M 7) Urban VIII (M 7); 879 Total IX (M 2) Urban IX (M 2); 890 Total IX (M 184, F 1); 909 Total IX (M 8); 913 Total VIII (F 6), IX (F 25) Urban VIII (F 6), IX (F 3); 920 Total VIII (M 1), IX (M 64) Urban VIII (M 1), IX (M 64); 930 Total IX (M 1); 951 Total IX (M 27); 979 Total IX (M 22) Urban IX (M 16); 990 Total IX (M 13).

B-V—OCCUPATIONAL CLASSIFICATION BY SEX OF PERSONS AT WORK OTHER THAN CULTIVATION

(Down to Police Station)

B-V—OCCUPATIONAL CLASSIFICATION BY SEX

(Down to

NOWGONG

Category of workers	ALL DIVISIONS			DIVISION 0		DIVISION 1		DIVISION 2		DIVISION 3	
	Persons	Males	Females	Males	Females	Males	Females	Males	Females	Males	Females
1	2	3	4	5	6	7	8	9	10	11	12
											LAHARIGHAT
TOTAL	5,966	3,126	2,840	256	13	3	..	95	..	1,160	11
III	91	77	14	..	..	..	..	..	..	..	..
IV	2,694	51	2,643	..	..	..	..	..	..	..	..
V	631	569	62	..	..	..	..	..	..	..	..
VI	122	45	77	..	..	..	..	..	..	..	..
VII	1,171	1,160	11	..	..	..	..	..	..	1,160	11
VIII	176	176	..	..	..	..	..	..	..	..	..
IX	1,081	1,048	33	256	13	3	..	95	..	..	..
											DHING
TOTAL	1,722	900	822	127	9	2	..	43	..	233	1
III	2	2	..	..	..	..	..	..	..	..	..
IV	809	7	802	..	..	..	..	..	..	..	..
V	125	125	..	..	..	..	..	..	..	..	..
VI	3	3	..	..	..	..	..	..	..	..	..
VII	234	233	1	..	..	..	..	..	..	233	1
VIII	28	28	..	..	..	..	..	..	..	..	..
IX	521	502	19	127	9	2	..	43	..	..	..
											RUPAHIHAT
TOTAL	3,381	2,954	427	313	24	5	..	99	..	894	9
III	94	93	1	..	..	..	..	..	..	..	..
IV	430	83	347	..	..	..	..	..	..	..	..
V	495	484	11	..	..	..	..	..	..	..	..
VI	51	51	..	..	..	..	..	..	..	..	..
VII	903	894	9	..	..	..	..	..	..	894	9
VIII	166	166	..	..	..	..	..	..	..	..	..
IX	1,242	1,183	59	313	24	5	..	99	..	..	..
											KALIABOR
TOTAL	10,598	6,351	4,247	351	103	3	..	114	..	669	33
III	5,858	3,252	2,606	..	..	..	..	..	..	..	..
IV	1,372	32	1,340	..	..	..	..	..	..	..	..
V	659	644	15	..	..	..	..	..	..	..	..
VI	133	114	19	..	..	..	..	..	..	..	..
VII	702	669	33	..	..	..	..	..	..	669	33
VIII	409	409	..	..	..	..	..	..	..	..	..
IX	1,465	1,231	34	351	103	3	..	114	..	..	..

OF PERSONS AT WORK OTHER THAN CULTIVATION

Police Station)

DISTRICT *RURAL*

DIVISION 4		DIVISION 5		DIVISION 6		DIVISION 7-8		DIVISION 9		DIVISION X		Category of workers
Males	Females	Males	Females	Males	Females	Males	Females	Males	Females	Males	Females	
13	14	15	16	17	18	19	20	21	22	23	24	I
POLICE STATION												
77	14	..	..	176	..	960	2,791	358	9	41	2	TOTAL
77	14	..	..	..	..	..	..	..	..	..	..	III
..	..	..	..	..	..	51	2,643	..	..	..	..	IV
..	..	..	..	..	..	569	62	..	..	..	..	V
..	..	..	..	..	..	45	77	..	..	..	..	VI
..	..	..	..	..	..	..	..	..	..	..	..	VII
..	..	..	..	176	..	..	..	..	..	..	..	VIII
..	..	..	..	..	..	295	9	358	9	41	2	IX
POLICE STATION												
2	..	..	..	28	..	263	806	180	6	22	..	TOTAL
2	..	..	..	..	..	..	..	..	..	..	..	III
..	..	..	..	..	..	7	802	..	..	..	..	IV
..	..	..	..	..	..	125	..	..	..	..	..	V
..	..	..	..	..	..	3	..	..	..	..	..	VI
..	..	..	..	..	..	..	..	..	..	..	..	VII
..	..	..	..	28	..	..	..	..	..	..	..	VIII
..	..	..	..	..	..	128	4	180	6	22	..	IX
POLICE STATION												
93	1	..	..	166	..	905	374	414	15	65	4	TOTAL
93	1	..	..	..	..	..	..	..	..	..	..	III
..	..	..	..	..	..	83	347	..	..	..	..	IV
..	..	..	..	..	..	484	11	..	..	..	..	V
..	..	..	..	..	..	51	..	..	..	..	..	VI
..	..	..	..	..	..	..	..	..	..	..	..	VII
..	..	..	..	166	..	..	..	..	..	..	..	VIII
..	..	..	..	..	..	287	16	414	15	65	4	IX
POLICE STATION												
3,252	2,606	..	..	409	..	1,085	1,436	426	52	42	17	TOTAL
3,252	2,606	..	..	..	..	..	..	..	..	..	..	III
..	..	..	..	..	..	32	1,340	..	..	..	..	IV
..	..	..	..	..	..	644	15	..	..	..	..	V
..	..	..	..	..	..	114	19	..	..	..	..	VI
..	..	..	..	..	..	..	..	..	..	..	..	VII
..	..	..	..	..	..	..	..	..	..	..	..	VIII
..	..	..	..	409	..	295	62	426	52	42	17	IX

B-V—OCCUPATIONAL CLASSIFICATION BY SEX

(Down to

NOWGONG

Category of workers	ALL DIVISIONS			DIVISION 0		DIVISION 1		DIVISION 2		DIVISION 3	
	Persons	Males	Females	Males	Females	Males	Females	Males	Females	Males	Females
1	2	3	4	5	6	7	8	9	10	11	12
											MARIGAON
TOTAL	11,683	4,388	7,295	317	61	2	..	106	..	796	38
III	1,079	827	252	..	..	..	..	..	..	..	..
IV	7,181	368	6,813	..	..	..	..	..	..	..	..
V	296	295	1	..	..	..	..	..	..	..	..
VI	504	483	21	..	..	..	..	..	..	..	..
VII	834	796	38	..	..	..	..	..	..	796	38
VIII	453	425	28	..	..	..	..	..	..	..	..
IX	1 336	1,194	142	317	61	2	..	106	..	..	..
											RAHA
TOTAL	8,669	4,812	3,857	396	98	4	..	129	1	1,018	4
III	766	481	285	..	..	..	..	..	..	..	..
IV	3,692	459	3,233	..	..	..	..	..	..	..	..
V	662	580	82	..	..	..	..	..	..	..	..
VI	132	130	2	..	..	..	..	..	..	..	..
VII	1,022	1,018	4	..	..	..	..	..	..	1,018	4
VIII	599	593	6	..	..	..	..	..	..	..	..
IX	1,796	1,551	245	396	98	4	..	129	1	..	..
											NOWGONG
TOTAL	8,031	4,614	3,417	636	76	8	1	235	1	695	7
III	442	189	253	..	..	..	..	..	..	..	..
IV	3,058	96	2,962	..	..	..	..	..	..	..	..
V	516	498	18	..	..	..	..	..	..	..	..
VI	261	260	1	..	..	..	..	..	..	..	..
VII	702	695	7	..	..	..	..	..	..	695	7
VIII	453	453	..	..	..	..	..	..	..	..	..
IX	2,599	2,423	176	636	76	8	1	235	1	..	..
											SAMAGURI
TOTAL	10,569	6,612	3,957	367	112	3	..	137	..	513	10
III	7,153	3,719	3,434	..	..	..	..	..	..	..	..
IV	261	8	253	..	..	..	..	..	..	..	..
V	493	460	33	..	..	..	..	..	..	..	..
VI	252	251	1	..	..	..	..	..	..	..	..
VII	523	513	10	..	..	..	..	..	..	513	10
VIII	240	239	1	..	..	..	..	..	..	..	..
IX	1,647	1,422	225	367	112	3	..	137	..	..	..
											JAMUNAMUKH
TOTAL	7,854	5,855	1,999	538	123	7	..	173	1	1,436	16
III	1,385	833	552	..	..	..	..	..	..	..	..
IV	1,130	126	1,004	..	..	..	..	..	..	..	..
V	815	715	100	..	..	..	..	..	..	..	..
VI	417	390	27	..	..	..	..	..	..	..	..
VII	1,452	1,436	16	..	..	..	..	..	..	1,436	16
VIII	333	328	5	..	..	..	..	..	..	..	..
IX	2,322	2,027	295	538	123	7	..	173	1	..	..

OF PERSONS AT WORK OTHER THAN CULTIVATION

Police Station)

DISTRICT *RURAL*

DIVISION 4		DIVISION 5		DIVISION 6		DIVISION 7-8		DIVISION 9		DIVISION X		Category of workers
Males	Females	Males	Females	Males	Females	Males	Females	Males	Females	Males	Females	
13	14	15	16	17	18	19	20	21	22	23	24	1
POLICE STATION												
827	252	..	..	425	28	1,463	6,873	407	35	45	8	TOTAL
827	252	..	..	..	..	..	..	..	..	..	..	III
..	..	..	..	..	..	368	6,813	..	..	..	..	IV
..	..	..	..	..	..	295	1	..	..	..	..	V
..	..	..	..	..	..	483	21	..	..	..	..	VI
..	..	..	..	..	..	..	..	..	..	..	..	VII
..	..	..	..	425	28	..	..	..	..	..	..	VIII
..	..	..	..	..	..	317	38	407	35	45	8	IX
POLICE STATION												
481	285	..	..	594	6	1,543	3,378	568	72	79	13	TOTAL
481	285	..	..	..	..	..	..	..	..	..	..	III
..	..	..	..	..	..	459	3,233	..	..	..	..	IV
..	..	..	..	..	..	580	82	..	..	..	..	V
..	..	..	..	..	..	130	2	..	..	..	..	VI
..	..	..	..	..	..	..	..	..	..	..	..	VII
..	..	..	..	593	6	..	..	..	..	..	..	VIII
..	..	..	..	1	..	374	61	568	72	79	13	IX
POLICE STATION												
189	253	..	..	453	..	1,439	3,023	862	45	97	11	TOTAL
189	253	..	..	..	..	..	..	..	..	..	..	III
..	..	..	..	..	..	96	2,962	..	..	..	..	IV
..	..	..	..	..	..	498	18	..	..	..	..	V
..	..	..	..	..	..	260	1	..	..	..	..	VI
..	..	..	..	..	..	..	..	..	..	..	..	VII
..	..	..	..	453	..	..	..	..	..	..	..	VIII
..	..	..	..	..	..	585	42	862	45	97	11	IX
POLICE STATION												
3,717	3,434	2	..	241	1	1,061	336	510	56	61	8	TOTAL
3,717	3,434	2	..	..	..	..	..	..	..	..	..	III
..	..	..	..	..	..	8	253	..	..	..	..	IV
..	..	..	..	..	..	460	33	..	..	..	..	V
..	..		..	..	..	251	1	..	..	..	..	VI
..	..	..	..	..	..	..	..	..	..	..	..	VII
..	..	..	..	239	1	..	..	..	..	..	..	VIII
..	..	..	..	2	..	342	49	510	56	61	8	IX
POLICE STATION												
833	552	..	..	329	5	1,715	1,207	736	77	88	18	TOTAL
833	552	..	..	..	..	..	..	..	..	..	..	III
..	..	..	..	..	..	126	1,004	..	..	..	..	IV
..	..	..	..	..	..	715	100	..	..	..	..	V
..	..	..	..	..	..	390	27	..	..	..	..	VI
..	..	..	..	..	..	..	..	..	..	..	..	VII
..	..	..	..	328	5	..	..	..	..	..	..	VIII
..	..	..	..	1	..	484	76	736	77	88	18	IX

B-V—OCCUPATIONAL CLASSIFICATION BY SEX

(Down To Police

NOWGONG

Category of workers	ALL DIVISIONS			DIVISION 0		DIVISION 1		DIVISION 2		DIVISION 3	
	Persons	Males	Females	Males	Females	Males	Females	Males	Females	Males	Females
1	2	3	4	5	6	7	8	9	10	11	12
											LANKA
TOTAL	5,787	4,450	1,337	418	50	4	..	144	..	1,342	86
III	255	227	28	..	..	..	..	..	..	..	..
IV	1,081	260	821	..	..	..	..	..	..	..	..
V	990	699	291	..	..	..	..	..	..	..	..
VI	121	121	..	..	..	..	..	..	..	..	..
VII	1,428	1,342	86	..	..	..	..	..	..	1,342	86
VIII	230	229	1	..	..	..	..	..	..	..	..
IX	1,682	1,572	110	418	50	4	..	144	..	..	..
											LUMDING
TOTAL	717	647	70	43	3	2	..	17	..	81	9
III	104	79	25	..	..	..	..	..	..	..	..
IV	27	..	27	..	..	..	..	..	..	..	..
V	22	22	..	..	..	..	..	..	..	..	..
VI	28	28	..	..	..	..	..	..	..	..	..
VII	90	81	9	..	..	..	..	..	..	81	9
VIII	294	293	1	..	..	..	..	..	..	..	..
IX	152	144	8	43	3	2	..	17	..	..	..

OF PERSONS AT WORK OTHER THAN CULTIVATION

Station)

DISTRICT *RURAL*

DIVISION 4		DIVISION 5		DIVISION 6		DIVISION 7-8		DIVISION 9		DIVISION X		Category of workers
Males	Females	Males	Females	Males	Females	Males	Females	Males	Females	Males	Females	
13	14	15	16	17	18	19	20	21	22	23	24	1
POLICE STATION												
227	28	..	..	229	1	1,472	1,138	552	28	62	6	TOTAL
227	28	..	..	..	..	..	..	..	..	.	..	III
..	..	..	..	..	..	260	821	..	..	..	..	IV
..	..	..	..	..	..	699	291	..	..	..	..	V
..	..	..	..	..	..	121	..	..	..	..	..	VI
..	..	..	..	..	..	..	..	..	..	..	..	VII
..	..	..	..	229	1	..	..	..	..	..	..	VIII
..	..	..	..	..	..	392	26	552	28	62	6	IX
POLICE STATION												
79	25	..	..	293	1	85	29	40	3	7	..	TOTAL
79	25	..	..	..	..	..	..	..	..	..	..	III
..	..	..	..	..	..	..	27	..	..	..	..	IV
..	..	..	..	..	..	22	..	..	..	..	..	V
..	..	..	..	..	..	28	..	..	..	..	..	VI
..	..	..	..	..	..	..	..	..	..	..	..	VII
..	..	..	..	2 3	1	..	..	..	..	..	..	VIII
..	..	..	..	..	..	35	2	40	3	7	..	IX

TABLE B-VI

OCCUPATIONAL DIVISIONS OF PERSONS AT WORK OTHER THAN CULTIVATION CLASSIFIED BY SEX, BROAD AGE-GROUPS AND EDUCATIONAL LEVELS IN URBAN AREAS ONLY

This table is prepared only for urban areas and only up to the Division of the National Occupational Classification. The population under each Occupational Division is classified by the five age-groups; 0-14, 15-34, 35-59, 60+ and Age not stated and further classified according to the broad educational levels. This table is likely to give useful informations about those occupations which attract personnel.

A list of the Occupational Divisions with their descriptions is given at the end of the table.

B-VI—OCCUPATIONAL DIVISIONS OF PERSONS AT WORK OTHER THAN CULTIVATION CLASSIFIED BY SEX, BROAD AGE-GROUPS AND EDUCATIONAL LEVELS IN URBAN AREAS ONLY

NOWGONG DISTRICT

Occupational Division No.		Age-group	Total workers			Total Literate workers		Literate (without educational level)		Educational Levels (Contd.) Primary or Junior Basic		Matriculation or Higher Secondary		Technical diploma not equal to degree		Non-technical diploma not equal to degree	
			Persons	Males	Females	Males	Females	Males	Females	Males	Females	Males	Females	Males	Females	Males	Females
1		2	3	4	5	6	7	8	9	10	11	12	13	14	15	16	17
All Divisions		Total	24,362	23,337	1,025	16,650	442	9,792	237	4,148	99	1,976	99	11	..	244	1
		0—14	556	444	112	156	23	138	12	18	11	..	..	..	..	..	..
		15—34	13,144	12,626	518	9,091	293	5,173	149	2,474	55	1,079	84	9	..	140	1
		35—59	9,714	9,360	354	6,814	124	4,056	74	1,557	33	862	15	2	..	95	..
		60+	945	905	40	588	2	424	2	99	..	35	..	..	..	9	..
		Age not stated	3	2	1	1	..	1	..	..	..	..	..	..	..	..	..
Division	0	Total	1,405	1,271	134	1,271	134	365	22	226	27	337	81	10	..	62	..
		0—14	..	..	..	3	..	3	..	..	..	..	..	..	..	..	..
		15—34	..	..	..	569	94	126	15	120	8	182	67	8	..	31	..
		35—59	..	..	..	601	40	185	7	91	19	147	14	2	..	28	..
		60+	..	..	..	98	..	51	..	15	..	8	..	..	..	3	..
		Age not stated	..	..	..	..	..	..	..	..	..	..	..	..	..	..	..
Division	1	Total	591	590	1	590	1	218	1	103	..	101	..	..	..	42	..
		0—14	..	..	..	..	..	..	..	..	..	..	..	..	..	..	..
		15—34	..	..	..	267	..	86	..	46	..	47	..	..	..	19	..
		35—59	..	..	..	304	1	123	1	53	..	50	..	..	..	21	..
		60+	..	..	..	19	..	9	..	4	..	4	..	..	..	2	..
		Age not stated	..	..	..	..	..	..	..	..	..	..	..	..	..	..	..
Division	2	Total	1,930	1,918	12	1,903	12	751	3	315	2	737	5	..	..	63	..
		0—14	..	..	..	3	..	1	..	2	..	..	..	..	..	..	..
		15—34	..	..	..	1,069	9	369	2	181	2	458	5	..	..	37	..
		35—59	..	..	..	806	3	368	1	124	..	276	..	..	..	25	..
		60+	..	..	..	25	..	13	..	8	..	3	..	..	..	1	..
		Age not stated	..	..	..	..	..	..	..	..	..	..	..	..	..	..	..
Division	3	Total	6,348	6,303	45	5,361	18	3,674	15	1,361	3	282	..	..	..	33	..
		0—14	..	..	..	50	..	43	..	7	..	..	..	..	..	..	..
		15—34	..	..	..	2,809	9	1,857	8	777	1	143	..	..	..	26	..
		35—59	..	..	..	2,203	7	1,536	5	531	2	124	..	..	..	7	..
		60+	..	..	..	298	2	237	2	46	..	15	..	..	..	..	..
		Age not stated	..	..	..	1	..	1	..	..	..	..	..	..	..	..	..
Division	4	Total	64	60	4	56	1	31	1	10	..	12	..	..	..	3	..
		0—14	..	..	..	1	..	1	..	..	..	..	..	..	..	..	..
		15—34	..	..	..	30	1	18	1	8	..	3	..	..	..	1	..
		35—59	..	..	..	25	..	12	..	2	..	9	..	..	..	2	..
		60+	..	..	..	..	..	..	..	..	..	..	..	..	..	..	..
		Age not stated	..	..	..	..	..	..	..	..	..	..	..	..	..	..	..
Division	5	Total	10	10	..	8	..	5	..	3	..	..	..	..	..	..	..
		0—14	..	..	..	..	..	..	..	..	..	..	..	..	..	..	..
		15—34	..	..	..	1	..	..	..	1	..	..	..	..	..	..	..
		35—59	..	..	..	7	..	5	..	2	..	..	..	..	..	..	..
		60+	..	..	..	..	..	..	..	..	..	..	..	..	..	..	..
		Age not stated	..	..	..	..	..	..	..	..	..	..	..	..	..	..	..

B-VI—OCCUPATIONAL DIVISIONS OF PERSONS AT WORK OTHER THAN CULTIVATION CLASSIFIED BY SEX, BROAD AGE-GROUPS AND EDUCATIONAL LEVELS IN URBAN AREAS ONLY (Contd.)

NOWGONG DISTRICT

Occupational Division No.	Age-group	Educational Levels (Concld.)															
		University degree or post-graduate degree other than technical degree		Technical degree or diploma equal to degree or post-graduate degree													
				Engineering		Medicine		Agriculture		Veterinary and Dairying		Technology		Teaching		Others	
		Males	Females	Males	Females	Males	Females	Males	Females	Males	Females	Males	Females	Males	Females	Males	Females
1	2	18	19	20	21	22	23	24	25	26	27	28	29	30	31	32	33
All Divisions	Total	398	5	6	..	64	1	..	..	..	..	..	..	5	..	6	..
	0—14	..	..	..	..	..	..	..	..	..	..	..	..	..	..	..	..
	15—34	180	3	4	..	26	1	..	..	..	..	..	..	1	..	5	..
	35—59	199	2	2	..	36	..	..	..	..	..	..	..	4	..	1	..
	60+	19	..	..	..	2	..	..	..	..	..	..	..	..	..	..	..
	Age not stated	..	..	..	..	..	..	..	..	..	..	..	..	..	..	..	..
Division 0	Total	193	3	6	..	64	1	..	..	..	..	..	..	5	..	3	..
	0—14	..	..	..	..	..	..	..	..	..	..	..	..	..	..	..	..
	15—34	68	3	4	..	26	1	..	..	..	..	..	..	1	..	3	..
	35—59	106	..	2	..	36	..	..	..	..	..	..	..	4	..	..	..
	60+	19	..	..	..	2	..	..	..	..	..	..	..	..	..	..	..
	Age not stated	..	..	..	..	..	..	..	..	..	..	..	..	..	..	..	..
Division 1	Total	126	..	..	..	..	..	..	..	..	..	..	..	..	..	..	..
	0—14	..	..	..	..	..	..	..	..	..	..	..	..	..	..	..	..
	15—34	69	..	..	..	..	..	..	..	..	..	..	..	..	..	..	..
	35—59	57	..	..	..	..	..	..	..	..	..	..	..	..	..	..	..
	60+	..	..	..	..	..	..	..	..	..	..	..	..	..	..	..	..
	Age not stated	..	..	..	..	..	..	..	..	..	..	..	..	..	..	..	..
Division 2	Total	37	2	..	..	..	..	..	..	..	..	..	..	..	..	..	..
	0—14	..	..	..	..	..	..	..	..	..	..	..	..	..	..	..	..
	15—34	24	..	..	..	..	..	..	..	..	..	..	..	..	..	..	..
	35—59	13	2	..	..	..	..	..	..	..	..	..	..	..	..	..	..
	60+	..	..	..	..	..	..	..	..	..	..	..	..	..	..	..	..
	Age not stated	..	..	..	..	..	..	..	..	..	..	..	..	..	..	..	..
Division 3	Total	11	..	..	..	..	..	..	..	..	..	..	..	..	..	..	..
	0—14	..	..	..	..	..	..	..	..	..	..	..	..	..	..	..	..
	15—34	6	..	..	..	..	..	..	..	..	..	..	..	..	..	..	..
	35—59	5	..	..	..	..	..	..	..	..	..	..	..	..	..	..	..
	60+	..	..	..	..	..	..	..	..	..	..	..	..	..	..	..	..
	Age not stated	..	..	..	..	..	..	..	..	..	..	..	..	..	..	..	..
Division 4	Total	..	..	..	..	..	..	..	..	..	..	..	..	..	..	..	..
	0—14	..	..	..	..	..	..	..	..	..	..	..	..	..	..	..	..
	15—34	..	..	..	..	..	..	..	..	..	..	..	..	..	..	..	..
	35—59	..	..	..	..	..	..	..	..	..	..	..	..	..	..	..	..
	60+	..	..	..	..	..	..	..	..	..	..	..	..	..	..	..	..
	Age not stated	..	..	..	..	..	..	..	..	..	..	..	..	..	..	..	..
Division 5	Total	..	..	..	..	..	..	..	..	..	..	..	..	..	..	..	..
	0—14	..	..	..	..	..	..	..	..	..	..	..	..	..	..	..	..
	15—34	..	..	..	..	..	..	..	..	..	..	..	..	..	..	..	..
	35—59	..	..	..	..	..	..	..	..	..	..	..	..	..	..	..	..
	60+	..	..	..	..	..	..	..	..	..	..	..	..	..	..	..	..
	Age not stated	..	..	..	..	..	..	..	..	..	..	..	..	..	..	..	..